BUTLLETÍ DEL PERILL D'ALLAUS DEL PRINCIPAT D'ANDORRA

Servei meteorològic nacional
Principat d'Andorra

Prepared on 13/03/2026 16:00
Next update 14/03/2026 at 16 am

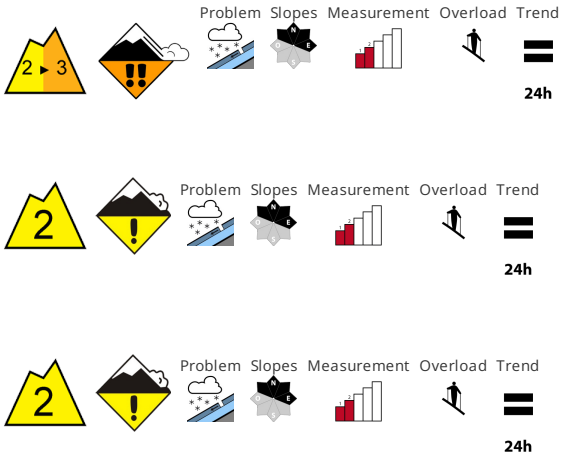

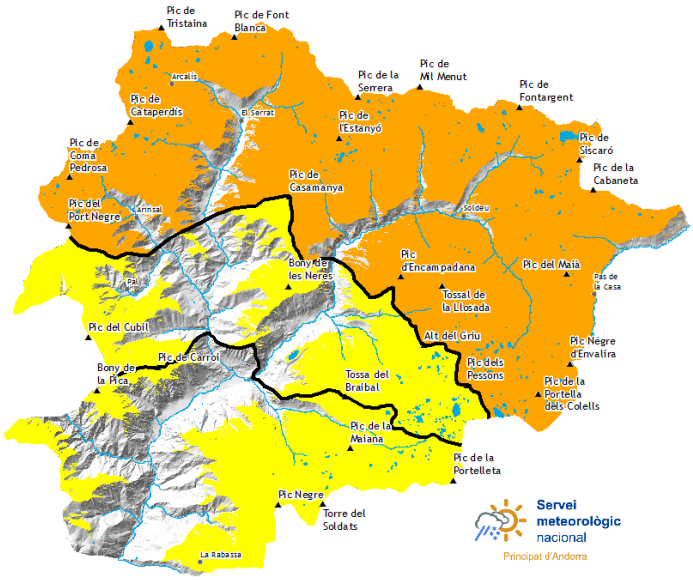

SNOW QUALITY

Danger level 3 (considerable) will be reached in the course of the day in the north limit of Andorra. The new snow of Saturday will be deposited on the unfavourable surface of an old snowpack in particular on steep northwest, north and northeast facing slopes at high altitude. Faceted weak layers exist in the top section of the snowpack in particular here. Dry avalanches can be released easily and reach medium size. Individual gliding avalanches can also be released in the morning. The avalanche prone locations are covered with new snow and are barely recognisable because of the poor visibility.

STABILITY OF THE SNOW MANTLE

Down to 1200 m snow will fall on Saturday in particular in the north. In particular and in the south limit of Andorra 50 to 30 cm of snow, and up to 50 cm in some localities, will fall until Sunday above approximately 2000 m. On Sunday the wind will be strong.

OFF-PISTE SNOW COVER THICKNESSES

North zone		Snow thickness		
Snowpack		1500m	2000m	2500m
N	1600 m	0 cm	150 cm	200 cm
S	1900 m	0 cm	100 cm	150 cm

Center area		Snow thickness		
Snowpack		1500m	2000m	2500m
N	1600 m	0 cm	150 cm	200 cm
S	1900 m	0 cm	100 cm	150 cm

South zone		Snow thickness		
Snowpack		1500m	2000m	2500m
N	1600 m	0 cm	120 cm	150 cm
S	1900 m	0 cm	60 cm	100 cm

Govern d'Andorra

EAWS EUROPEAN AVALANCHE WARNING SERVICES

Aquest butlletí ha estat elaborat seguint les normes i recomanacions de l'**European Avalanche Warning Services**, del qual el **Servei meteorològic Nacional** n'és membre

BUTLLETÍ DEL PERILL D'ALLAUS DEL PRINCIPAT D'ANDORRA

Servei meteorològic nacional
Principat d'Andorra

Detailed information for protected areas

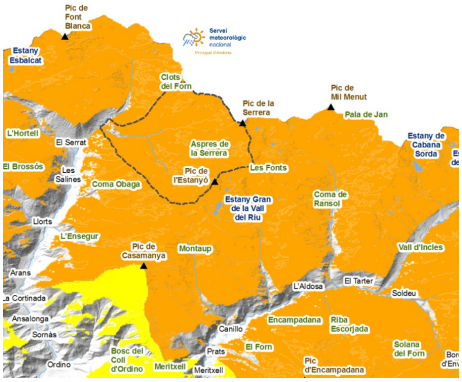

SORTENY

Snow is expected at all elevations of Parc de Sorteny, the atmosphere will be wintry throughout the weekend. Saturday is not expected to be windy, but the new snow on the northern slopes will have a tendency to come off more easily, as it will rest on top of flat faces formed in recent days. Poor visibility must keep us inside the forest.

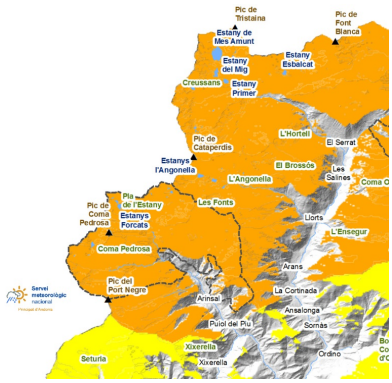

COMAPEDROSA

This weekend, with calm nights and low humidity, angular grains have formed on the surface of the northern slopes. The new snow will rest on top of this layer of snow, which can facilitate avalanches on the northern slopes. Even so, the snow, with poor visibility at high altitudes, will make us stay at medium altitudes.

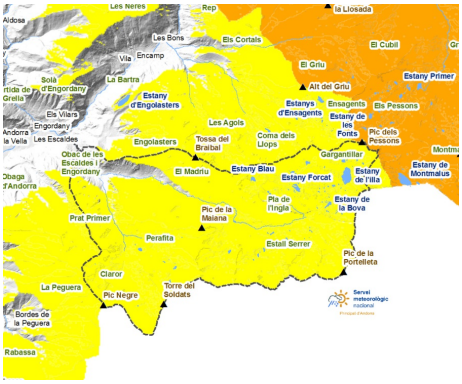

MADRIU-PERAFITA-CLAROR

The new snow can cover windy accumulations on the north and east slopes, which we will have to avoid. The atmosphere will be wintry again, with new and cold snow at all altitudes.

Govern d'Andorra

EAWS
EUROPEAN AVALANCHE WARNING SERVICES

Aquest butlletí ha estat elaborat seguint les normes i recomanacions de l'**European Avalanche Warning Services**, del qual el **Servei meteorològic Nacional** n'és membre

BUTLLETÍ DEL PERILL D'ALLAUS DEL PRINCIPAT D'ANDORRA

Servei meteorològic nacional
Principat d'Andorra

Thick snow in recent days (last 24 hours measured at 06:00 UTC)

	09/03/2026	10/03/2026	11/03/2026	12/03/2026
FEDA (Central)	0 cm	0 cm	0 cm	0 cm
Engolasters - FEDA	0 cm	0 cm	0 cm	0 cm
Bony de les Neres	0 cm	0 cm	0 cm	0 cm
Sorteny	4 cm	0 cm	7 cm	0 cm
Les Fonts d'Arinsal	0 cm	0 cm	5 cm	0 cm
Perafita	0 cm	0 cm	0 cm	0 cm
Tossa Espiolets	0 cm	0 cm	4 cm	0 cm
Grau Roig - FEDA	1 cm	0 cm	1 cm	0 cm
Fontverd	0 cm	0 cm	0 cm	0 cm
Ransol - FEDA	0 cm	0 cm	0 cm	0 cm
Caborreu	0 cm	1 cm	2 cm	0 cm
La Solana	0 cm	0 cm	3 cm	0 cm
Coll Pa	0 cm	0 cm	0 cm	0 cm
Envalira Antenes	3 cm	2 cm	0 cm	0 cm
Vall del Riu FEDA	0 cm	0 cm	0 cm	0 cm