MINISTERO DELLA DIFESA

meteomont
Servizio Nazionale di previsione neve e valanghe

EAWS EUROPEAN AVALANCHE WARNING SERVICES

CARABINIERI

ALPI RETICHE

Avalanche Bulletin N. 374/2026 issued at 14:00 on 13/03/2026
48 hours validity. Next issue on 14/03/2026

By the METEOMONT Service of the ARMA dei CARABINIERI ITALY
In collaboration with Air Force Meteorological Service

Situation on 13/03/2026

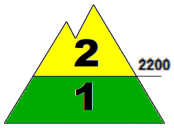

DANGER PATTERNS: shallow snow next to deep snow.



DANGER PATTERNS: springtime situation.

Snow line (m.a.s.l.)	North	South
	1300 - 1600	2100 - 2400

Snow depth (cm)	ground snow	new snow	Elevation (m.a.s.l.)
	115	0	2265
	34	0	1640

REGISTERED AVALANCHES: No avalanches detected.

FORECAST 14/03/2026

Danger level: CONSIDERABLE 3

DANGER PATTERNS: loose snow and wind.

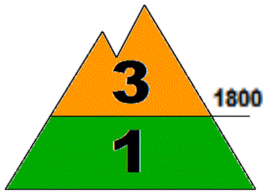

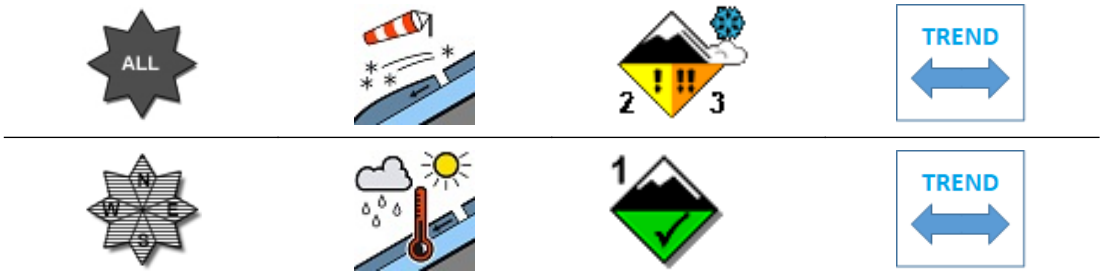

DANGER PATTERNS: rain on snow.

SNOWPACK: Snowpack stability is very poor on some points (areas) above 1800 m.a.s.l. All aspects are critical. large avalanches are possible.
Snowpack stability is poor on few points (areas) below 1800 m.a.s.l. All Isolated slopes are critical. Small avalanches are possible.

WARNING

Due to the forecast of severe weather conditions and reduced visibility forecast,route choice and evaluation will become difficult.

EUROPEAN AVALANCHE WARNING SERVICE

AVALANCHE PROBLEMS

According to EAWS standards Meteomont bulletin is a synoptic-scale system (regional scale). It shall be the user's responsibility to correlate the danger level evaluation of the bulletin with a detailed and expertise analysis of the zonal hazards (single slope), that could be markedly different. Meteorological forecast are issued at UTC (for Italy: in winter time UTC+1: in summer time UTC+2).

Bulletin is subjected to check processes through: the record of Observers and Avalanches and snow Experts data in C-Sifa; the validation by forecasters; the certification by Meteomont Section.

MINISTERO DELLA DIFESA

meteomont
Servizio Nazionale di previsione neve e valanghe

EAWS EUROPEAN AVALANCHE WARNING SERVICES

CARABINIERI

ALPI RETICHE

WEATHER FORECAST FOR

Elevation		14/03/2026 h6:00	14/03/2026 h12:00	14/03/2026 h18:00
1000	Wind	01 Knots from South	02 Knots from South	01 Knots from South
	Temperatures	-04 °C	-02 °C	-02 °C
	Wind chill	-4 °C	-2 °C	-2 °C
2000	Wind	01 Knots from South	02 Knots from South	01 Knots from South
	Temperatures	-04 °C	-02 °C	-02 °C
	Wind chill	-4 °C	-2 °C	-2 °C
3000	Wind	12 Knots from South	12 Knots from South	13 Knots from South
	Temperatures	-09 °C	-09 °C	-08 °C
	Wind chill	-17 °C	-17 °C	-16 °C
Freezing level		1300-1500 m.	1600-1800 m.	1600-1800 m.
Atmospheric phenomenon				
Keys to sky condition				

KEYS TO ATMOSPHERIC PHENOMENON

Absence of adverse weather phenomena · Fog · Mist · Light rain · Moderate rain · Heavy rain · Thunderstorm · Weak snowfall · Moderate snowfall · Heavy snowfall

KEYS TO SKY CONDITION

Clear · Partly cloudy · Cloudy · Mostly cloudy · Overcast

Weather and snow data recorded during field and out of field obsevations on 13/03/2026.

Observation field	District	Elevation (m.a.s.l.)	Snow depth (cm)	Snowfall in previous 24 hours (cm)	Temp. Min (°C)	Temp. Max (°C)	General weather conditions
BORMIO2000-LECCIONA	Valdisotto (SO)	2050	55	0	-3	+7	Absence of rain or other precipitation
VALAR	Valdidentro (SO)	1930	66	0	-7	+5	Absence of rain or other precipitation
DOSSO DEL VALLONE	Valfurva (SO)	2582	60	0	-8	+0	Absence of rain or other precipitation
TORRE DI SM. CORTI *	Torre di Santa Maria (SO)	1774	35	0	N.P.	N.P.	Absence of rain or other precipitation
COLONIA VIGILI	Ponte di Legno (BS)	1640	34	0	0	+7	Absence of rain or other precipitation
MONTE SCALE *	Valdidentro (SO)	2252	46	0	N.P.	N.P.	Absence of rain or other precipitation
COLMA DI ARCOGLIO *	Torre di Santa Maria (SO)	2265	115	0	N.P.	N.P.	Absence of rain or other precipitation

(*) Out of field survey

INFORMATION MEANS PREVENTION - SCAN QRCODE TO KNOW DAILY AVALANCHE DANGER LEVEL!

IL CAPO DEL CENTRO NAZIONALE METEOMONT
(Ten. Col. RFI Emanuela Gini)
FIRMA AUTOGRAFA OMESSA AI SENSI
DELL'ART.3 DEL D.LGS N.39/1993

According to EAWS standards Meteomont bulletin is a synoptic-scale system (regional scale). It shall be the user's responsibility to correlate the danger level evaluation of the bulletin with a detailed and expertise analysis of the zonal hazards (single slope), that could be markedly different. Meteorological forecast are issued at UTC (for Italy: in winter time UTC+1: in summer time UTC+2).

Bulletin is subjected to check processes through: the record of Observers and Avalanches and snow Experts data in C-Sifa; the validation by forecasters; the certification by Meteomont Section.