MINISTERO DELLA DIFESA

meteomont Servizio Nazionale di previsione neve e valanghe

EAWS EUROPEAN AVALANCHE WARNING SERVICES

CARABINIERI

In collaborazione con: arpav

PREALPI

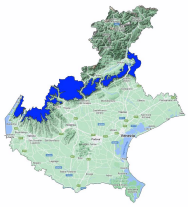

Avalanche Bulletin N. 371/2026 issued at 14:00 on 15/03/2026
48 hours validity. Next issue on 16/03/2026

By the METEOMONT Service of the ARMA dei CARABINIERI ITALY
In collaboration with Air Force Meteorological Service

Situation on 15/03/2026

DANGER PATTERNS: loose snow and wind.

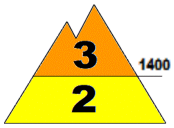



DANGER PATTERNS: rain on snow.

Snow line (m.a.s.l.)	North	South
	1100 - 1500	1300 - 1600

Snow depth (cm)	ground snow	new snow	Elevation (m.a.s.l.)
	79	008	1462
	35	004	1461

REGISTERED AVALANCHES: No avalanches detected.

FORECAST 16/03/2026

Danger level: CONSIDERABLE 3

DANGER PATTERNS: loose snow and wind.

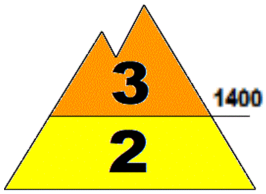



DANGER PATTERNS: rain on snow.

SNOWPACK: Snowpack stability is poor on many points (areas) above 1400 m.a.s.l. All aspects are critical. medium avalanches are possible.
Snowpack stability is moderate on many points (areas) below 1400 m.a.s.l. All aspects are critical. Medium avalanches are possible.

WARNING

Due to new snow,careful route choice and an excellent evaluation of snowpack stability is required.

EUROPEAN AVALANCHE WARNING SERVICE

AVALANCHE PROBLEMS

According to EAWS standards Meteomont bulletin is a synoptic-scale system (regional scale). It shall be the user's responsibility to correlate the danger level evaluation of the bulletin with a detailed and expertise analysis of the zonal hazards (single slope), that could be markedly different. Meteorological forecast are issued at UTC (for Italy: in winter time UTC+1: in summer time UTC+2).

Bulletin is subjected to check processes through: the record of Observers and Avalanches and snow Experts data in C-Sifa; the validation by forecasters; the certification by Meteomont Section.

PREALPI

WEATHER FORECAST FOR

Elevation		16/03/2026 h6:00	16/03/2026 h12:00	16/03/2026 h18:00
1000	Wind	02 Knots from N-East	01 Knots from North	01 Knots from S-East
	Temperatures	+04 °C	+08 °C	+07 °C
	Wind chill	4 °C	8 °C	7 °C
2000	Wind	01 Knots from North	01 Knots from North	04 Knots from N-East
	Temperatures	+00 °C	+00 °C	+01 °C
	Wind chill	0 °C	0 °C	-1 °C
3000	Wind	02 Knots from North	02 Knots from N-West	07 Knots from North
	Temperatures	-07 °C	-06 °C	-07 °C
	Wind chill	-7 °C	-6 °C	-13 °C
Freezing level		1900-2100 m.	1900-2100 m.	2000-2200 m.
Atmospheric phenomenon		—	—	—
Keys to sky condition				

KEYS TO ATMOSPHERIC PHENOMENON

— Absence of adverse weather phenomena
Fog
Mist
Light rain
Moderate rain
Heavy rain
Thunderstorm
Weak snowfall
Moderate snowfall
Heavy snowfall

KEYS TO SKY CONDITION

Clear
Partly cloudy
Cloudy
Mostly cloudy
Overcast

Weather and snow data recorded during field and out of field obsevations on 15/03/2026.

Observation field	District	Elevation (m.a.s.l.)	Snow depth (cm)	Snowfall in previous 24 hours (cm)	Temp. Min (°C)	Temp. Max (°C)	General weather conditions
PIAN CANSIGLIO	Tambre (BL)	1025	0	0	N.P.	N.P.	Light rain
GALLIO - BUSA FONDA	Gallio (VI)	1460	58	13	N.P.	N.P.	Heavy or moderate rain and snow or drizzle
MONTI LESSINI - MALGA SAN GIORGIO	Bosco Chiesanuova (VR)	1461	35	4 cm of fresh snow mixed with rain	0	+2	Hail or snow pellet shower

(*) Out of field survey

INFORMATION MEANS PREVENTION - SCAN QRCODE TO KNOW DAILY AVALANCHE DANGER LEVEL!

IL CAPO DEL CENTRO NAZIONALE METEOMONT
(Ten. Col. RFI Emanuela Gini)
FIRMA AUTOGRAFA OMESSA AI SENSI
DELL'ART.3 DEL D.LGS N.39/1993

According to EAWS standards Meteomont bulletin is a synoptic-scale system (regional scale). It shall be the user's responsibility to correlate the danger level evaluation of the bulletin with a detailed and expertise analysis of the zonal hazards (single slope), that could be markedly different. Meteorological forecast are issued at UTC (for Italy: in winter time UTC+1: in summer time UTC+2).

Bulletin is subjected to check processes through: the record of Observers and Avalanches and snow Experts data in C-Sifa; the validation by forecasters; the certification by Meteomont Section.