MINISTERO DELLA DIFESA

meteomont Servizio Nazionale di previsione neve e valanghe

EAWS EUROPEAN AVALANCHE WARNING SERVICES

CARABINIERI

In collaborazione con: arpav

# PREALPI

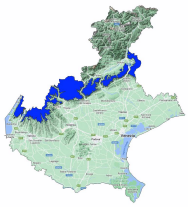

Avalanche Bulletin N. 372/2026 issued at 14:00 on 16/03/2026
48 hours validity. Next issue on 17/03/2026

**By the METEOMONT Service of the ARMA dei CARABINIERI ITALY**
**In collaboration with Air Force Meteorological Service**

## Situation on 16/03/2026

**DANGER PATTERNS: loose snow and wind.**

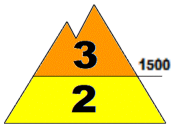





**DANGER PATTERNS: springtime situation.**

| Snow line (m.a.s.l.) | North | South |
|---|---|---|
| | 1100 - 1500 | 1400 - 1600 |

| Snow depth (cm) | ground snow | new snow | Elevation (m.a.s.l.) |
|---|---|---|---|
| | 75 | 000 | 1462 |
| | 35 | 000 | 1461 |

**REGISTERED AVALANCHES: No avalanches detected.**

## FORECAST 17/03/2026

# Danger level: CONSIDERABLE 3

## DANGER PATTERNS: loose snow and wind.

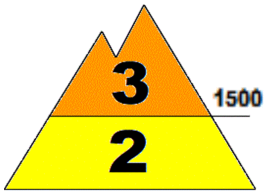





## DANGER PATTERNS: springtime situation.

**SNOWPACK: Snowpack stability is poor on many points (areas) above 1500 m.a.s.l. All aspects are critical. medium avalanches are possible.**
**Snowpack stability is moderate on many points (areas) below 1500 m.a.s.l. All South-facing slopes are critical. Medium avalanches are possible.**

## WARNING

Due to new snow,careful route choice and an excellent evaluation of snowpack stability is required.

## EUROPEAN AVALANCHE WARNING SERVICE

## AVALANCHE PROBLEMS

According to EAWS standards Meteomont bulletin is a synoptic-scale system (regional scale). It shall be the user's responsibility to correlate the danger level evaluation of the bulletin with a detailed and expertise analysis of the zonal hazards (single slope), that could be markedly different. Meteorological forecast are issued at UTC (for Italy: in winter time UTC+1: in summer time UTC+2).

Bulletin is subjected to check processes through: the record of Observers and Avalanches and snow Experts data in C-Sifa; the validation by forecasters; the certification by Meteomont Section.

# PREALPI

## WEATHER FORECAST FOR

| Elevation | | 17/03/2026 h6:00 | 17/03/2026 h12:00 | 17/03/2026 h18:00 |
|---|---|---|---|---|
| 1000 | Wind | 02 Knots from N-East | 02 Knots from North | 02 Knots from N-East |
| | Temperatures | +02 °C | +05 °C | +04 °C |
| | Wind chill | 2 °C | 5 °C | 4 °C |
| 2000 | Wind | 05 Knots from N-East | 03 Knots from N-East | 11 Knots from N-East |
| | Temperatures | -02 °C | -03 °C | -03 °C |
| | Wind chill | -5 °C | -5 °C | -9 °C |
| 3000 | Wind | 06 Knots from N-West | 06 Knots from North | 10 Knots from North |
| | Temperatures | -10 °C | -10 °C | -11 °C |
| | Wind chill | -16 °C | -16 °C | -19 °C |
| Freezing level | | 1500-1700 m. | 1500-1700 m. | 1500-1700 m. |
| Atmospheric phenomenon | | — | — | — |
| Keys to sky condition | | | | |

## KEYS TO ATMOSPHERIC PHENOMENON

— Absence of adverse weather phenomena
Fog
Mist
Light rain
Moderate rain
Heavy rain
Thunderstorm
Weak snowfall
Moderate snowfall
Heavy snowfall

## KEYS TO SKY CONDITION

Clear
Partly cloudy
Cloudy
Mostly cloudy
Overcast

## Weather and snow data recorded during field and out of field obsevations on 16/03/2026.

| Observation field | District | Elevation (m.a.s.l.) | Snow depth (cm) | Snowfall in previous 24 hours (cm) | Temp. Min (°C) | Temp. Max (°C) | General weather conditions |
|---|---|---|---|---|---|---|---|
| PIAN CANSIGLIO | Tambre (BL) | 1025 | 0 | 0 | -1 | +8 | Fog with visible sky |
| GALLIO - BUSA FONDA | Gallio (VI) | 1460 | 58 | 0 | 0 | +3 | Absence of rain or other precipitation |
| MONTI LESSINI - MALGA SAN GIORGIO | Bosco Chiesanuova (VR) | 1461 | 36 | 2 | -2 | +4 | Absence of rain or other precipitation |
| FIORENTINI * | Lastebasse (VI) | 1814 | 154 | 4 | N.P. | N.P. | Absence of rain or other precipitation |
| FORCELLA VAL BONA * | Arsiero (VI) | 1792 | 135 | 4 | N.P. | N.P. | Absence of rain or other precipitation |

(*) Out of field survey

**INFORMATION MEANS PREVENTION - SCAN QRCODE TO KNOW DAILY AVALANCHE DANGER LEVEL!**

**IL CAPO DEL CENTRO NAZIONALE METEOMONT**
**(Ten. Col. RFI Emanuela Gini)**
**FIRMA AUTOGRAFA OMESSA AI SENSI**
**DELL'ART.3 DEL D.LGS N.39/1993**

According to EAWS standards Meteomont bulletin is a synoptic-scale system (regional scale). It shall be the user's responsibility to correlate the danger level evaluation of the bulletin with a detailed and expertise analysis of the zonal hazards (single slope), that could be markedly different. Meteorological forecast are issued at UTC (for Italy: in winter time UTC+1: in summer time UTC+2).

Bulletin is subjected to check processes through: the record of Observers and Avalanches and snow Experts data in C-Sifa; the validation by forecasters; the certification by Meteomont Section.