MINISTERO DELLA DIFESA

meteomont Servizio Nazionale di previsione neve e valanghe

EAWS EUROPEAN AVALANCHE WARNING SERVICES

CARABINIERI

In collaborazione con: arpav

# PREALPI

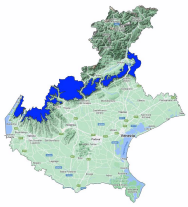

Avalanche Bulletin N. 371/2026 issued at 14:00 on 15/03/2026
48 hours validity. Next issue on 16/03/2026

**By the METEOMONT Service of the ARMA dei CARABINIERI ITALY**
**In collaboration with Air Force Meteorological Service**

## Situation on 15/03/2026

**DANGER PATTERNS: loose snow and wind.**

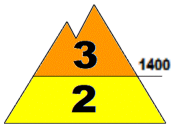





**DANGER PATTERNS: rain on snow.**

| Snow line (m.a.s.l.) | North | South |
|---|---|---|
| | 1100 - 1500 | 1300 - 1600 |

| Snow depth (cm) | ground snow | new snow | Elevation (m.a.s.l.) |
|---|---|---|---|
| | 79 | 008 | 1462 |
| | 35 | 004 | 1461 |

**REGISTERED AVALANCHES: No avalanches detected.**

## FORECAST 16/03/2026

# Danger level: CONSIDERABLE 3

## DANGER PATTERNS: loose snow and wind.

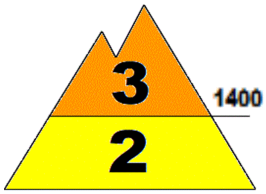





## DANGER PATTERNS: rain on snow.

**SNOWPACK: Snowpack stability is poor on many points (areas) above 1400 m.a.s.l. All aspects are critical. medium avalanches are possible.**
**Snowpack stability is moderate on many points (areas) below 1400 m.a.s.l. All aspects are critical. Medium avalanches are possible.**

## WARNING

Due to new snow,careful route choice and an excellent evaluation of snowpack stability is required.

## EUROPEAN AVALANCHE WARNING SERVICE

## AVALANCHE PROBLEMS

According to EAWS standards Meteomont bulletin is a synoptic-scale system (regional scale). It shall be the user's responsibility to correlate the danger level evaluation of the bulletin with a detailed and expertise analysis of the zonal hazards (single slope), that could be markedly different. Meteorological forecast are issued at UTC (for Italy: in winter time UTC+1: in summer time UTC+2).

Bulletin is subjected to check processes through: the record of Observers and Avalanches and snow Experts data in C-Sifa; the validation by forecasters; the certification by Meteomont Section.

# PREALPI

## WEATHER FORECAST FOR

| Elevation | | 16/03/2026 h6:00 | 16/03/2026 h12:00 | 16/03/2026 h18:00 |
|---|---|---|---|---|
| 1000 | Wind | 02 Knots from N-East | 01 Knots from North | 01 Knots from S-East |
| | Temperatures | +04 °C | +08 °C | +07 °C |
| | Wind chill | 4 °C | 8 °C | 7 °C |
| 2000 | Wind | 01 Knots from North | 01 Knots from North | 04 Knots from N-East |
| | Temperatures | +00 °C | +00 °C | +01 °C |
| | Wind chill | 0 °C | 0 °C | -1 °C |
| 3000 | Wind | 02 Knots from North | 02 Knots from N-West | 07 Knots from North |
| | Temperatures | -07 °C | -06 °C | -07 °C |
| | Wind chill | -7 °C | -6 °C | -13 °C |
| Freezing level | | 1900-2100 m. | 1900-2100 m. | 2000-2200 m. |
| Atmospheric phenomenon | | — | — | — |
| Keys to sky condition | | | | |

## KEYS TO ATMOSPHERIC PHENOMENON

— Absence of adverse weather phenomena
Fog
Mist
Light rain
Moderate rain
Heavy rain
Thunderstorm
Weak snowfall
Moderate snowfall
Heavy snowfall

## KEYS TO SKY CONDITION

Clear
Partly cloudy
Cloudy
Mostly cloudy
Overcast

## Weather and snow data recorded during field and out of field obsevations on 15/03/2026.

| Observation field | District | Elevation (m.a.s.l.) | Snow depth (cm) | Snowfall in previous 24 hours (cm) | Temp. Min (°C) | Temp. Max (°C) | General weather conditions |
|---|---|---|---|---|---|---|---|
| PIAN CANSIGLIO | Tambre (BL) | 1025 | 0 | 0 | N.P. | N.P. | Light rain |
| GALLIO - BUSA FONDA | Gallio (VI) | 1460 | 58 | 13 | N.P. | N.P. | Heavy or moderate rain and snow or drizzle |
| MONTI LESSINI - MALGA SAN GIORGIO | Bosco Chiesanuova (VR) | 1461 | 35 | 4 cm of fresh snow mixed with rain | 0 | +2 | Hail or snow pellet shower |

(*) Out of field survey

**INFORMATION MEANS PREVENTION - SCAN QRCODE TO KNOW DAILY AVALANCHE DANGER LEVEL!**

**IL CAPO DEL CENTRO NAZIONALE METEOMONT**
**(Ten. Col. RFI Emanuela Gini)**
**FIRMA AUTOGRAFA OMESSA AI SENSI**
**DELL'ART.3 DEL D.LGS N.39/1993**

According to EAWS standards Meteomont bulletin is a synoptic-scale system (regional scale). It shall be the user's responsibility to correlate the danger level evaluation of the bulletin with a detailed and expertise analysis of the zonal hazards (single slope), that could be markedly different. Meteorological forecast are issued at UTC (for Italy: in winter time UTC+1: in summer time UTC+2).

Bulletin is subjected to check processes through: the record of Observers and Avalanches and snow Experts data in C-Sifa; the validation by forecasters; the certification by Meteomont Section.