MINISTERO DELLA DIFESA

meteomont Servizio Nazionale di previsione neve e valanghe

EAWS EUROPEAN AVALANCHE WARNING SERVICES

CARABINIERI

In collaborazione con: MARCHE

# APPENNINO UMBRO-MARCHIG. MERID. - MONTI SIBILLINI

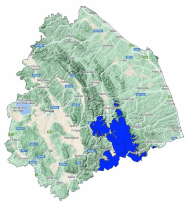

Avalanche Bulletin N. 329/2026 issued at 14:00 on 16/03/2026
48 hours validity. Next issue on 17/03/2026

**By the METEOMONT Service of the ARMA dei CARABINIERI ITALY**
**In collaboration with Air Force Meteorological Service**

## Situation on 16/03/2026

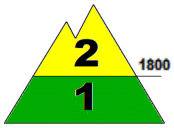


**DANGER PATTERNS: loose snow and wind.**




**DANGER PATTERNS: rain on snow.**

| Snow line (m.a.s.l.) | North | South |
|---|---|---|
| | 1600 - 1800 | 1800 - 1900 |

| Snow depth (cm) | ground snow | new snow | Elevation (m.a.s.l.) |
|---|---|---|---|
| | 90-120 | 030 | 2000 |
| | 020 - 040 | 010 | 1700 |

**REGISTERED AVALANCHES: No avalanches detected.**

## FORECAST 17/03/2026

## Danger level: MODERATE 2

## DANGER PATTERNS: loose snow and wind.

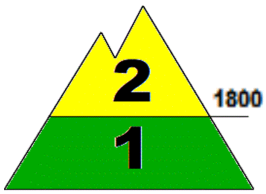





## DANGER PATTERNS: rain on snow.

**SNOWPACK: Snowpack stability is poor on some points (areas) above 1800 m.a.s.l. All West-facing slopes are critical. medium avalanches are possible.**
**Snowpack stability is moderate on very few points (areas) below 1800 m.a.s.l. All Isolated slopes are critical. Small avalanches are possible.**

## WARNING

Due to snow cover conditions ,outdoor activities beyond the maintained and marked tracks require a good evaluation of local danger points.

## EUROPEAN AVALANCHE WARNING SERVICE

## AVALANCHE PROBLEMS

According to EAWS standards Meteomont bulletin is a synoptic-scale system (regional scale). It shall be the user's responsibility to correlate the danger level evaluation of the bulletin with a detailed and expertise analysis of the zonal hazards (single slope), that could be markedly different. Meteorological forecast are issued at UTC (for Italy: in winter time UTC+1: in summer time UTC+2).

Bulletin is subjected to check processes through: the record of Observers and Avalanches and snow Experts data in C-Sifa; the validation by forecasters; the certification by Meteomont Section.

MINISTERO DELLA DIFESA

meteomont
Servizio Nazionale di previsione neve e valanghe

EAWS EUROPEAN AVALANCHE WARNING SERVICES

CARABINIERI

In collaborazione con: MARCHE

# APPENNINO UMBRO-MARCHIG. MERID. - MONTI SIBILLINI

## WEATHER FORECAST FOR

| Elevation | | 17/03/2026 h6:00 | 17/03/2026 h12:00 | 17/03/2026 h18:00 |
|---|---|---|---|---|
| 1000 | Wind | 02 Knots from North | 04 Knots from N-East | 05 Knots from North |
| | Temperatures | +01 °C | +01 °C | -02 °C |
| | Wind chill | 1 °C | -1 °C | -5 °C |
| 2000 | Wind | 05 Knots from N-East | 08 Knots from North | 11 Knots from North |
| | Temperatures | -02 °C | -04 °C | -07 °C |
| | Wind chill | -5 °C | -9 °C | -14 °C |
| 3000 | Wind | 02 Knots from North | 07 Knots from North | 14 Knots from North |
| | Temperatures | -08 °C | -09 °C | -13 °C |
| | Wind chill | -8 °C | -15 °C | -23 °C |
| Freezing level | | 1700-1900 m. | 1400-1600 m. | 1100-1300 m. |
| Atmospheric phenomenon | | — | — | — |
| Keys to sky condition | | | | |

## KEYS TO ATMOSPHERIC PHENOMENON

— Absence of adverse weather phenomena
Fog
Mist
Light rain
Moderate rain
Heavy rain
Thunderstorm
Weak snowfall
Moderate snowfall
Heavy snowfall

## KEYS TO SKY CONDITION

Clear
Partly cloudy
Cloudy
Mostly cloudy
Overcast

## Weather and snow data recorded during field and out of field obsevations on 16/03/2026.

| Observation field | District | Elevation (m.a.s.l.) | Snow depth (cm) | Snowfall in previous 24 hours (cm) | Temp. Min (°C) | Temp. Max (°C) | General weather conditions |
|---|---|---|---|---|---|---|---|
| FORCA DI GUALDO | Castelsantangelo sul Nera (MC) | 1496 | 10 | 10 | +0 | +5 | Continuous light snow |
| LA VALLETTA | Bolognola (MC) | 1352 | 0 | 0 | 0 | +6 | Absence of rain or other precipitation |
| COLLE | Montegallo (AP) | 1036 | 0 | 0 | +1 | +9 | Moderate rain |
| PARCO GUARNIERI | Montemonaco (AP) | 980 | 0 | 0 | +2 | +10 | Moderate rain |
| RIFUGIO PERUGIA | Norcia (PG) | 1500 | 0 | 0 | N.P. | N.P. | Heavy or moderate rain and snow or drizzle |
| FRONTIGNANO * | Ussita (MC) | 1635 | 6 | 1 | 0 | +5 | Absence of rain or other precipitation |

(*) Out of field survey

**INFORMATION MEANS PREVENTION - SCAN QRCODE TO KNOW DAILY AVALANCHE DANGER LEVEL!**

IL CAPO DEL CENTRO NAZIONALE METEOMONT
(Ten. Col. RFI Emanuela Gini)
FIRMA AUTOGRAFA OMESSA AI SENSI
DELL'ART.3 DEL D.LGS N.39/1993

According to EAWS standards Meteomont bulletin is a synoptic-scale system (regional scale). It shall be the user's responsibility to correlate the danger level evaluation of the bulletin with a detailed and expertise analysis of the zonal hazards (single slope), that could be markedly different. Meteorological forecast are issued at UTC (for Italy: in winter time UTC+1: in summer time UTC+2).

Bulletin is subjected to check processes through: the record of Observers and Avalanches and snow Experts data in C-Sifa; the validation by forecasters; the certification by Meteomont Section.