Wednesday 18.03.2026

Published 17 03 2026, 17:00

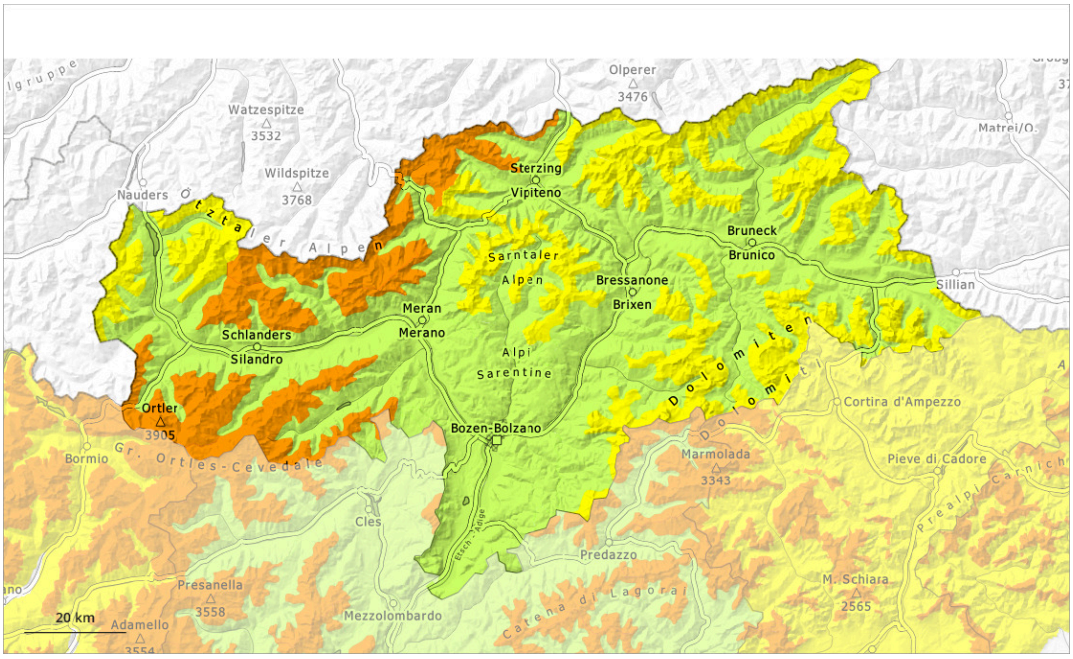

1	2	3	4	5
low	moderate	considerable	high	very high

Danger Level 3 - Considerable

2000m

Tendency: Decreasing avalanche danger
on Thursday 19 03 2026

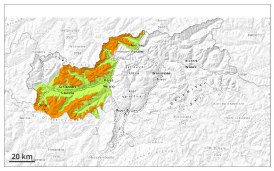

Wind slab

2000m

Persistent weak layer

2000m

Wind slabs and weakly bonded old snow require caution.

The fresh and somewhat older wind slabs can be released easily by a single winter sport participant in all aspects. Avalanche prone locations are to be found in gullies and bowls, and behind abrupt changes in the terrain above approximately 2000 m. The prevalence of avalanche prone locations and likelihood of triggering will increase with altitude. Avalanches can reach medium size.
Shooting cracks when stepping on the snowpack can indicate the danger.

Avalanches can in isolated cases be triggered in near-ground layers and reach large size in isolated cases. The avalanche prone locations are to be found in particular on very steep west, north and east facing slopes above approximately 2000 m.

Backcountry touring calls for experience in the assessment of avalanche danger.

Snowpack

Danger patterns dp.6: cold, loose snow and wind | dp.1: deep persistent weak layer

As a consequence of new snow and a strong wind from variable directions, avalanche prone wind slabs formed in the last few days. As a consequence of a sometimes strong easterly wind, further wind slabs will form. Fresh and somewhat older wind slabs are lying on the unfavourable surface of an old snowpack.

Avalanche prone weak layers exist in the bottom section of the snowpack on west, north and east facing slopes. This applies above approximately 2000 m.

Tendency

The weather conditions will facilitate a gradual stabilisation of the snow drift accumulations. Wind slabs and weakly bonded old snow require caution.

Danger Level 2 - Moderate

2200m

Tendency: Constant avalanche danger
on Thursday 19 03 2026

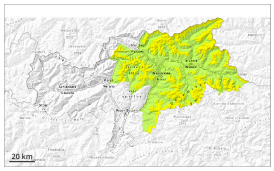

Wind slab

2200m

Persistent weak layer

2200m

Fresh wind slabs require caution. Weakly bonded old snow requires caution.

As a consequence of the sometimes strong wind the wind slabs will increase in size moderately. The wind slabs can be released by a single winter sport participant in some cases in particular on west to north to east facing aspects above approximately 2200 m. Such avalanche prone locations are to be found in gullies and bowls, and behind abrupt changes in the terrain.
Avalanches can in isolated cases be triggered in near-ground layers and reach medium size. Such avalanche prone locations are rare but are barely recognisable.

Snowpack

Danger patterns dp.6: cold, loose snow and wind | dp.7: snow-poor zones in snow-rich surrounding

The wind will be strong at times. As a consequence of the easterly wind the wind slabs will increase in size moderately. The fresh and somewhat older wind slabs are lying on the unfavourable surface of an old snowpack in particular on west to north to east facing aspects at elevated altitudes.

West, north and east facing slopes above approximately 2200 m: Avalanche prone weak layers exist in the bottom section of the old snowpack.

Tendency

The weather conditions will facilitate a gradual stabilisation of the snow drift accumulations. Wind slabs and weakly bonded old snow require caution.

Danger Level 2 - Moderate

2000m

Tendency: Constant avalanche danger
on Thursday 19 03 2026

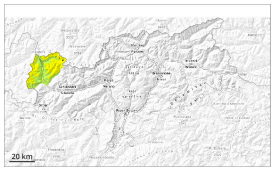

Wind slab

2000m

Persistent weak layer

2000m

Fresh wind slabs require caution. Weakly bonded old snow requires caution.

Fresh and somewhat older wind slabs can be released easily in some places, especially on very steep west, north and east facing slopes above approximately 2000 m. Avalanche prone locations are to be found in gullies and bowls, and behind abrupt changes in the terrain. The prevalence of avalanche prone locations and likelihood of triggering will increase with altitude. Small and, in isolated cases, medium-sized avalanches are possible.

Additionally in isolated cases avalanches can be triggered in near-ground layers. The avalanche prone locations are to be found in particular on very steep west, north and east facing slopes above approximately 2000 m.

Snowpack

Danger patterns dp.6: cold, loose snow and wind | dp.7: snow-poor zones in snow-rich surrounding

Some snow has fallen since Monday. As a consequence of a sometimes strong wind from variable directions, sometimes avalanche prone wind slabs formed. Fresh and somewhat older wind slabs are lying on the unfavourable surface of an old snowpack.

Avalanche prone weak layers exist in the bottom section of the snowpack on west, north and east facing slopes. This applies above approximately 2000 m. Such avalanche prone locations are rare but are barely recognisable.

Tendency

Wind slabs and weakly bonded old snow require caution.

Danger Level 1 - Low

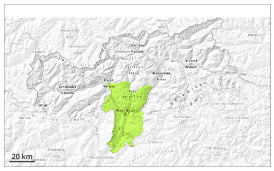

1

Tendency: Constant avalanche danger
on Thursday 19 03 2026

Low avalanche danger will prevail.

As a consequence of warming during the day individual moist snow slides and avalanches are possible, but they will be mostly small, in the event of solar radiation in particular on extremely steep slopes.
Dry avalanches can be released, in particular by large loads, but they will be small in most cases. Individual avalanche prone locations are to be found on steep shady slopes at high altitude.

Snowpack

Danger patterns dp.10: springtime scenario

Shady slopes: Isolated avalanche prone weak layers exist in the old snowpack in particular on northwest, north and northeast facing slopes.

Sunny slopes: The old snowpack will be moist. The weather conditions will give rise to thorough wetting of the snowpack at intermediate and high altitudes.

Tendency

Low avalanche danger will prevail.