BUTLLETÍ DEL PERILL D'ALLAUS DEL PRINCIPAT D'ANDORRA

Servei meteorològic nacional
Principat d'Andorra

Prepared on 17/03/2026 16:00
Next update 18/03/2026 at 16 am

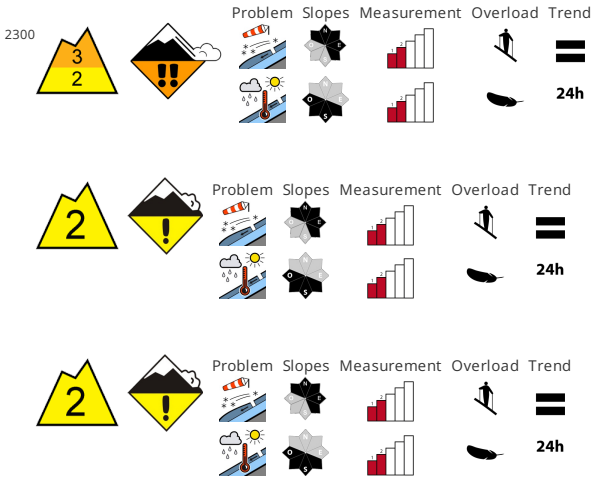

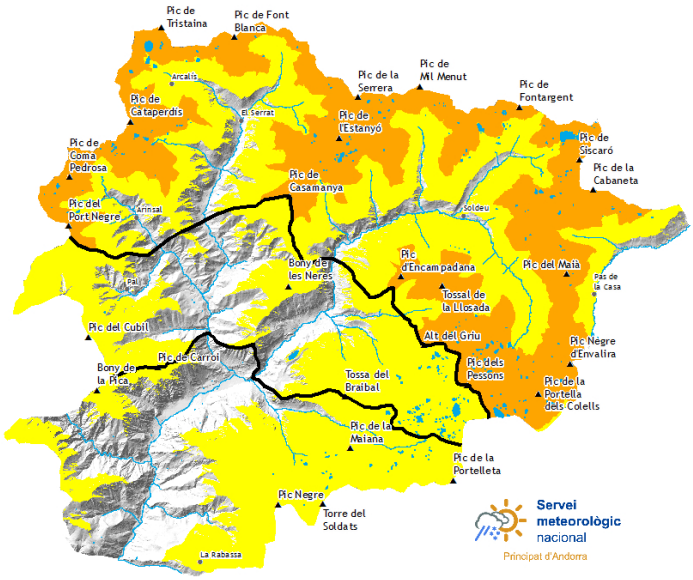

SNOW QUALITY

The wind slabs represent the main danger. Avalanche prone weak layers exist in the top section of the snowpack in particular on steep northwest, north and east facing slopes. Wind slabs can be released easily and reach medium size. The avalanche prone locations are to be found in areas close to the tree line and at transitions from a shallow to a deep snowpack. As a consequence of warming during the day and solar radiation moist small and medium sized avalanches are possible. This applies on steep sunny slopes , as well as at the base of rock walls.

STABILITY OF THE SNOW MANTLE

Sunny slopes and low and intermediate altitudes :. The surface of the snowpack will freeze to form a strong crust and will already soften in the late morning. Adjacent to ridgelines snow depths vary greatly, depending on the infuence of the wind. Wind-loaded slopes are treacherous. Maintaining distances between individuals is recommended.

OFF-PISTE SNOW COVER THICKNESSES

North zone		Snow thickness		
Snowpack		1500m	2000m	2500m
N	1600 m	0 cm	150 cm	200 cm
S	1900 m	0 cm	100 cm	150 cm

Center area		Snow thickness		
Snowpack		1500m	2000m	2500m
N	1600 m	0 cm	150 cm	200 cm
S	1900 m	0 cm	100 cm	150 cm

South zone		Snow thickness		
Snowpack		1500m	2000m	2500m
N	1600 m	0 cm	120 cm	150 cm
S	1900 m	0 cm	60 cm	100 cm

Govern d'Andorra

EAWS
EUROPEAN AVALANCHE WARNING SERVICES

Aquest butlletí ha estat elaborat seguint les normes i recomanacions de l'**European Avalanche Warning Services**, del qual el **Servei meteorològic Nacional** n'és membre

Detailed information for protected areas

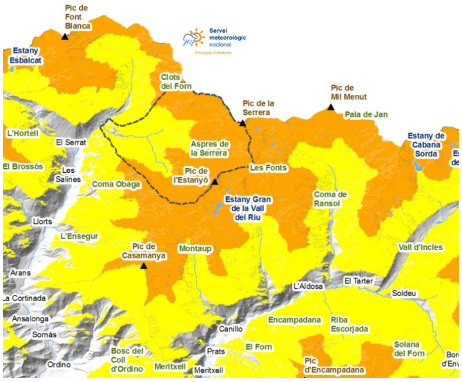

SORTENY

The wintry atmosphere of the weekend has buried the old snow, but the wind left it exposed on changes in grade, ridges and north-facing slopes. Often, the wind carried away the new snow as well as the old and left the tracks in relief. The increase in daytime temperatures makes the texture of the snow very different in just a few meters, as the new snow moistens faster and slides less. Attention with the wind plates on the east, south and west slopes, where these first days you will have to drive more carefully.

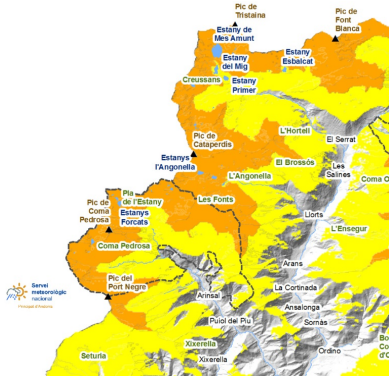

COMAPEDROSA

At high altitudes, old snow is well frozen and exposed in windy areas. We will identify it by the color change with the new snow. It will be safer and more stable to drive on the old snow. The new snow has not been enough to cover the basal sliding cracks, which still represent a fall hazard.

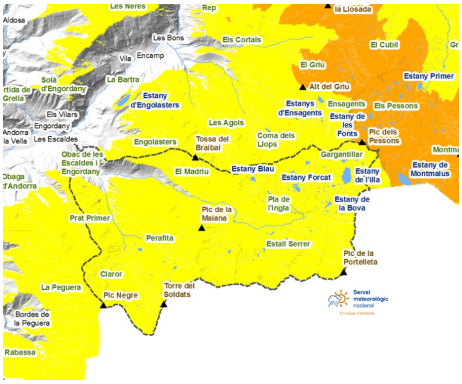

MADRIU-PERAFITA-CLAROR

The accesses with skis from the Cortals d´Encamp, the Rabassa and Grau Roig are still covered with snow, but the blown snow on the north and east slopes must make us drive with caution.

BUTLLETÍ DEL PERILL D'ALLAUS DEL PRINCIPAT D'ANDORRA

Servei meteorològic nacional
Principat d'Andorra

Thick snow in recent days (last 24 hours measured at 06:00 UTC)

	13/03/2026	14/03/2026	15/03/2026	16/03/2026
FEDA (Central)	0 cm	0 cm	0 cm	0 cm
Engolasters - FEDA	0 cm	6 cm	0 cm	0 cm
Bony de les Neres	3 cm	14 cm	0 cm	0 cm
Sorteny	8 cm	25 cm	3 cm	0 cm
Les Fonts d'Arinsal	9 cm	26 cm	0 cm	0 cm
Perafita	0 cm	4 cm	34 cm	0 cm
Tossa Espiolets	5 cm	0 cm	0 cm	0 cm
Grau Roig - FEDA	4 cm	21 cm	0 cm	0 cm
Fontverd	0 cm	29 cm	0 cm	0 cm
Ransol - FEDA	0 cm	8 cm	0 cm	0 cm
Caborreu	5 cm	11 cm	0 cm	0 cm
La Solana	3 cm	29 cm	0 cm	0 cm
Coll Pa	4 cm	4 cm	0 cm	0 cm
Envalira Antenes	0 cm	37 cm	6 cm	0 cm
Vall del Riu FEDA	9 cm	14 cm	0 cm	0 cm