BUTLLETÍ DEL PERILL D'ALLAUS DEL PRINCIPAT D'ANDORRA

Prepared on 18/03/2026 16:00
Next update 19/03/2026 at 16 am

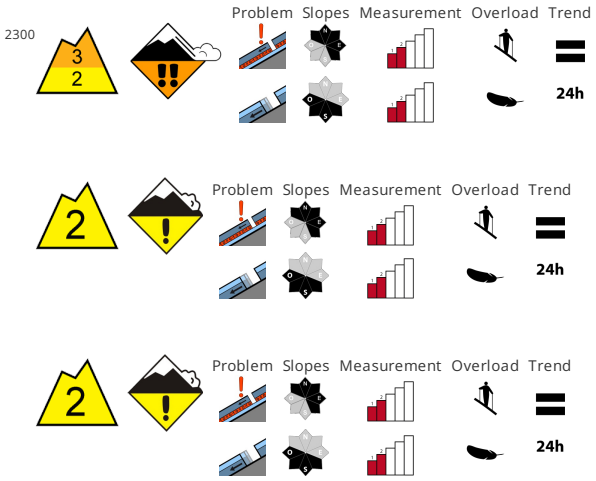

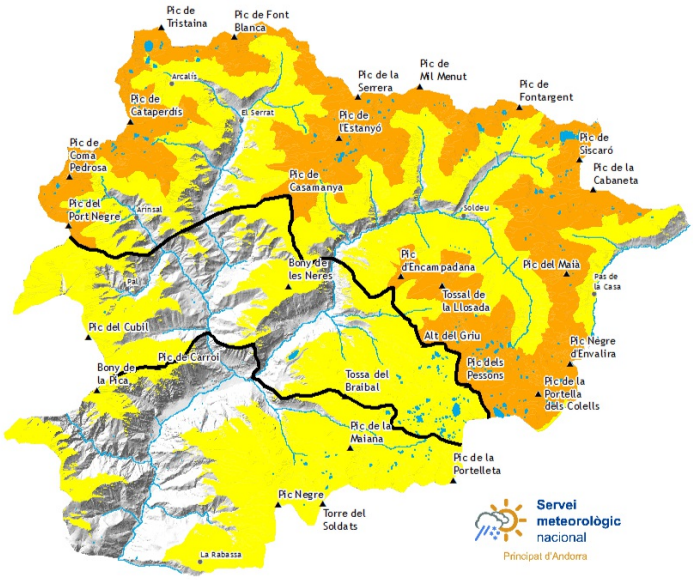

SNOW QUALITY

Avalanche prone weak layers exist in the top section of the snowpack in particular on steep northwest, north and east facing slopes. These can be released easily and reach medium size. The avalanche prone locations are to be found in areas close to the tree line and at transitions from a shallow to a deep snowpack. As the penetration by moisture increases gliding avalanches are possible. The avalanche prone locations are barely recognisable because of the poor visibility. The avalanche danger will persist.

STABILITY OF THE SNOW MANTLE

Above approximately 2000 m snow will fall during the night. The surface of the snowpack will cool hardly at all during the overcast night and will already soften in the late morning. Adjacent to ridgelines snow depths vary greatly, depending on the infuence of the wind. Wind-loaded slopes are treacherous. Maintaining distances between individuals is recommended.

OFF-PISTE SNOW COVER THICKNESSES

North zone		Snow thickness		
Snowpack		1500m	2000m	2500m
N	1600 m	0 cm	150 cm	200 cm
S	1900 m	0 cm	100 cm	150 cm

Center area		Snow thickness		
Snowpack		1500m	2000m	2500m
N	1600 m	0 cm	150 cm	200 cm
S	1900 m	0 cm	100 cm	150 cm

South zone		Snow thickness		
Snowpack		1500m	2000m	2500m
N	1600 m	0 cm	120 cm	150 cm
S	1900 m	0 cm	60 cm	100 cm

Detailed information for protected areas

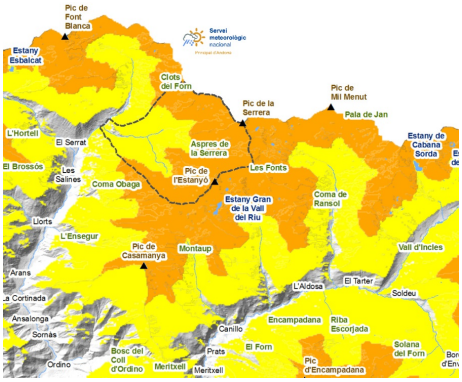

SORTENY

The wintry atmosphere of the weekend buried the old snow, but the wind left it exposed on changes in grade, ridges and north-facing slopes. Attention with the wind plates on the east, south and west slopes, where you will have to drive more carefully. The increase in daytime temperatures has made the texture of the snow very different in just a few meters, as the new snow moistens faster and slides less. The few centimeters that will fall until Thursday will not change the current conditions.

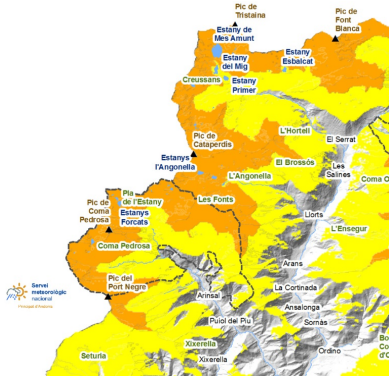

COMAPEDROSA

At high altitudes, old snow is well frozen and exposed in windy areas. We will identify it by the color change with the new snow. It will be safer and more stable to drive on the old snow. The new snow has not been enough to cover the basal sliding cracks, which still represent a fall hazard.

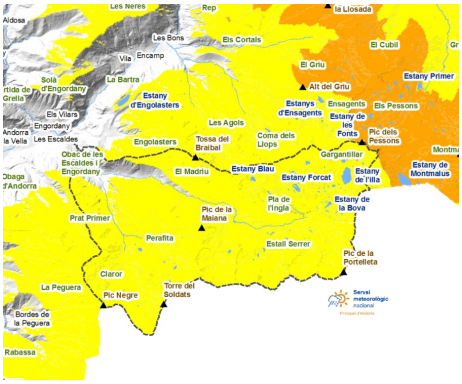

MADRIU-PERAFITA-CLAROR

The accesses with skis from the Cortals d´Encamp, the Rabassa and Grau Roig are still covered with snow, but the blown snow on the north and east slopes must make us drive with caution.

BUTLLETÍ DEL PERILL D'ALLAUS DEL PRINCIPAT D'ANDORRA

Servei meteorològic nacional
Principat d'Andorra

Thick snow in recent days (last 24 hours measured at 06:00 UTC)

	14/03/2026	15/03/2026	16/03/2026	17/03/2026
FEDA (Central)	0 cm	0 cm	0 cm	0 cm
Engolasters - FEDA	6 cm	0 cm	0 cm	0 cm
Bony de les Neres	14 cm	0 cm	0 cm	0 cm
Sorteny	25 cm	3 cm	0 cm	0 cm
Les Fonts d'Arinsal	26 cm	0 cm	0 cm	0 cm
Perafita	4 cm	34 cm	0 cm	0 cm
Tossa Espiolets	0 cm	0 cm	0 cm	0 cm
Grau Roig - FEDA	21 cm	0 cm	0 cm	0 cm
Fontverd	29 cm	0 cm	0 cm	0 cm
Ransol - FEDA	8 cm	0 cm	0 cm	0 cm
Caborreu	11 cm	0 cm	0 cm	0 cm
La Solana	29 cm	0 cm	0 cm	0 cm
Coll Pa	4 cm	0 cm	0 cm	4 cm
Envalira Antenes	37 cm	6 cm	0 cm	0 cm
Vall del Riu FEDA	14 cm	0 cm	0 cm	0 cm