MINISTERO DELLA DIFESA

meteomont
Servizio Nazionale di previsione neve e valanghe

EAWS EUROPEAN AVALANCHE WARNING SERVICES

CARABINIERI

# ALPI GIULIE

Avalanche Bulletin N. 378/2026 issued at 14:00 on 18/03/2026
48 hours validity. Next issue on 19/03/2026

**By the METEOMONT Service of the ARMA dei CARABINIERI ITALY**
**In collaboration with Air Force Meteorological Service**

## Situation on 18/03/2026

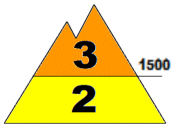


**DANGER PATTERNS: loose snow and wind.**

**DANGER PATTERNS: springtime situation.**

| Snow line (m.a.s.l.) | North | South |
|---|---|---|
| | 700 - 1000 | 700 - 1000 |

| Snow depth (cm) | ground snow | new snow | Elevation (m.a.s.l.) |
|---|---|---|---|
| | 198 | 001 | 1837 |
| | 90 | 002 | 1530 |

**REGISTERED AVALANCHES: -.**

## FORECAST 19/03/2026

# Danger level: CONSIDERABLE 3

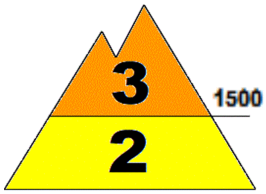


## DANGER PATTERNS: loose snow and wind.

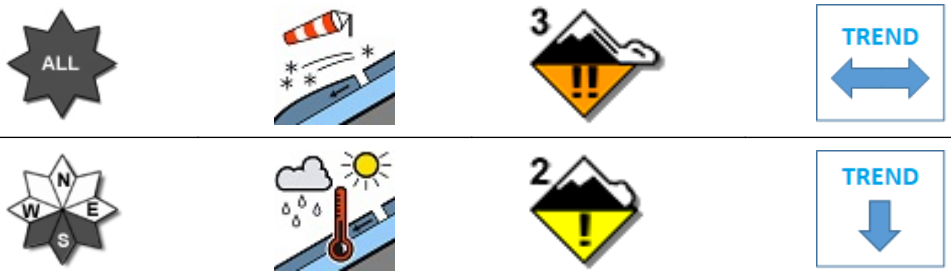


## DANGER PATTERNS: springtime situation.

**SNOWPACK: Snowpack stability is very poor on some points (areas) above 1500 m.a.s.l. All aspects are critical. large avalanches are possible.**
**Snowpack stability is moderate on some points (areas) below 1500 m.a.s.l. All South-facing slopes are critical. Medium avalanches are possible.**

## WARNING

Due to observed wind activity, avoid accumulation zones, bowls, gullies, irregular slopes and leeward slopes in general.

## EUROPEAN AVALANCHE WARNING SERVICE

## AVALANCHE PROBLEMS

According to EAWS standards Meteomont bulletin is a synoptic-scale system (regional scale). It shall be the user's responsibility to correlate the danger level evaluation of the bulletin with a detailed and expertise analysis of the zonal hazards (single slope), that could be markedly different. Meteorological forecast are issued at UTC (for Italy: in winter time UTC+1: in summer time UTC+2).

Bulletin is subjected to check processes through: the record of Observers and Avalanches and snow Experts data in C-Sifa; the validation by forecasters; the certification by Meteomont Section.

# ALPI GIULIE

## WEATHER FORECAST FOR

| Elevation | | 19/03/2026 h6:00 | 19/03/2026 h12:00 | 19/03/2026 h18:00 |
|---|---|---|---|---|
| 1000 | Wind | 02 Knots from N-East | 03 Knots from N-East | 02 Knots from N-East |
| | Temperatures | -02 °C | +01 °C | +00 °C |
| | Wind chill | -2 °C | -1 °C | 0 °C |
| 2000 | Wind | 12 Knots from N-East | 11 Knots from N-East | 11 Knots from N-East |
| | Temperatures | -05 °C | -04 °C | -03 °C |
| | Wind chill | -12 °C | -10 °C | -9 °C |
| 3000 | Wind | 17 Knots from N-East | 17 Knots from N-East | 15 Knots from N-East |
| | Temperatures | -09 °C | -09 °C | -10 °C |
| | Wind chill | -18 °C | -18 °C | -19 °C |
| Freezing level | | 0900-1100 m. | 1100-1300 m. | 0900-1100 m. |
| Atmospheric phenomenon | | — | — | — |
| Keys to sky condition | | | | |

## KEYS TO ATMOSPHERIC PHENOMENON

— Absence of adverse weather phenomena
Fog
Mist
Light rain
Moderate rain
Heavy rain
Thunderstorm
Weak snowfall
Moderate snowfall
Heavy snowfall

## KEYS TO SKY CONDITION

Clear
Partly cloudy
Cloudy
Mostly cloudy
Overcast

## Weather and snow data recorded during field and out of field obsevations on 18/03/2026.

| Observation field | District | Elevation (m.a.s.l.) | Snow depth (cm) | Snowfall in previous 24 hours (cm) | Temp. Min (°C) | Temp. Max (°C) | General weather conditions |
|---|---|---|---|---|---|---|---|
| PASSO PRAMOLLO | Pontebba (UD) | 1530 | 90 | 2 | -4 | +4 | Continuous light snow |
| MONTE LUSSARI | Tarvisio (UD) | 1750 | 93 | 2 | -7 | +6 | Moderate snow |
| PASSO PREDIL | Tarvisio (UD) | 1130 | 58 | 2 | -2 | +4 | Absence of rain or other precipitation |

(*) Out of field survey

**INFORMATION MEANS PREVENTION - SCAN QRCODE TO KNOW DAILY AVALANCHE DANGER LEVEL!**

**IL CAPO DEL CENTRO NAZIONALE METEOMONT**
**(Ten. Col. RFI Emanuela Gini)**
**FIRMA AUTOGRAFA OMESSA AI SENSI**
**DELL'ART.3 DEL D.LGS N.39/1993**

According to EAWS standards Meteomont bulletin is a synoptic-scale system (regional scale). It shall be the user's responsibility to correlate the danger level evaluation of the bulletin with a detailed and expertise analysis of the zonal hazards (single slope), that could be markedly different. Meteorological forecast are issued at UTC (for Italy: in winter time UTC+1: in summer time UTC+2).

Bulletin is subjected to check processes through: the record of Observers and Avalanches and snow Experts data in C-Sifa; the validation by forecasters; the certification by Meteomont Section.