MINISTERO DELLA DIFESA

meteomont Servizio Nazionale di previsione neve e valanghe

EAWS EUROPEAN AVALANCHE WARNING SERVICES

CARABINIERI

In collaborazione con: MARCHE

APPENNINO UMBRO-MARCHIG. MERID. - MONTI SIBILLINI

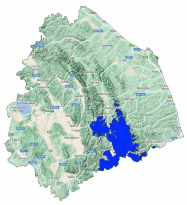

Avalanche Bulletin N. 331/2026 issued at 14:00 on 18/03/2026
48 hours validity. Next issue on 19/03/2026

By the METEOMONT Service of the ARMA dei CARABINIERI ITALY
In collaboration with Air Force Meteorological Service

Situation on 18/03/2026

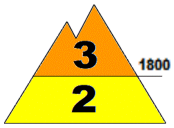

DANGER PATTERNS: loose snow and wind.



DANGER PATTERNS: loose snow and wind.

Snow line (m.a.s.l.)	North	South
	0700 - 0800	0700 - 0800

Snow depth (cm)	ground snow	new snow	Elevation (m.a.s.l.)
	100-140	020-030	2000
	010 - 020	010 - 020	1500

REGISTERED AVALANCHES: -.

FORECAST 19/03/2026

Danger level: CONSIDERABLE 3

DANGER PATTERNS: loose snow and wind.

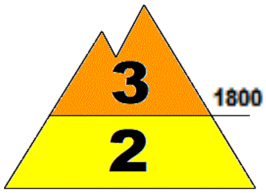

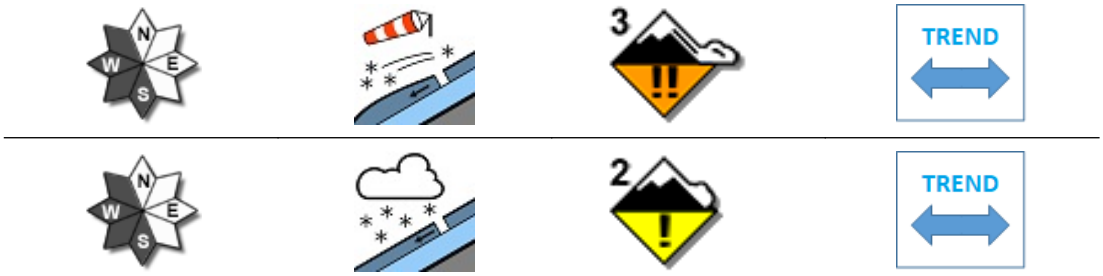

DANGER PATTERNS: loose snow and wind.

SNOWPACK: Snowpack stability is poor on many points (areas) above 1800 m.a.s.l. All Southwest-facing slopes are critical. large avalanches are possible.
Snowpack stability is poor on some points (areas) below 1800 m.a.s.l. All Southwest-facing slopes are critical. Medium avalanches are possible.

WARNING

Due to current severe weather conditions and reduced visibility,route choice and evaluation will become difficult.

EUROPEAN AVALANCHE WARNING SERVICE

AVALANCHE PROBLEMS

According to EAWS standards Meteomont bulletin is a synoptic-scale system (regional scale). It shall be the user's responsibility to correlate the danger level evaluation of the bulletin with a detailed and expertise analysis of the zonal hazards (single slope), that could be markedly different. Meteorological forecast are issued at UTC (for Italy: in winter time UTC+1: in summer time UTC+2).

Bulletin is subjected to check processes through: the record of Observers and Avalanches and snow Experts data in C-Sifa; the validation by forecasters; the certification by Meteomont Section.

MINISTERO DELLA DIFESA

meteomont
Servizio Nazionale di previsione neve e valanghe

EAWS EUROPEAN AVALANCHE WARNING SERVICES

CARABINIERI

In collaborazione con: MARCHE

APPENNINO UMBRO-MARCHIG. MERID. - MONTI SIBILLINI

WEATHER FORECAST FOR

Elevation		19/03/2026 h6:00	19/03/2026 h12:00	19/03/2026 h18:00
1000	Wind	06 Knots from N-East	05 Knots from East	04 Knots from East
	Temperatures	-02 °C	-02 °C	-02 °C
	Wind chill	-6 °C	-5 °C	-5 °C
2000	Wind	11 Knots from N-East	10 Knots from East	08 Knots from East
	Temperatures	-05 °C	-05 °C	-05 °C
	Wind chill	-12 °C	-11 °C	-11 °C
3000	Wind	13 Knots from East	08 Knots from East	11 Knots from East
	Temperatures	-06 °C	-08 °C	-09 °C
	Wind chill	-13 °C	-14 °C	-17 °C
Freezing level		1100-1300 m.	1200-1400 m.	1100-1300 m.
Atmospheric phenomenon				—
Keys to sky condition				

KEYS TO ATMOSPHERIC PHENOMENON

— Absence of adverse weather phenomena
Fog
Mist
Light rain
Moderate rain
Heavy rain
Thunderstorm
Weak snowfall
Moderate snowfall
Heavy snowfall

KEYS TO SKY CONDITION

Clear
Partly cloudy
Cloudy
Mostly cloudy
Overcast

Weather and snow data recorded during field and out of field obsevations on 18/03/2026.

Observation field	District	Elevation (m.a.s.l.)	Snow depth (cm)	Snowfall in previous 24 hours (cm)	Temp. Min (°C)	Temp. Max (°C)	General weather conditions
LA CONA (CASTELSANTANGELO SUL NERA) *	Castelsantangelo sul Nera (MC)	1541	20	20	-4	0	Continuous light snow
COLLE	Montegallo (AP)	1036	15	15	-2	+7	Continuous light snow
PARCO GUARNIERI	Montemonaco (AP)	980	13	13	-2	+9	Continuous light snow
RIFUGIO PERUGIA	Norcia (PG)	1500	10	10	N.P.	N.P.	Continuous light snow
FRONTIGNANO *	Ussita (MC)	1409	15	15	N.P.	N.P.	Moderate snow

(*) Out of field survey

INFORMATION MEANS PREVENTION - SCAN QRCODE TO KNOW DAILY AVALANCHE DANGER LEVEL!

IL CAPO DEL CENTRO NAZIONALE METEOMONT
(Ten. Col. RFI Emanuela Gini)
FIRMA AUTOGRAFA OMESSA AI SENSI
DELL'ART.3 DEL D.LGS N.39/1993

According to EAWS standards Meteomont bulletin is a synoptic-scale system (regional scale). It shall be the user's responsibility to correlate the danger level evaluation of the bulletin with a detailed and expertise analysis of the zonal hazards (single slope), that could be markedly different. Meteorological forecast are issued at UTC (for Italy: in winter time UTC+1: in summer time UTC+2).

Bulletin is subjected to check processes through: the record of Observers and Avalanches and snow Experts data in C-Sifa; the validation by forecasters; the certification by Meteomont Section.