MINISTERO DELLA DIFESA

meteomont
Servizio Nazionale di previsione neve e valanghe

EAWS EUROPEAN AVALANCHE WARNING SERVICES

CARABINIERI

APPENNINO EMILIANO CENTRALE

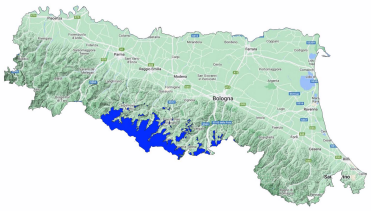

Avalanche Bulletin N. 351/2026 issued at 14:00 on 19/03/2026
48 hours validity. Next issue on 20/03/2026

By the METEOMONT Service of the ARMA dei CARABINIERI ITALY
In collaboration with Air Force Meteorological Service

Situation on 19/03/2026

DANGER PATTERNS: loose snow and wind.

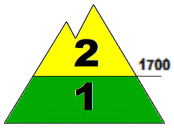

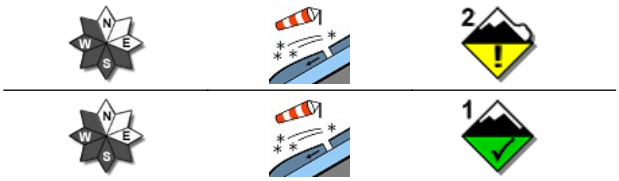

DANGER PATTERNS: cold on warm / warm on cold.

Snow line (m.a.s.l.)	North	South
	1200 - 1300	1200 - 1300

Snow depth (cm)	ground snow	new snow	Elevation (m.a.s.l.)
	111	007	1840
	042	003	1550

REGISTERED AVALANCHES: No avalanches detected.

FORECAST 20/03/2026

Danger level: MODERATE 2

DANGER PATTERNS: loose snow and wind.

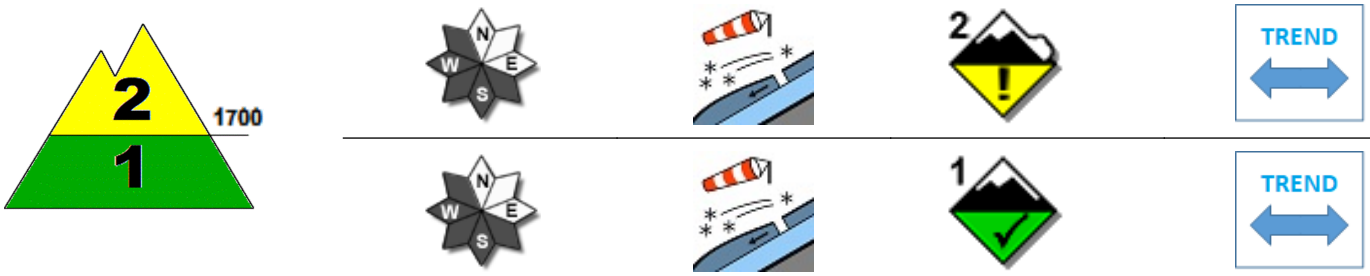

DANGER PATTERNS: cold on warm / warm on cold.

SNOWPACK: Snowpack stability is poor on some points (areas) above 1700 m.a.s.l. All are critical. medium avalanches are possible.
Snowpack stability is moderate on few points (areas) below 1700 m.a.s.l. All are critical. Small avalanches are possible.

WARNING

Due to the wind conditions forecast, avoid any accumulation zones, bowls, gullies and irregular leeward slopes.

EUROPEAN AVALANCHE WARNING SERVICE

AVALANCHE PROBLEMS

According to EAWS standards Meteomont bulletin is a synoptic-scale system (regional scale). It shall be the user's responsibility to correlate the danger level evaluation of the bulletin with a detailed and expertise analysis of the zonal hazards (single slope), that could be markedly different. Meteorological forecast are issued at UTC (for Italy: in winter time UTC+1: in summer time UTC+2).

Bulletin is subjected to check processes through: the record of Observers and Avalanches and snow Experts data in C-Sifa; the validation by forecasters; the certification by Meteomont Section.

APPENNINO EMILIANO CENTRALE

WEATHER FORECAST FOR

Elevation		20/03/2026 h6:00	20/03/2026 h12:00	20/03/2026 h18:00
1000	Wind	04 Knots from East	02 Knots from N-East	01 Knots from East
	Temperatures	-01 °C	+03 °C	+03 °C
	Wind chill	-4 °C	3 °C	3 °C
2000	Wind	13 Knots from N-East	07 Knots from N-East	05 Knots from North
	Temperatures	-04 °C	-03 °C	-01 °C
	Wind chill	-11 °C	-8 °C	-4 °C
3000	Wind	13 Knots from N-East	09 Knots from North	08 Knots from N-East
	Temperatures	-08 °C	-07 °C	-06 °C
	Wind chill	-16 °C	-13 °C	-12 °C
Freezing level		1100-1300 m.	1400-1600 m.	1800-2000 m.
Atmospheric phenomenon		—	—	—
Keys to sky condition				

KEYS TO ATMOSPHERIC PHENOMENON

— Absence of adverse weather phenomena
Fog
Mist
Light rain
Moderate rain
Heavy rain
Thunderstorm
Weak snowfall
Moderate snowfall
Heavy snowfall

KEYS TO SKY CONDITION

Clear
Partly cloudy
Cloudy
Mostly cloudy
Overcast

Weather and snow data recorded during field and out of field obsevations on 19/03/2026.

Observation field	District	Elevation (m.a.s.l.)	Snow depth (cm)	Snowfall in previous 24 hours (cm)	Temp. Min (°C)	Temp. Max (°C)	General weather conditions
PASSO PRADARENA	Ventasso (RE)	1585	5	N.P.	-4	-1	Absence of rain or other precipitation
MONTE CUSNA	Villa Minozzo (RE)	1164	0	0	N.P.	N.P.	Absence of rain or other precipitation
RIFUGIO CAVONE	Lizzano in Belvedere (BO)	1416	21	2	-2	+2	Absence of rain or other precipitation
LAGO DELLA NINFA	Sestola (MO)	1550	42	3	-1	+2	Absence of rain or other precipitation
PIANCAVALLARO	Riolunato (MO)	1840	111	7	-3	-1	Absence of rain or other precipitation

(*) Out of field survey

INFORMATION MEANS PREVENTION - SCAN QRCODE TO KNOW DAILY AVALANCHE DANGER LEVEL!

IL CAPO DEL CENTRO NAZIONALE METEOMONT
(Ten. Col. RFI Emanuela Gini)
FIRMA AUTOGRAFA OMESSA AI SENSI
DELL'ART.3 DEL D.LGS N.39/1993

According to EAWS standards Meteomont bulletin is a synoptic-scale system (regional scale). It shall be the user's responsibility to correlate the danger level evaluation of the bulletin with a detailed and expertise analysis of the zonal hazards (single slope), that could be markedly different. Meteorological forecast are issued at UTC (for Italy: in winter time UTC+1: in summer time UTC+2).

Bulletin is subjected to check processes through: the record of Observers and Avalanches and snow Experts data in C-Sifa; the validation by forecasters; the certification by Meteomont Section.