MINISTERO DELLA DIFESA

meteomont
Servizio Nazionale di previsione neve e valanghe

EAWS EUROPEAN AVALANCHE WARNING SERVICES

CARABINIERI

# APPENNINO EMILIANO CENTRALE

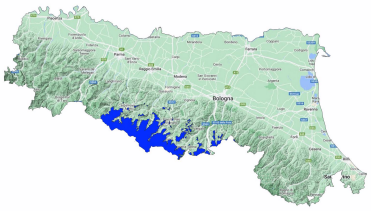

Avalanche Bulletin N. 351/2026 issued at 14:00 on 19/03/2026
48 hours validity. Next issue on 20/03/2026

**By the METEOMONT Service of the ARMA dei CARABINIERI ITALY**
**In collaboration with Air Force Meteorological Service**

## Situation on 19/03/2026

**DANGER PATTERNS: loose snow and wind.**

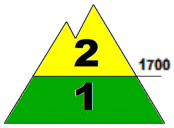


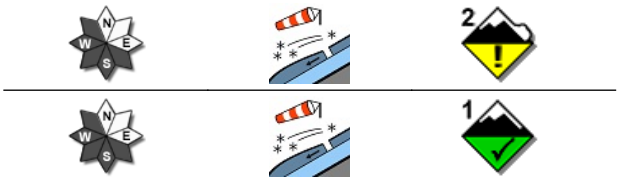


**DANGER PATTERNS: cold on warm / warm on cold.**

| Snow line (m.a.s.l.) | North | South |
|---|---|---|
| | 1200 - 1300 | 1200 - 1300 |

| Snow depth (cm) | ground snow | new snow | Elevation (m.a.s.l.) |
|---|---|---|---|
| | 111 | 007 | 1840 |
| | 042 | 003 | 1550 |

**REGISTERED AVALANCHES: No avalanches detected.**

## FORECAST 20/03/2026

## Danger level: MODERATE 2

## DANGER PATTERNS: loose snow and wind.

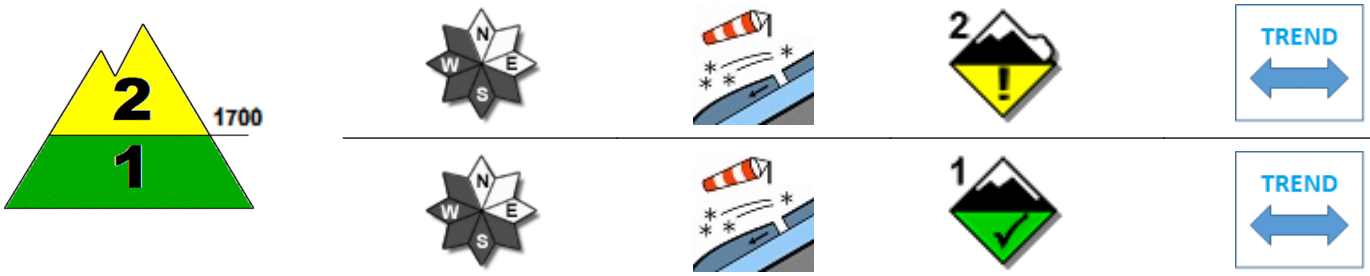


## DANGER PATTERNS: cold on warm / warm on cold.

**SNOWPACK: Snowpack stability is poor on some points (areas) above 1700 m.a.s.l. All are critical. medium avalanches are possible.**
**Snowpack stability is moderate on few points (areas) below 1700 m.a.s.l. All are critical. Small avalanches are possible.**

## WARNING

Due to the wind conditions forecast, avoid any accumulation zones, bowls, gullies and irregular leeward slopes.

## EUROPEAN AVALANCHE WARNING SERVICE

## AVALANCHE PROBLEMS

According to EAWS standards Meteomont bulletin is a synoptic-scale system (regional scale). It shall be the user's responsibility to correlate the danger level evaluation of the bulletin with a detailed and expertise analysis of the zonal hazards (single slope), that could be markedly different. Meteorological forecast are issued at UTC (for Italy: in winter time UTC+1: in summer time UTC+2).

Bulletin is subjected to check processes through: the record of Observers and Avalanches and snow Experts data in C-Sifa; the validation by forecasters; the certification by Meteomont Section.

# APPENNINO EMILIANO CENTRALE

## WEATHER FORECAST FOR

| Elevation | | 20/03/2026 h6:00 | 20/03/2026 h12:00 | 20/03/2026 h18:00 |
|---|---|---|---|---|
| 1000 | Wind | 04 Knots from East | 02 Knots from N-East | 01 Knots from East |
| | Temperatures | -01 °C | +03 °C | +03 °C |
| | Wind chill | -4 °C | 3 °C | 3 °C |
| 2000 | Wind | 13 Knots from N-East | 07 Knots from N-East | 05 Knots from North |
| | Temperatures | -04 °C | -03 °C | -01 °C |
| | Wind chill | -11 °C | -8 °C | -4 °C |
| 3000 | Wind | 13 Knots from N-East | 09 Knots from North | 08 Knots from N-East |
| | Temperatures | -08 °C | -07 °C | -06 °C |
| | Wind chill | -16 °C | -13 °C | -12 °C |
| Freezing level | | 1100-1300 m. | 1400-1600 m. | 1800-2000 m. |
| Atmospheric phenomenon | | — | — | — |
| Keys to sky condition | | | | |

## KEYS TO ATMOSPHERIC PHENOMENON

— Absence of adverse weather phenomena
Fog
Mist
Light rain
Moderate rain
Heavy rain
Thunderstorm
Weak snowfall
Moderate snowfall
Heavy snowfall

## KEYS TO SKY CONDITION

Clear
Partly cloudy
Cloudy
Mostly cloudy
Overcast

## Weather and snow data recorded during field and out of field obsevations on 19/03/2026.

| Observation field | District | Elevation (m.a.s.l.) | Snow depth (cm) | Snowfall in previous 24 hours (cm) | Temp. Min (°C) | Temp. Max (°C) | General weather conditions |
|---|---|---|---|---|---|---|---|
| PASSO PRADARENA | Ventasso (RE) | 1585 | 5 | N.P. | -4 | -1 | Absence of rain or other precipitation |
| MONTE CUSNA | Villa Minozzo (RE) | 1164 | 0 | 0 | N.P. | N.P. | Absence of rain or other precipitation |
| RIFUGIO CAVONE | Lizzano in Belvedere (BO) | 1416 | 21 | 2 | -2 | +2 | Absence of rain or other precipitation |
| LAGO DELLA NINFA | Sestola (MO) | 1550 | 42 | 3 | -1 | +2 | Absence of rain or other precipitation |
| PIANCAVALLARO | Riolunato (MO) | 1840 | 111 | 7 | -3 | -1 | Absence of rain or other precipitation |

**(*) Out of field survey**

**INFORMATION MEANS PREVENTION - SCAN QRCODE TO KNOW DAILY AVALANCHE DANGER LEVEL!**

**IL CAPO DEL CENTRO NAZIONALE METEOMONT**
**(Ten. Col. RFI Emanuela Gini)**
**FIRMA AUTOGRAFA OMESSA AI SENSI**
**DELL'ART.3 DEL D.LGS N.39/1993**

According to EAWS standards Meteomont bulletin is a synoptic-scale system (regional scale). It shall be the user's responsibility to correlate the danger level evaluation of the bulletin with a detailed and expertise analysis of the zonal hazards (single slope), that could be markedly different. Meteorological forecast are issued at UTC (for Italy: in winter time UTC+1: in summer time UTC+2).

Bulletin is subjected to check processes through: the record of Observers and Avalanches and snow Experts data in C-Sifa; the validation by forecasters; the certification by Meteomont Section.