MINISTERO DELLA DIFESA

meteomont Servizio Nazionale di previsione neve e valanghe

EAWS EUROPEAN AVALANCHE WARNING SERVICES

CARABINIERI

In collaborazione con: MARCHE

APPENNINO UMBRO-MARCHIG. MERID. - MONTI SIBILLINI

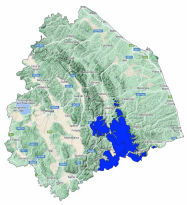

Avalanche Bulletin N. 333/2026 issued at 14:00 on 20/03/2026
48 hours validity. Next issue on 21/03/2026

By the METEOMONT Service of the ARMA dei CARABINIERI ITALY
In collaboration with Air Force Meteorological Service

Situation on 20/03/2026

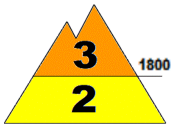

DANGER PATTERNS: loose snow and wind.



DANGER PATTERNS: loose snow and wind.

Snow line (m.a.s.l.)	North	South
	1100 - 1200	1100 - 1400

Snow depth (cm)	ground snow	new snow	Elevation (m.a.s.l.)
	050-140	000	2000
	010 - 030	000	1500

REGISTERED AVALANCHES: -.

FORECAST 21/03/2026

Danger level: CONSIDERABLE 3

DANGER PATTERNS: loose snow and wind.



DANGER PATTERNS: loose snow and wind.

SNOWPACK: Snowpack stability is poor on many points (areas) above 1800 m.a.s.l. All aspects are critical. large avalanches are possible.
Snowpack stability is poor on some points (areas) below 1800 m.a.s.l. All aspects are critical. Medium avalanches are possible.

WARNING

Due to new snow,careful route choice and an excellent evaluation of snowpack stability is required.

EUROPEAN AVALANCHE WARNING SERVICE

AVALANCHE PROBLEMS

According to EAWS standards Meteomont bulletin is a synoptic-scale system (regional scale). It shall be the user's responsibility to correlate the danger level evaluation of the bulletin with a detailed and expertise analysis of the zonal hazards (single slope), that could be markedly different. Meteorological forecast are issued at UTC (for Italy: in winter time UTC+1: in summer time UTC+2).

Bulletin is subjected to check processes through: the record of Observers and Avalanches and snow Experts data in C-Sifa; the validation by forecasters; the certification by Meteomont Section.

MINISTERO DELLA DIFESA

meteomont
Servizio Nazionale di previsione neve e valanghe

EAWS EUROPEAN AVALANCHE WARNING SERVICES

CARABINIERI

In collaborazione con: MARCHE

APPENNINO UMBRO-MARCHIG. MERID. - MONTI SIBILLINI

WEATHER FORECAST FOR

Elevation		21/03/2026 h6:00	21/03/2026 h12:00	21/03/2026 h18:00
1000	Wind	01 Knots from N-East	02 Knots from N-East	01 Knots from East
	Temperatures	-03 °C	+00 °C	-01 °C
	Wind chill	-3 °C	0 °C	-1 °C
2000	Wind	05 Knots from N-East	03 Knots from N-East	03 Knots from East
	Temperatures	-05 °C	-05 °C	-05 °C
	Wind chill	-9 °C	-8 °C	-8 °C
3000	Wind	05 Knots from N-East	01 Knots from S-West	03 Knots from West
	Temperatures	-09 °C	-09 °C	-10 °C
	Wind chill	-14 °C	-9 °C	-13 °C
Freezing level		1000-1200 m.	1400-1600 m.	1300-1500 m.
Atmospheric phenomenon		—	—	—
Keys to sky condition				

KEYS TO ATMOSPHERIC PHENOMENON

— Absence of adverse weather phenomena
Fog
Mist
Light rain
Moderate rain
Heavy rain
Thunderstorm
Weak snowfall
Moderate snowfall
Heavy snowfall

KEYS TO SKY CONDITION

Clear
Partly cloudy
Cloudy
Mostly cloudy
Overcast

Weather and snow data recorded during field and out of field obsevations on 20/03/2026.

Observation field	District	Elevation (m.a.s.l.)	Snow depth (cm)	Snowfall in previous 24 hours (cm)	Temp. Min (°C)	Temp. Max (°C)	General weather conditions
FORCA DI GUALDO *	Castelsantangelo sul Nera (MC)	1496	30	0	N.P.	N.P.	Absence of rain or other precipitation
LA VALLETTA	Bolognola (MC)	1352	32	0	-2	+6	Absence of rain or other precipitation
COLLE	Montegallo (AP)	1036	12	0	-1	+8	Hail or snow pellet shower
PARCO GUARNIERI	Montemonaco (AP)	980	Snow traces	0	+1	+7	Absence of rain or other precipitation
RIFUGIO PERUGIA	Norcia (PG)	1500	12	2	N.P.	N.P.	Drifting snow (storm) on the station
BELVEDERE DI FRONTIGNANO *	Ussita (MC)	1602	30	0	N.P.	N.P.	Intermittent light snow
MONTE CORNACCIONE *	Castelsantangelo sul Nera (MC)	1862	68	N.P.	N.P.	N.P.	Intermittent light snow

(*) Out of field survey

INFORMATION MEANS PREVENTION - SCAN QRCODE TO KNOW DAILY AVALANCHE DANGER LEVEL!

IL CAPO DEL CENTRO NAZIONALE METEOMONT
(Ten. Col. RFI Emanuela Gini)
FIRMA AUTOGRAFA OMESSA AI SENSI
DELL'ART.3 DEL D.LGS N.39/1993

According to EAWS standards Meteomont bulletin is a synoptic-scale system (regional scale). It shall be the user's responsibility to correlate the danger level evaluation of the bulletin with a detailed and expertise analysis of the zonal hazards (single slope), that could be markedly different. Meteorological forecast are issued at UTC (for Italy: in winter time UTC+1: in summer time UTC+2).

Bulletin is subjected to check processes through: the record of Observers and Avalanches and snow Experts data in C-Sifa; the validation by forecasters; the certification by Meteomont Section.