Sunday 22.03.2026

Published 21 03 2026, 17:00

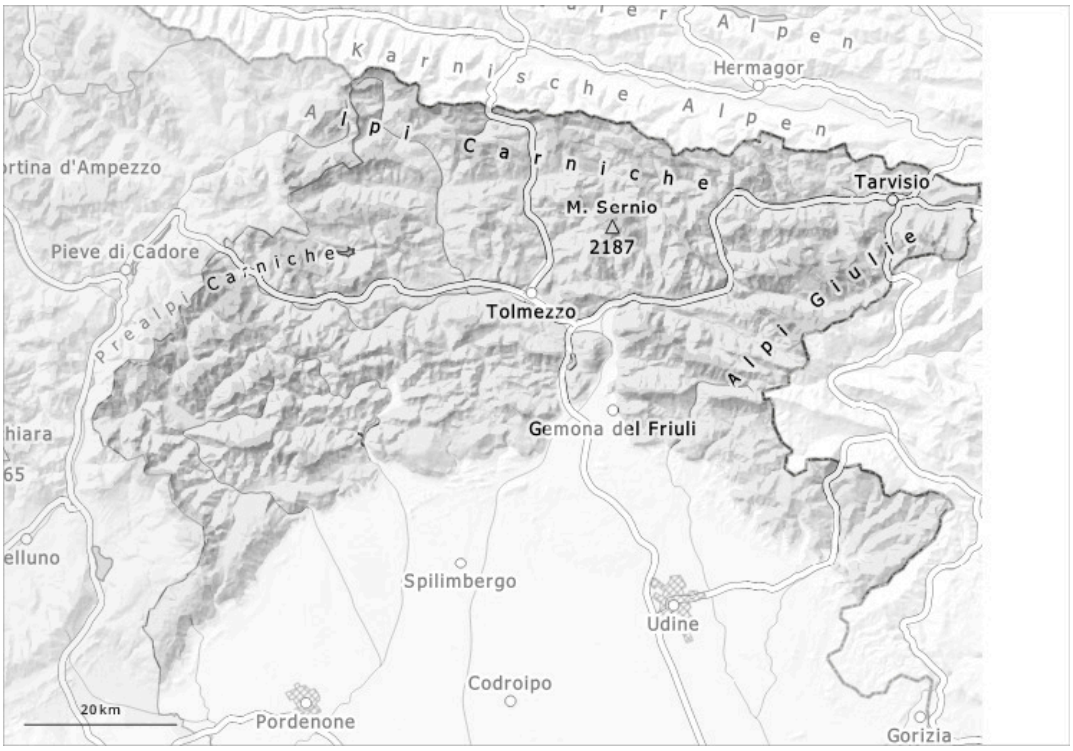

1	2	3	4	5
low	moderate	considerable	high	very high

Danger Level 2 - Moderate

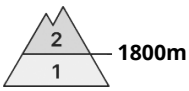

Tendency: Constant avalanche danger
on Monday 23 03 2026

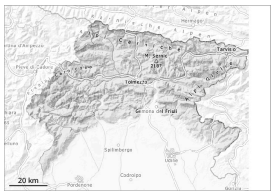

Wind slab

1800m

Persistent
weak layer

1800m

At elevated altitudes the avalanche prone locations are more prevalent and larger.

The wind slabs of the last few days remain in some cases prone to triggering. They must be evaluated with care and prudence. The avalanche prone locations are to be found in particular at the base of rock walls, and adjacent to ridgelines and in gullies and bowls. Avalanches can in many places be released, mostly by large loads. Restraint should be exercised because avalanches can sweep people along and give rise to falls. Backcountry touring calls for meticulous route selection.

Snowpack

At low and mid-mountain altitudes, the various phases of melting and refreezing have generally favored the formation of a hard, load-bearing surface crust that may become wetter during the day. At higher altitudes, the snowpack is more variable, as these crusts, often load-bearing, alternate with localized accumulations of wind-drifted snow, which are generally clearly visible. Weak layers exist in the snowpack in particular on shady slopes.

Tendency

The weather will be partly cloudy.