BUTLLETÍ DEL PERILL D'ALLAUS DEL PRINCIPAT D'ANDORRA

Servei meteorològic nacional
Principat d'Andorra

Prepared on 21/03/2026 16:00
Next update 22/03/2026 at 16 am

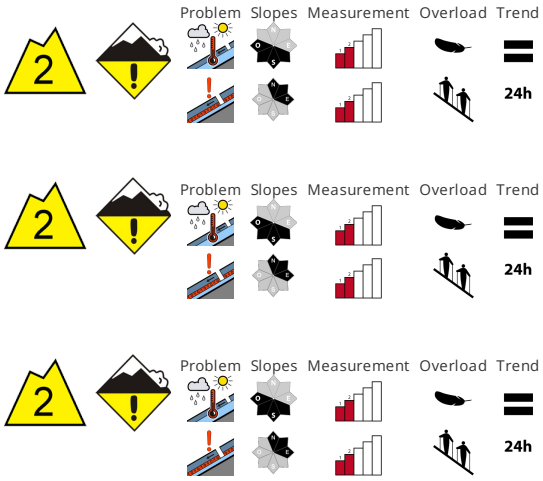

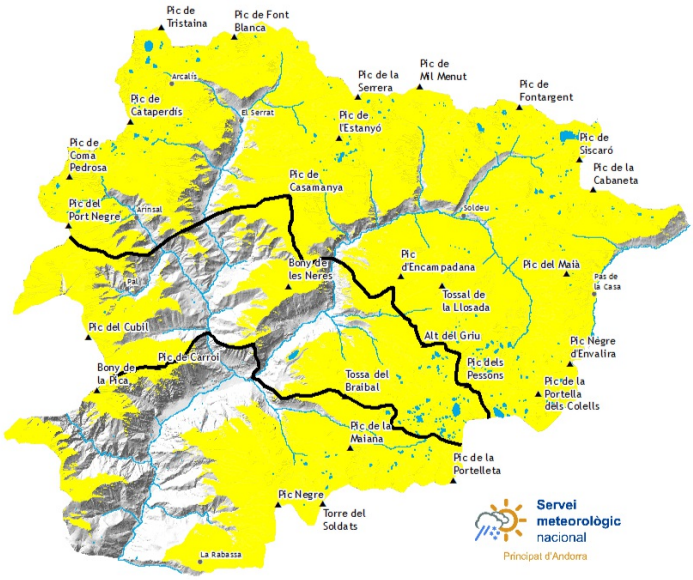

SNOW QUALITY

As the penetration by moisture increases moist small and medium sized avalanches are to be expected. Caution is to be exercised at the base of rock walls and in the south limit of Andorra. This applies in particular on steep sunny slopes and in the south limit of Andorra. In addition as the day progresses some gliding avalanches are possible. Also high altitudes :. Isolated avalanche prone weak layers exist in the top section of the snowpack in particular on steep northwest, north and east facing slopes. These can be released , in particular by large loads and reach medium size. The avalanche prone locations are to be found in areas close to the tree line and at transitions from a shallow to a deep snowpack. The avalanche prone locations are but are barely recognisable because of the poor visibility.

STABILITY OF THE SNOW MANTLE

Low and intermediate altitudes :. The surface of the snowpack will freeze to form a strong crust and will already soften in the late morning. In steep terrain there is a danger of falling on the hard snow surface. Adjacent to ridgelines snow depths vary greatly, depending on the infuence of the wind. Weak layers in the upper part of the snowpack necessitate caution. Maintaining distances between individuals is recommended. Sunday :. Above approximately 1800 m snow will fall in the afternoon.

OFF-PISTE SNOW COVER THICKNESSES

BUTLLETÍ DEL PERILL D'ALLAUS DEL PRINCIPAT D'ANDORRA

Servei meteorològic nacional
Principat d'Andorra

North zone		Snow thickness		
Snowpack		1500m	2000m	2500m
N	1600 m	0 cm	150 cm	200 cm
S	1900 m	0 cm	100 cm	150 cm

Center area		Snow thickness		
Snowpack		1500m	2000m	2500m
N	1600 m	0 cm	150 cm	200 cm
S	1900 m	0 cm	100 cm	150 cm

South zone		Snow thickness		
Snowpack		1500m	2000m	2500m
N	1600 m	0 cm	120 cm	150 cm
S	1900 m	0 cm	60 cm	100 cm

BUTLLETÍ DEL PERILL D'ALLAUS DEL PRINCIPAT D'ANDORRA

Servei meteorològic nacional
Principat d'Andorra

Detailed information for protected areas

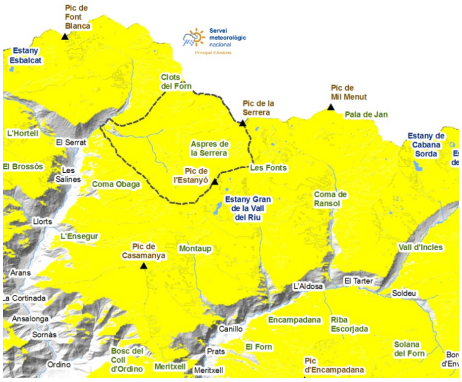

SORTENY

The frost in the early hours will provide good conditions for driving on the mountain, maintaining caution on the north and east slopes where there may be persistent weak layers. In the course of the day and with the penetration of moisture, we will again have soft and wet snow below 2,200 meters. The light snow on Sunday afternoon will not change the stability of the mantle.

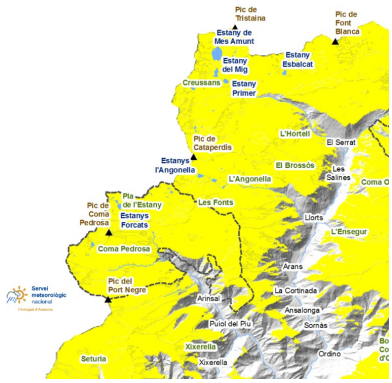

COMAPEDROSA

As with the entire country, we will need to pay attention to wet snow problems on the steeper sunny slopes and at the foot of rock walls. We expect avalanche activity in the background with the cracks open. On the north and east slopes we find weak layers that can still be applied, with which we will have to pay attention.

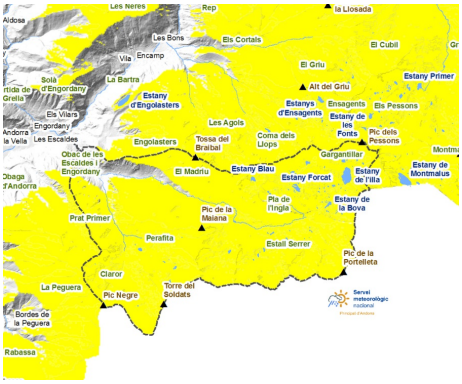

MADRIU-PERAFITA-CLAROR

With the precipitation and moisture on Sunday, the snow will suffer a significant setback at lower elevations, although there is still enough snow to run many routes. We will have to take into account that, at medium altitudes, we will find hard and frozen snow in the early hours but that will soften with the presence of the sun in the morning, therefore on the east and south-east slopes, and with the precipitation in the afternoon in a generalized way; and be cautious on slopes with persistent weak layer problems.

BUTLLETÍ DEL PERILL D'ALLAUS DEL PRINCIPAT D'ANDORRA

Servei meteorològic nacional
Principat d'Andorra

Thick snow in recent days (last 24 hours measured at 06:00 UTC)

	17/03/2026	18/03/2026	19/03/2026	20/03/2026
FEDA (Central)	0 cm	0 cm	0 cm	0 cm
Engolasters - FEDA	0 cm	0 cm	0 cm	0 cm
Ransol - FEDA	0 cm	0 cm	0 cm	0 cm
Fontverd	0 cm	0 cm	0 cm	0 cm
Bony de les Neres	0 cm	0 cm	0 cm	0 cm
Grau Roig - FEDA	0 cm	1 cm	0 cm	0 cm
Caborreu	0 cm	0 cm	0 cm	0 cm
Sorteny	0 cm	0 cm	0 cm	0 cm
Coll Pa	0 cm	3 cm	0 cm	0 cm
Perafita	0 cm	0 cm	0 cm	0 cm
Tossa Espiolets	0 cm	0 cm	0 cm	0 cm
La Solana	0 cm	0 cm	0 cm	0 cm
Vall del Riu FEDA	0 cm	2 cm	0 cm	0 cm
Envalira Antenes	0 cm	0 cm	0 cm	0 cm
Les Fonts d'Arinsal	0 cm	0 cm	0 cm	0 cm