MINISTERO DELLA DIFESA

meteomont
Servizio Nazionale di previsione neve e valanghe

EAWS EUROPEAN AVALANCHE WARNING SERVICES

CARABINIERI

# MAINARDE-ALTO MOLISE

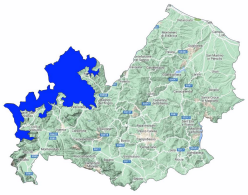

Avalanche Bulletin N. 330/2026 issued at 14:00 on 21/03/2026
48 hours validity. Next issue on 22/03/2026
**By the METEOMONT Service of the ARMA dei CARABINIERI ITALY**
**In collaboration with Air Force Meteorological Service**

## Situation on 21/03/2026

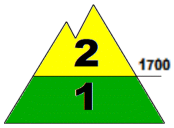


**DANGER PATTERNS: loose snow and wind.**

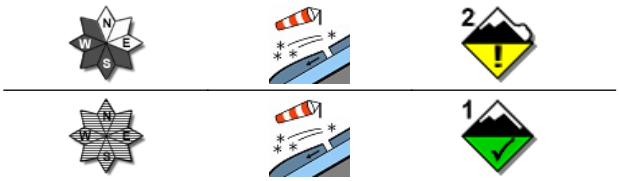


**DANGER PATTERNS: loose snow and wind.**

| Snow line (m.a.s.l.) | North | South |
|---|---|---|
| | 1000 - 1300 | 1300 - 1600 |

| Snow depth (cm) | ground snow | new snow | Elevation (m.a.s.l.) |
|---|---|---|---|
| | 024 | 000 | 1490 |
| | 015 | 000 | 1220 |

**REGISTERED AVALANCHES: No avalanches detected.**

## FORECAST 22/03/2026

## Danger level: MODERATE 2

## DANGER PATTERNS: loose snow and wind.

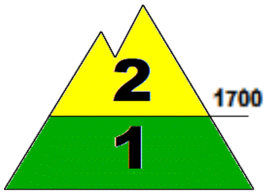


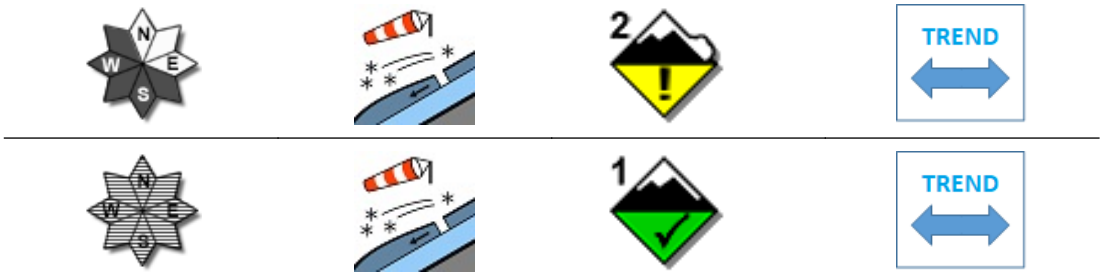


## DANGER PATTERNS: loose snow and wind.

**SNOWPACK: Snowpack stability is moderate on some points (areas) above 1700 m.a.s.l. All are critical. medium avalanches are possible.**
**Snowpack stability is moderate on some points (areas) below 1700 m.a.s.l. All Isolated slopes are critical. Small avalanches are possible.**

## WARNING

Due to snow cover conditions ,outdoor activities beyond the maintained and marked tracks require a good evaluation of local danger points.

## EUROPEAN AVALANCHE WARNING SERVICE

## AVALANCHE PROBLEMS

According to EAWS standards Meteomont bulletin is a synoptic-scale system (regional scale). It shall be the user's responsibility to correlate the danger level evaluation of the bulletin with a detailed and expertise analysis of the zonal hazards (single slope), that could be markedly different. Meteorological forecast are issued at UTC (for Italy: in winter time UTC+1: in summer time UTC+2).

Bulletin is subjected to check processes through: the record of Observers and Avalanches and snow Experts data in C-Sifa; the validation by forecasters; the certification by Meteomont Section.

MINISTERO DELLA DIFESA

meteomont
Servizio Nazionale di previsione neve e valanghe

EAWS EUROPEAN AVALANCHE WARNING SERVICES

CARABINIERI

# MAINARDE-ALTO MOLISE

## WEATHER FORECAST FOR

| Elevation | | 22/03/2026 h6:00 | 22/03/2026 h12:00 | 22/03/2026 h18:00 |
|---|---|---|---|---|
| 1000 | Wind | 02 Knots from N-West | 01 Knots from S-East | 01 Knots from N-East |
| | Temperatures | -01 °C | +03 °C | +02 °C |
| | Wind chill | -1 °C | 3 °C | 2 °C |
| 2000 | Wind | 02 Knots from N-West | 01 Knots from S-East | 01 Knots from North |
| | Temperatures | -04 °C | -03 °C | -03 °C |
| | Wind chill | -4 °C | -3 °C | -3 °C |
| 3000 | Wind | 05 Knots from N-West | 03 Knots from N-West | 03 Knots from N-West |
| | Temperatures | -12 °C | -10 °C | -10 °C |
| | Wind chill | -17 °C | -13 °C | -13 °C |
| Freezing level | | 1200-1400 m. | 1600-1800 m. | 1500-1700 m. |
| Atmospheric phenomenon | | — | — | — |
| Keys to sky condition | | | | |

## KEYS TO ATMOSPHERIC PHENOMENON

— Absence of adverse weather phenomena
Fog
Mist
Light rain
Moderate rain
Heavy rain
Thunderstorm
Weak snowfall
Moderate snowfall
Heavy snowfall

## KEYS TO SKY CONDITION

Clear
Partly cloudy
Cloudy
Mostly cloudy
Overcast

## Weather and snow data recorded during field and out of field obsevations on 21/03/2026.

| Observation field | District | Elevation (m.a.s.l.) | Snow depth (cm) | Snowfall in previous 24 hours (cm) | Temp. Min (°C) | Temp. Max (°C) | General weather conditions |
|---|---|---|---|---|---|---|---|
| PRATO GENTILE | Capracotta (IS) | 1490 | 24 | 0 | -3 | +3 | Absence of rain or other precipitation |
| PESCOPENNATARO | Pescopennataro (IS) | 1220 | 15 | 0 | -2 | +7 | Absence of rain or other precipitation |

(*) Out of field survey

**INFORMATION MEANS PREVENTION - SCAN QRCODE TO KNOW DAILY AVALANCHE DANGER LEVEL!**

**IL CAPO DEL CENTRO NAZIONALE METEOMONT**
**(Ten. Col. RFI Emanuela Gini)**
**FIRMA AUTOGRAFA OMESSA AI SENSI**
**DELL'ART.3 DEL D.LGS N.39/1993**

According to EAWS standards Meteomont bulletin is a synoptic-scale system (regional scale). It shall be the user's responsibility to correlate the danger level evaluation of the bulletin with a detailed and expertise analysis of the zonal hazards (single slope), that could be markedly different. Meteorological forecast are issued at UTC (for Italy: in winter time UTC+1: in summer time UTC+2).

Bulletin is subjected to check processes through: the record of Observers and Avalanches and snow Experts data in C-Sifa; the validation by forecasters; the certification by Meteomont Section.