MINISTERO DELLA DIFESA

meteomont
Servizio Nazionale di previsione neve e valanghe

EAWS EUROPEAN AVALANCHE WARNING SERVICES

CARABINIERI

## TERMINILLO MONTI REATINI E LAGA OVEST

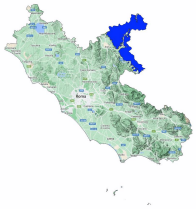

Avalanche Bulletin N. 321/2026 issued at 14:00 on 20/03/2026
48 hours validity. Next issue on 21/03/2026
**By the METEOMONT Service of the ARMA dei CARABINIERI ITALY**
**In collaboration with Air Force Meteorological Service**

## Situation on 20/03/2026

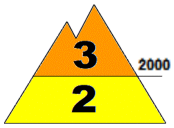


**DANGER PATTERNS: loose snow and wind.**

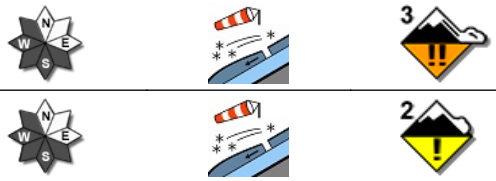


**DANGER PATTERNS: loose snow and wind.**

| Snow line (m.a.s.l.) | North | South |
|---|---|---|
| | 1100 - 1500 | 1200 - 1700 |

| Snow depth (cm) | ground snow | new snow | Elevation (m.a.s.l.) |
|---|---|---|---|
| | 187 | 000 | 1825 |
| | 025 | 000 | 1270 |

**REGISTERED AVALANCHES: No avalanches detected.**

## FORECAST 21/03/2026

# Danger level: CONSIDERABLE 3

## DANGER PATTERNS: loose snow and wind.

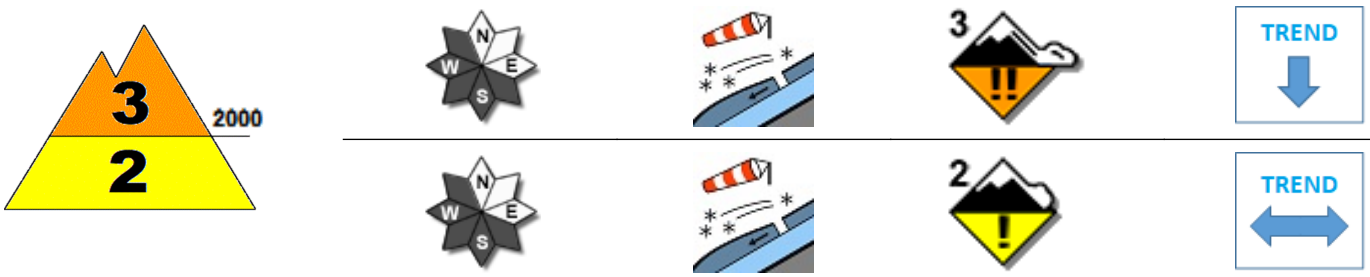


## DANGER PATTERNS: loose snow and wind.

**SNOWPACK: Snowpack stability is poor on some points (areas) above 2000 m.a.s.l. All are critical. large avalanches are possible.**
**Snowpack stability is poor on some points (areas) below 2000 m.a.s.l. All are critical. Medium avalanches are possible.**

## WARNING

Due to observed wind activity, avoid accumulation zones, bowls, gullies, irregular slopes and leeward slopes in general.

## EUROPEAN AVALANCHE WARNING SERVICE

## AVALANCHE PROBLEMS

According to EAWS standards Meteomont bulletin is a synoptic-scale system (regional scale). It shall be the user's responsibility to correlate the danger level evaluation of the bulletin with a detailed and expertise analysis of the zonal hazards (single slope), that could be markedly different. Meteorological forecast are issued at UTC (for Italy: in winter time UTC+1: in summer time UTC+2).

Bulletin is subjected to check processes through: the record of Observers and Avalanches and snow Experts data in C-Sifa; the validation by forecasters; the certification by Meteomont Section.

MINISTERO DELLA DIFESA

meteomont
Servizio Nazionale di previsione neve e valanghe

EAWS EUROPEAN AVALANCHE WARNING SERVICES

CARABINIERI

# TERMINILLO MONTI REATINI E LAGA OVEST

## WEATHER FORECAST FOR

| Elevation | | 21/03/2026 h6:00 | 21/03/2026 h12:00 | 21/03/2026 h18:00 |
|---|---|---|---|---|
| 1000 | Wind | 03 Knots from East | 01 Knots from East | 02 Knots from East |
| | Temperatures | -02 °C | +03 °C | +01 °C |
| | Wind chill | -4 °C | 3 °C | 1 °C |
| 2000 | Wind | 04 Knots from East | 02 Knots from S-East | 01 Knots from East |
| | Temperatures | -04 °C | -03 °C | -03 °C |
| | Wind chill | -7 °C | -3 °C | -3 °C |
| 3000 | Wind | 05 Knots from N-East | 01 Knots from West | 03 Knots from West |
| | Temperatures | -08 °C | -10 °C | -10 °C |
| | Wind chill | -13 °C | -10 °C | -13 °C |
| Freezing level | | 1000-1200 m. | 1600-1800 m. | 1400-1600 m. |
| Atmospheric phenomenon | | — | — | |
| Keys to sky condition | | | | |

## KEYS TO ATMOSPHERIC PHENOMENON

— Absence of adverse weather phenomena
Fog
Mist
Light rain
Moderate rain
Heavy rain
Thunderstorm
Weak snowfall
Moderate snowfall
Heavy snowfall

## KEYS TO SKY CONDITION

Clear
Partly cloudy
Cloudy
Mostly cloudy
Overcast

## Weather and snow data recorded during field and out of field obsevations on 20/03/2026.

| Observation field | District | Elevation (m.a.s.l.) | Snow depth (cm) | Snowfall in previous 24 hours (cm) | Temp. Min (°C) | Temp. Max (°C) | General weather conditions |
|---|---|---|---|---|---|---|---|
| PESCHIERE | Amatrice (RI) | 1270 | 25 | 0 | -1 | +9 | Absence of rain or other precipitation |
| M. CAIDURO | Cittareale (RI) | 1300 | 12 | 0 | -1 | +7 | Absence of rain or other precipitation |
| VALLONINA | Leonessa (RI) | 1350 | 6 | 0 | -3 | +9 | Absence of rain or other precipitation |
| RIFUGIO SEBASTIANI | Micigliano (RI) | 1825 | 187 | N.P. | -4 | -3 | Absence of rain or other precipitation |
| VALLE DELLA META * | Leonessa (RI) | 1860 | 192 | 0 | N.P. | N.P. | Absence of rain or other precipitation |

(*) Out of field survey

**INFORMATION MEANS PREVENTION - SCAN QRCODE TO KNOW DAILY AVALANCHE DANGER LEVEL!**

IL CAPO DEL CENTRO NAZIONALE METEOMONT
(Ten. Col. RFI Emanuela Gini)
FIRMA AUTOGRAFA OMESSA AI SENSI
DELL'ART.3 DEL D.LGS N.39/1993

According to EAWS standards Meteomont bulletin is a synoptic-scale system (regional scale). It shall be the user's responsibility to correlate the danger level evaluation of the bulletin with a detailed and expertise analysis of the zonal hazards (single slope), that could be markedly different. Meteorological forecast are issued at UTC (for Italy: in winter time UTC+1: in summer time UTC+2).

Bulletin is subjected to check processes through: the record of Observers and Avalanches and snow Experts data in C-Sifa; the validation by forecasters; the certification by Meteomont Section.