MINISTERO DELLA DIFESA

meteomont
Servizio Nazionale di previsione neve e valanghe

EAWS EUROPEAN AVALANCHE WARNING SERVICES

CARABINIERI

# MAINARDE-ALTO MOLISE

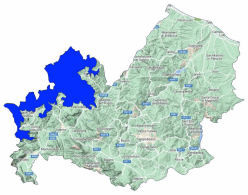

Avalanche Bulletin N. 331/2026 issued at 14:00 on 22/03/2026
48 hours validity. Next issue on 23/03/2026

**By the METEOMONT Service of the ARMA dei CARABINIERI ITALY**
**In collaboration with Air Force Meteorological Service**

## Situation on 22/03/2026

**DANGER PATTERNS: loose snow and wind.**

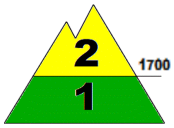


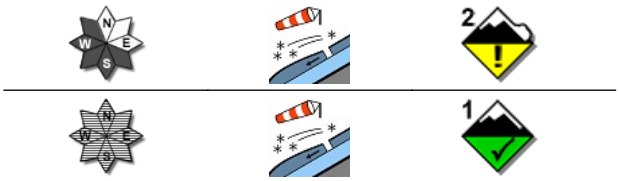


**DANGER PATTERNS: loose snow and wind.**

| Snow line (m.a.s.l.) | North | South |
|---|---|---|
| | 1000 - 1300 | 1300 - 1600 |

| Snow depth (cm) | ground snow | new snow | Elevation (m.a.s.l.) |
|---|---|---|---|
| | 025 | 001 | 1490 |
| | 015 | 000 | 1220 |

**REGISTERED AVALANCHES: -.**

## FORECAST 23/03/2026

**Danger level: MODERATE 2**

**DANGER PATTERNS: loose snow and wind.**

**SNOWPACK: Snowpack stability is moderate on some points (areas) for , medium avalanches are possible.**

## WARNING

Due to the forecast of severe weather conditions and reduced visibility forecast,route choice and evaluation will become difficult.

## EUROPEAN AVALANCHE WARNING SERVICE

## AVALANCHE PROBLEMS

According to EAWS standards Meteomont bulletin is a synoptic-scale system (regional scale). It shall be the user's responsibility to correlate the danger level evaluation of the bulletin with a detailed and expertise analysis of the zonal hazards (single slope), that could be markedly different. Meteorological forecast are issued at UTC (for Italy: in winter time UTC+1: in summer time UTC+2).

Bulletin is subjected to check processes through: the record of Observers and Avalanches and snow Experts data in C-Sifa; the validation by forecasters; the certification by Meteomont Section.

MINISTERO DELLA DIFESA

meteomont
Servizio Nazionale di previsione neve e valanghe

EAWS EUROPEAN AVALANCHE WARNING SERVICES

CARABINIERI

# MAINARDE-ALTO MOLISE

## WEATHER FORECAST FOR

| Elevation | | 23/03/2026 h6:00 | 23/03/2026 h12:00 | 23/03/2026 h18:00 |
|---|---|---|---|---|
| 1000 | Wind | 00 Calm | 01 Knots from East | 01 Knots from N-East |
| | Temperatures | +01 °C | +02 °C | +01 °C |
| | Wind chill | 1 °C | 2 °C | 1 °C |
| 2000 | Wind | 01 Knots from N-West | 01 Knots from East | 05 Knots from N-East |
| | Temperatures | -03 °C | -03 °C | -03 °C |
| | Wind chill | -3 °C | -3 °C | -7 °C |
| 3000 | Wind | 02 Knots from West | 02 Knots from West | 04 Knots from N-East |
| | Temperatures | -10 °C | -10 °C | -09 °C |
| | Wind chill | -10 °C | -10 °C | -13 °C |
| Freezing level | | 1500-1700 m. | 1500-1700 m. | 1500-1700 m. |
| Atmospheric phenomenon | | — | | |
| Keys to sky condition | | | | |

## KEYS TO ATMOSPHERIC PHENOMENON

Absence of adverse weather phenomena · Fog · Mist · Light rain · Moderate rain · Heavy rain · Thunderstorm · Weak snowfall · Moderate snowfall · Heavy snowfall

## KEYS TO SKY CONDITION

Clear · Partly cloudy · Cloudy · Mostly cloudy · Overcast

## Weather and snow data recorded during field and out of field obsevations on 22/03/2026.

| Observation field | District | Elevation (m.a.s.l.) | Snow depth (cm) | Snowfall in previous 24 hours (cm) | Temp. Min (°C) | Temp. Max (°C) | General weather conditions |
|---|---|---|---|---|---|---|---|
| PRATO GENTILE | Capracotta (IS) | 1490 | 25 | 1 | -3 | +2 | Continuous light snow |
| PESCOPENNATARO | Pescopennataro (IS) | 1220 | 15 | 0 | N.P. | N.P. | Absence of rain or other precipitation |

(*) Out of field survey

**INFORMATION MEANS PREVENTION - SCAN QRCODE TO KNOW DAILY AVALANCHE DANGER LEVEL!**

**IL CAPO DEL CENTRO NAZIONALE METEOMONT**
**(Ten. Col. RFI Emanuela Gini)**
**FIRMA AUTOGRAFA OMESSA AI SENSI**
**DELL'ART.3 DEL D.LGS N.39/1993**

According to EAWS standards Meteomont bulletin is a synoptic-scale system (regional scale). It shall be the user's responsibility to correlate the danger level evaluation of the bulletin with a detailed and expertise analysis of the zonal hazards (single slope), that could be markedly different. Meteorological forecast are issued at UTC (for Italy: in winter time UTC+1: in summer time UTC+2).

Bulletin is subjected to check processes through: the record of Observers and Avalanches and snow Experts data in C-Sifa; the validation by forecasters; the certification by Meteomont Section.