Tuesday 24.03.2026

Published 23 03 2026, 17:00

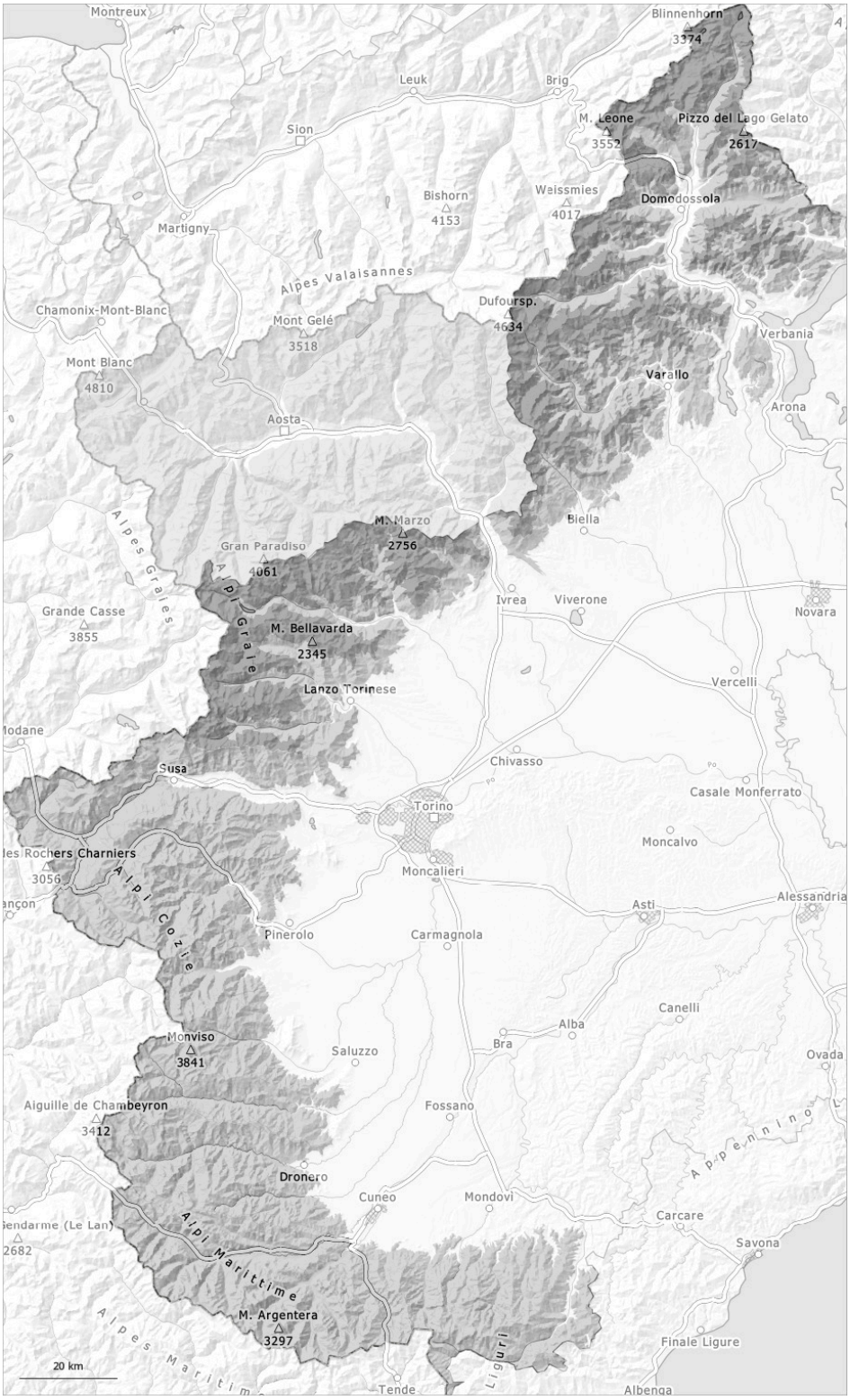

1	2	3	4	5
low	moderate	considerable	high	very high

Danger Level 3 - Considerable

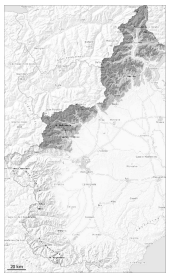

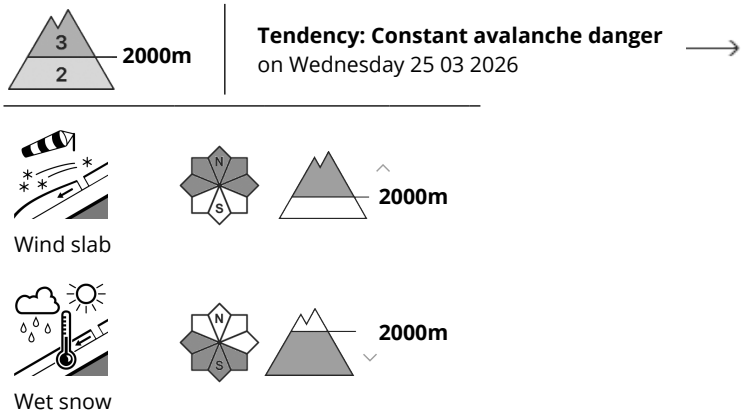

Wind slabs and wet snow represent the main danger.

20 to 40 cm of snow, and even more in some localities, fell in the last three days above approximately 1500 m. As a consequence of a light to moderate wind, large wind slabs formed in particular adjacent to ridgelines and in pass areas as well as at elevated altitudes. The new snow is poorly bonded with the old snowpack in some places. In particular on steep shady slopes avalanches can be released in the old snow and reach large size. This applies in particular at intermediate and high altitudes.
As a consequence of warming during the day and solar radiation moist and wet avalanches are possible as the day progresses, even large ones. This applies in particular on steep grassy slopes at low altitude, as well as on steep sunny slopes at intermediate and high altitudes. Backcountry touring calls for careful route selection.

Snowpack

Danger patterns dp.6: cold, loose snow and wind | dp.10: springtime scenario

Above approximately 600 m snow fell in the last three days.
In particular intermediate altitudes, steep sunny slopes: The new snow is lying on top of a quite favourable old snowpack.
High altitudes and the high Alpine regions: Over a wide area new snow is lying on the soft surface of an old snowpack. Sunshine and high temperatures will give rise as the day progresses to increasing moistening of the snowpack in particular at low and intermediate altitudes.

Danger Level 2 - Moderate

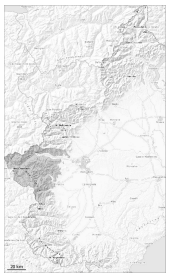

Tendency: Constant avalanche danger
on Wednesday 25 03 2026

Wind slab

2200m

Wet snow

2200m

Dry avalanches and moist snow slides during the day are possible.

10 to 30 cm of snow, and even more in some localities, fell in the last three days above approximately 1500 m. As a consequence of a light to moderate wind, sometimes deep wind slabs formed in particular adjacent to ridgelines and in pass areas as well as at elevated altitudes. In particular on steep shady slopes avalanches can be released in the various wind slab layers and reach large size in isolated cases. This applies in particular at transitions from a shallow to a deep snowpack, when entering gullies and bowls for example at high altitudes and in high Alpine regions. Wind slabs can in isolated cases be released, even by a single winter sport participant.
As a consequence of warming during the day and solar radiation moist and wet avalanches are possible as the day progresses, in particular medium-sized ones. Backcountry touring calls for careful route selection.

Snowpack

Danger patterns dp.6: cold, loose snow and wind

Above approximately 700 m snow fell in the last three days.
In particular intermediate altitudes and steep sunny slopes: The new snow is lying on top of a quite favourable old snowpack.
High altitudes and the high Alpine regions: In some cases new snow is lying on the soft surface of an old snowpack. Sunshine and high temperatures will give rise as the day progresses to significant moistening of the snowpack in particular at low and intermediate altitudes.

Danger Level 2 - Moderate

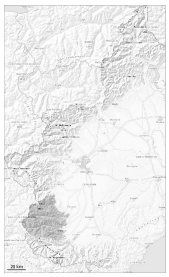

Tendency: Constant avalanche danger
on Wednesday 25 03 2026

Wind slab

2100m

Wet snow

2100m

Dry avalanches and moist snow slides during the day are possible.

15 to 25 cm of snow has fallen above approximately 1800 m. In particular on steep shady slopes avalanches can be released in the various wind slab layers and reach large size in isolated cases. This applies in particular at transitions from a shallow to a deep snowpack, when entering gullies and bowls for example at high altitudes and in high Alpine regions. Avalanches can in isolated cases be released, even by a single winter sport participant. Along the border with France the situation is a little more dangerous.
As a consequence of warming during the day and solar radiation moist and wet avalanches are possible as the day progresses, in particular medium-sized ones. Backcountry touring calls for careful route selection.

Snowpack

Danger patterns dp.6: cold, loose snow and wind

Above approximately 800 m snow has fallen.
In particular low and intermediate altitudes, steep sunny slopes: The new snow is lying on top of a quite favourable old snowpack.
High altitudes and the high Alpine regions: In some cases new snow is lying on the soft surface of an old snowpack. Sunshine and high temperatures will give rise as the day progresses to increasing moistening of the snowpack in particular at low and intermediate altitudes.

Danger Level 2 - Moderate

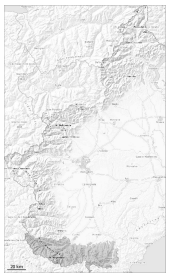

Tendency: Decreasing avalanche danger
on Wednesday 25 03 2026

Wind slab

2000m

Wet snow

Wind slabs and wet snow are to be critically assessed.

5 to 20 cm of snow has fallen above approximately 1800 m. The small quantity of fresh snow of the weekend and the wind slabs to be found in particular above approximately 2000 m are to be evaluated with care and prudence. The somewhat older wind slabs can be released, especially by large additional loads, on steep shady slopes at high altitudes and in high Alpine regions. This applies in particular at transitions from a shallow to a deep snowpack, when entering gullies and bowls for example. As a consequence of warming during the day and solar radiation moist and wet avalanches are possible as the day progresses, in particular medium-sized ones.

Snowpack

Danger patterns dp.6: cold, loose snow and wind

Above approximately 900 m snow has fallen.
In particular low and intermediate altitudes, steep sunny slopes: The new snow is lying on top of a quite favourable old snowpack.
High altitudes and the high Alpine regions: In some cases new snow is lying on the soft surface of an old snowpack. In particular at elevated altitudes snow depths vary greatly, depending on the infuence of the wind. Sunshine and high temperatures will give rise as the day progresses to increasing moistening of the snowpack in particular at low and intermediate altitudes.

Tendency

The weather conditions will give rise to increasing consolidation of the snowpack in particular at low and intermediate altitudes.