MINISTERO DELLA DIFESA

meteomont Servizio Nazionale di previsione neve e valanghe

EAWS EUROPEAN AVALANCHE WARNING SERVICES

CARABINIERI

In collaborazione con: MARCHE

# APPENNINO UMBRO-MARCHIG. MERID. - MONTI SIBILLINI

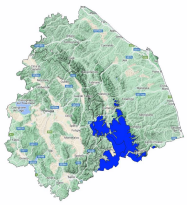

Avalanche Bulletin N. 335/2026 issued at 14:00 on 22/03/2026
48 hours validity. Next issue on 23/03/2026

**By the METEOMONT Service of the ARMA dei CARABINIERI ITALY**
**In collaboration with Air Force Meteorological Service**

## Situation on 22/03/2026

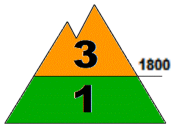


**DANGER PATTERNS: loose snow and wind.**

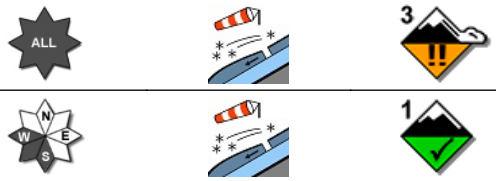


**DANGER PATTERNS: loose snow and wind.**

| Snow line (m.a.s.l.) | North | South |
|---|---|---|
| | 1100 - 1200 | 1200 - 1400 |

| Snow depth (cm) | ground snow | new snow | Elevation (m.a.s.l.) |
|---|---|---|---|
| | 050-140 | 000 | 2000 |
| | 010 - 030 | 000 | 1500 |

**REGISTERED AVALANCHES: Small avalanches, Full-depth slab avalanches.**

## FORECAST 23/03/2026

## Danger level: MODERATE 2

## DANGER PATTERNS: loose snow and wind.

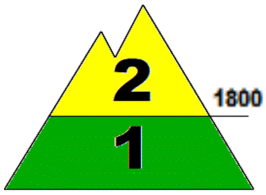


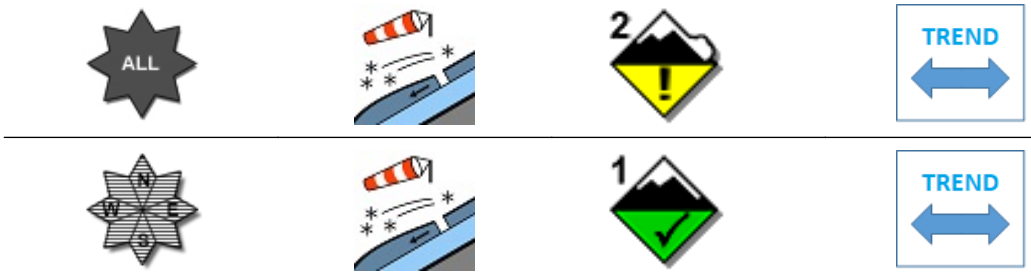


## DANGER PATTERNS: loose snow and wind.

**SNOWPACK: Snowpack stability is moderate on some points (areas) above 1800 m.a.s.l. All aspects are critical. medium avalanches are possible.**
**Snowpack stability is moderate on few points (areas) below 1800 m.a.s.l. All Isolated slopes are critical. Small avalanches are possible.**

## WARNING

Due to observed wind activity, avoid accumulation zones, bowls, gullies, irregular slopes and leeward slopes in general.

## EUROPEAN AVALANCHE WARNING SERVICE

## AVALANCHE PROBLEMS

According to EAWS standards Meteomont bulletin is a synoptic-scale system (regional scale). It shall be the user's responsibility to correlate the danger level evaluation of the bulletin with a detailed and expertise analysis of the zonal hazards (single slope), that could be markedly different. Meteorological forecast are issued at UTC (for Italy: in winter time UTC+1: in summer time UTC+2).

Bulletin is subjected to check processes through: the record of Observers and Avalanches and snow Experts data in C-Sifa; the validation by forecasters; the certification by Meteomont Section.

MINISTERO DELLA DIFESA

meteomont
Servizio Nazionale di previsione neve e valanghe

EAWS EUROPEAN AVALANCHE WARNING SERVICES

CARABINIERI

In collaborazione con: MARCHE

# APPENNINO UMBRO-MARCHIG. MERID. - MONTI SIBILLINI

## WEATHER FORECAST FOR

| Elevation | | 23/03/2026 h6:00 | 23/03/2026 h12:00 | 23/03/2026 h18:00 |
|---|---|---|---|---|
| 1000 | Wind | 01 Knots from N-East | 03 Knots from East | 02 Knots from N-East |
| | Temperatures | -01 °C | +00 °C | +00 °C |
| | Wind chill | -1 °C | -2 °C | 0 °C |
| 2000 | Wind | 02 Knots from East | 05 Knots from East | 05 Knots from N-East |
| | Temperatures | -04 °C | -04 °C | -03 °C |
| | Wind chill | -4 °C | -8 °C | -7 °C |
| 3000 | Wind | 02 Knots from N-East | 04 Knots from East | 07 Knots from N-East |
| | Temperatures | -11 °C | -10 °C | -09 °C |
| | Wind chill | -11 °C | -14 °C | -15 °C |
| Freezing level | | 1300-1500 m. | 1400-1600 m. | 1400-1600 m. |
| Atmospheric phenomenon | | — | | — |
| Keys to sky condition | | | | |

## KEYS TO ATMOSPHERIC PHENOMENON

— Absence of adverse weather phenomena
Fog
Mist
Light rain
Moderate rain
Heavy rain
Thunderstorm
Weak snowfall
Moderate snowfall
Heavy snowfall

## KEYS TO SKY CONDITION

Clear
Partly cloudy
Cloudy
Mostly cloudy
Overcast

## Weather and snow data recorded during field and out of field obsevations on 22/03/2026.

| Observation field | District | Elevation (m.a.s.l.) | Snow depth (cm) | Snowfall in previous 24 hours (cm) | Temp. Min (°C) | Temp. Max (°C) | General weather conditions |
|---|---|---|---|---|---|---|---|
| FORCA DI GUALDO | Castelsantangelo sul Nera (MC) | 1496 | 36 | 0 | -3 | +2 | Absence of rain or other precipitation |
| COLLE | Montegallo (AP) | 1036 | 10 | 0 | -1 | +4 | Absence of rain or other precipitation |
| PARCO GUARNIERI | Montemonaco (AP) | 980 | 0 | 0 | +1 | +4 | Absence of rain or other precipitation |
| RIFUGIO PERUGIA | Norcia (PG) | 1500 | 8 | 0 | N.P. | N.P. | Absence of rain or other precipitation |
| FRONTIGNANO * | Ussita (MC) | 1406 | 25 | 0 | N.P. | N.P. | Absence of rain or other precipitation |
| CRESTA DEL REDENTORE * | Norcia (PG) | 2215 | 180 | 0 | N.P. | N.P. | Absence of rain or other precipitation |

(*) Out of field survey

**INFORMATION MEANS PREVENTION - SCAN QRCODE TO KNOW DAILY AVALANCHE DANGER LEVEL!**

IL CAPO DEL CENTRO NAZIONALE METEOMONT
(Ten. Col. RFI Emanuela Gini)
FIRMA AUTOGRAFA OMESSA AI SENSI
DELL'ART.3 DEL D.LGS N.39/1993

According to EAWS standards Meteomont bulletin is a synoptic-scale system (regional scale). It shall be the user's responsibility to correlate the danger level evaluation of the bulletin with a detailed and expertise analysis of the zonal hazards (single slope), that could be markedly different. Meteorological forecast are issued at UTC (for Italy: in winter time UTC+1: in summer time UTC+2).

Bulletin is subjected to check processes through: the record of Observers and Avalanches and snow Experts data in C-Sifa; the validation by forecasters; the certification by Meteomont Section.