BUTLLETÍ DEL PERILL D'ALLAUS DEL PRINCIPAT D'ANDORRA

Servei meteorològic nacional
Principat d'Andorra

Prepared on 24/03/2026 16:00
Next update 25/03/2026 at 16 am

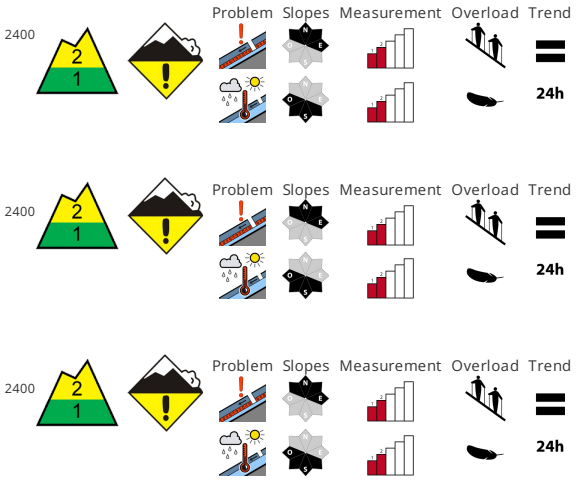

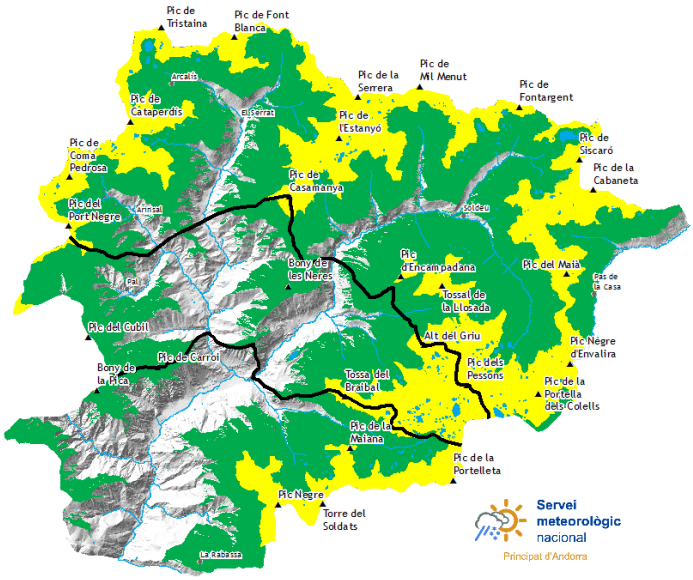

SNOW QUALITY

The new snow of Sunday is lying on soft layers on shady slopes. Large-grained weak layers exist in the top section of the snowpack also here. These can be released, in particular by large loads and reach medium size. Weak layers in the upper part of the snowpack necessitate caution. Apart from the danger of being buried, restraint should be exercised in view of the danger of avalanches sweeping people along and giving rise to falls. Steep sunny slopes :. As the penetration by moisture increases moist avalanches are possible as the day progresses , but they will be mostly small. Individual gliding avalanches can also occur. As the temperature drops there will be a rapid decrease in the danger of moist avalanches on Thursday.

STABILITY OF THE SNOW MANTLE

Steep sunny slopes :. The surface of the snowpack will freeze to form a strong crust and will soften during the day. In steep terrain there is a danger of falling on the hard crust. Steep northwest, north and northeast facing slopes and high altitudes :. The upper section of the snowpack is soft ; its surface consists of loosely bonded snow. Adjacent to ridgelines snow depths vary greatly , depending on the infuence of the wind.

OFF-PISTE SNOW COVER THICKNESSES

North zone		Snow thickness		
Snowpack		1500m	2000m	2500m
N	1600 m	0 cm	150 cm	200 cm
S	1900 m	0 cm	100 cm	150 cm

Center area		Snow thickness		
Snowpack		1500m	2000m	2500m
N	1600 m	0 cm	150 cm	200 cm
S	1900 m	0 cm	100 cm	150 cm

South zone		Snow thickness		
Snowpack		1500m	2000m	2500m
N	1600 m	0 cm	120 cm	150 cm
S	1900 m	0 cm	60 cm	100 cm

Govern d'Andorra

EAWS
EUROPEAN AVALANCHE WARNING SERVICES

Aquest butlletí ha estat elaborat seguint les normes i recomanacions de l'**European Avalanche Warning Services**, del qual el **Servei meteorològic Nacional** n'és membre

BUTLLETÍ DEL PERILL D'ALLAUS DEL PRINCIPAT D'ANDORRA

Servei meteorològic nacional
Principat d'Andorra

Detailed information for protected areas

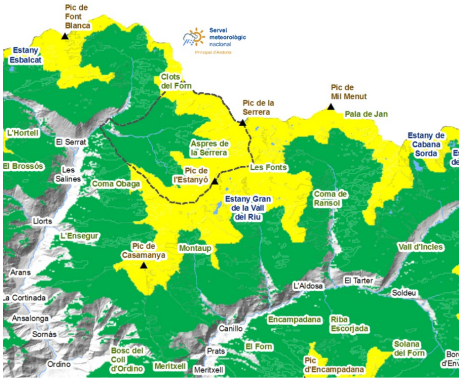

SORTENY

The light snowfall on Sunday night has not changed the stability of the mantle. We will have to continue to maintain caution on the north and east slopes where there may be persistent weak layers formed by large angular, lightly covered by recent, untransformed snow. In the course of the day and with the penetration of moisture, we will again have soft snow below 2,400 meters.

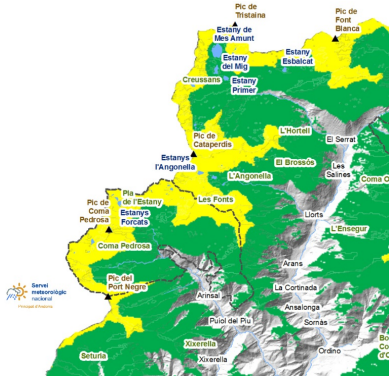

COMAPEDROSA

As in the whole country, on the north and east slopes in height we will find weak layers that can still be applied, with which we will have to pay attention. As the day progresses we will also need to pay attention to wet snow problems on the steeper sunny slopes and at the foot of rock walls. There may be avalanche activity in the background with the cracks open.

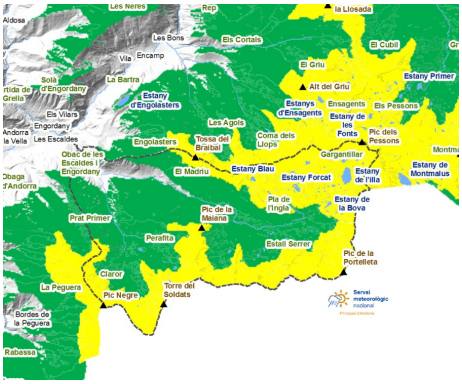

MADRIU-PERAFITA-CLAROR

Although the snow has retreated significantly in the lower elevations in recent days, there is still enough snow to run numerous routes. We will have to be especially cautious on slopes with persistent weak layer problems.

Govern d'Andorra

EAWS
EUROPEAN AVALANCHE WARNING SERVICES

Aquest butlletí ha estat elaborat seguint les normes i recomanacions de l'**European Avalanche Warning Services**, del qual el **Servei meteorològic Nacional** n'és membre

BUTLLETÍ DEL PERILL D'ALLAUS DEL PRINCIPAT D'ANDORRA

Servei meteorològic nacional
Principat d'Andorra

Thick snow in recent days (last 24 hours measured at 06:00 UTC)

	20/03/2026	21/03/2026	22/03/2026	23/03/2026
FEDA (Central)	0 cm	0 cm	0 cm	0 cm
Engolasters - FEDA	0 cm	0 cm	0 cm	0 cm
Bony de les Neres	0 cm	0 cm	3 cm	0 cm
Sorteny	0 cm	0 cm	4 cm	0 cm
Les Fonts d'Arinsal	0 cm	0 cm	7 cm	0 cm
Perafita	0 cm	0 cm	7 cm	0 cm
Tossa Espiolets	0 cm	0 cm	3 cm	0 cm
Grau Roig - FEDA	0 cm	0 cm	7 cm	0 cm
Fontverd	0 cm	0 cm	0 cm	0 cm
Ransol - FEDA	0 cm	0 cm	2 cm	0 cm
Caborreu	0 cm	0 cm	0 cm	0 cm
La Solana	0 cm	0 cm	10 cm	0 cm
Envalira Antenes	0 cm	0 cm	6 cm	0 cm
Vall del Riu FEDA	0 cm	0 cm	5 cm	0 cm