MAJELLA

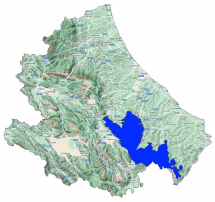

Avalanche Bulletin N. 370/2026 issued at 14:00 on 23/03/2026
48 hours validity. Next issue on 24/03/2026
By the METEOMONT Service of the ARMA dei CARABINIERI ITALY
In collaboration with Air Force Meteorological Service

Situation on 23/03/2026

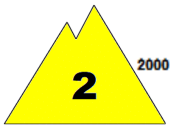

DANGER PATTERNS: loose snow and wind.

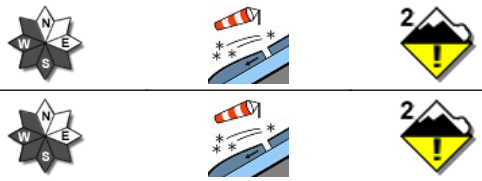

DANGER PATTERNS: loose snow and wind.

Snow line (m.a.s.l.)	North	South
	800 - 900	900 - 1000

Snow depth (cm)	ground snow	new snow	Elevation (m.a.s.l.)
	063	002	1650
	018	003	1270

REGISTERED AVALANCHES: -.

FORECAST 24/03/2026

Danger level: MODERATE 2

DANGER PATTERNS: loose snow and wind.

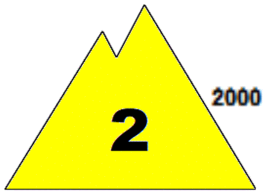



DANGER PATTERNS: springtime situation.

SNOWPACK: Snowpack stability is moderate on some points (areas) above 2000 m.a.s.l. All are critical. medium avalanches are possible.
Snowpack stability is moderate on some points (areas) below 2000 m.a.s.l. All Sunny slopes are critical. Medium avalanches are possible.

WARNING

Due to observed wind activity, avoid accumulation zones, bowls, gullies, irregular slopes and leeward slopes in general.

EUROPEAN AVALANCHE WARNING SERVICE

AVALANCHE PROBLEMS

According to EAWS standards Meteomont bulletin is a synoptic-scale system (regional scale). It shall be the user's responsibility to correlate the danger level evaluation of the bulletin with a detailed and expertise analysis of the zonal hazards (single slope), that could be markedly different. Meteorological forecast are issued at UTC (for Italy: in winter time UTC+1: in summer time UTC+2).

Bulletin is subjected to check processes through: the record of Observers and Avalanches and snow Experts data in C-Sifa; the validation by forecasters; the certification by Meteomont Section.

MINISTERO DELLA DIFESA

meteomont
Servizio Nazionale di previsione neve e valanghe

EAWS EUROPEAN AVALANCHE WARNING SERVICES

CARABINIERI

MAJELLA

WEATHER FORECAST FOR

Elevation		24/03/2026 h6:00	24/03/2026 h12:00	24/03/2026 h18:00
1000	Wind	03 Knots from North	03 Knots from North	03 Knots from North
	Temperatures	-02 °C	-01 °C	-01 °C
	Wind chill	-4 °C	-3 °C	-3 °C
2000	Wind	08 Knots from North	08 Knots from North	06 Knots from North
	Temperatures	-04 °C	-03 °C	-03 °C
	Wind chill	-9 °C	-8 °C	-7 °C
3000	Wind	09 Knots from N-East	10 Knots from N-East	10 Knots from N-East
	Temperatures	-09 °C	-09 °C	-09 °C
	Wind chill	-16 °C	-16 °C	-16 °C
Freezing level		1300-1500 m.	1500-1700 m.	1400-1600 m.
Atmospheric phenomenon		—	—	—
Keys to sky condition				

KEYS TO ATMOSPHERIC PHENOMENON

— Absence of adverse weather phenomena
Fog
Mist
Light rain
Moderate rain
Heavy rain
Thunderstorm
Weak snowfall
Moderate snowfall
Heavy snowfall

KEYS TO SKY CONDITION

Clear
Partly cloudy
Cloudy
Mostly cloudy
Overcast

Weather and snow data recorded during field and out of field obsevations on 23/03/2026.

Observation field	District	Elevation (m.a.s.l.)	Snow depth (cm)	Snowfall in previous 24 hours (cm)	Temp. Min (°C)	Temp. Max (°C)	General weather conditions
QUARTARANA	Campo di Giove (AQ)	1200	18	0	0	+5	Intermittent light rain
PASSOLANCIANO	Lettomanoppello (PE)	1300	45	2	0	+6	Fog with no visible sky
VALICO DELLA FORCHETTA	Palena (CH)	1270	18	0	-1	+2	Fog with no visible sky
VALLE DEL SOLE	Pizzoferrato (CH)	1440	18	1	-1	+3	Continuous light snow
MAIELETTA MAMMA ROSA	Pretoro (CH)	1650	63	2	-4	+2	Intermittent light snow
PASSO SAN LEONARDO	Sant'Eufemia a Maiella (PE)	1145	14	0	-1	+9	Continuous light snow

(*) Out of field survey

INFORMATION MEANS PREVENTION - SCAN QRCODE TO KNOW DAILY AVALANCHE DANGER LEVEL!

IL CAPO DEL CENTRO NAZIONALE METEOMONT
(Ten. Col. RFI Emanuela Gini)
FIRMA AUTOGRAFA OMESSA AI SENSI
DELL'ART.3 DEL D.LGS N.39/1993

According to EAWS standards Meteomont bulletin is a synoptic-scale system (regional scale). It shall be the user's responsibility to correlate the danger level evaluation of the bulletin with a detailed and expertise analysis of the zonal hazards (single slope), that could be markedly different. Meteorological forecast are issued at UTC (for Italy: in winter time UTC+1: in summer time UTC+2).

Bulletin is subjected to check processes through: the record of Observers and Avalanches and snow Experts data in C-Sifa; the validation by forecasters; the certification by Meteomont Section.