MINISTERO DELLA DIFESA

meteomont
Servizio Nazionale di previsione neve e valanghe

EAWS EUROPEAN AVALANCHE WARNING SERVICES

CARABINIERI

ALPI RETICHE

Avalanche Bulletin N. 386/2026 issued at 14:00 on 25/03/2026
48 hours validity. Next issue on 26/03/2026

By the METEOMONT Service of the ARMA dei CARABINIERI ITALY
In collaboration with Air Force Meteorological Service

Situation on 25/03/2026

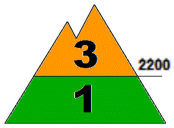

DANGER PATTERNS: shallow snow next to deep snow.

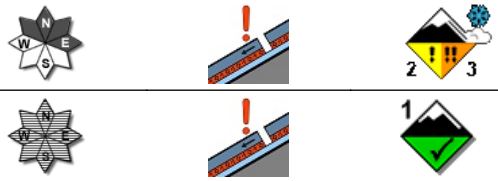

DANGER PATTERNS: shallow snow next to deep snow.

Snow line (m.a.s.l.)	North	South
	1500 - 1600	2000 - 2100

Snow depth (cm)	ground snow	new snow	Elevation (m.a.s.l.)
	72	0	2582
	31	0	1640

REGISTERED AVALANCHES: Some medium avalanches, Surface loose snow avalanches.

FORECAST 26/03/2026

Danger level: CONSIDERABLE 3

DANGER PATTERNS: loose snow and wind.

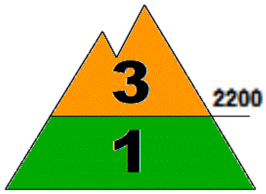

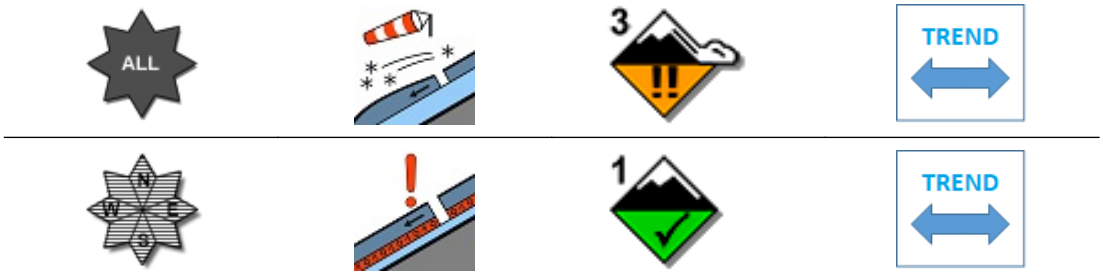

DANGER PATTERNS: shallow snow next to deep snow.

SNOWPACK: Snowpack stability is very poor on some points (areas) above 2200 m.a.s.l. All aspects are critical. medium avalanches are possible.
Snowpack stability is moderate on few points (areas) below 2200 m.a.s.l. All Isolated slopes are critical. Medium avalanches are possible.

WARNING

Due to the wind conditions forecast, avoid any accumulation zones, bowls, gullies and irregular leeward slopes.

EUROPEAN AVALANCHE WARNING SERVICE

AVALANCHE PROBLEMS

According to EAWS standards Meteomont bulletin is a synoptic-scale system (regional scale). It shall be the user's responsibility to correlate the danger level evaluation of the bulletin with a detailed and expertise analysis of the zonal hazards (single slope), that could be markedly different. Meteorological forecast are issued at UTC (for Italy: in winter time UTC+1: in summer time UTC+2).

Bulletin is subjected to check processes through: the record of Observers and Avalanches and snow Experts data in C-Sifa; the validation by forecasters; the certification by Meteomont Section.

MINISTERO DELLA DIFESA

meteomont
Servizio Nazionale di previsione neve e valanghe

EAWS EUROPEAN AVALANCHE WARNING SERVICES

CARABINIERI

ALPI RETICHE

WEATHER FORECAST FOR

Elevation		26/03/2026 h6:00	26/03/2026 h12:00	26/03/2026 h18:00
1000	Wind	09 Knots from North	08 Knots from North	08 Knots from North
	Temperatures	-08 °C	-07 °C	-09 °C
	Wind chill	-15 °C	-13 °C	-15 °C
2000	Wind	09 Knots from North	08 Knots from North	08 Knots from North
	Temperatures	-08 °C	-07 °C	-09 °C
	Wind chill	-15 °C	-13 °C	-15 °C
3000	Wind	33 Knots from North	29 Knots from North	31 Knots from North
	Temperatures	-15 °C	-15 °C	-15 °C
	Wind chill	-30 °C	-29 °C	-29 °C
Freezing level		0700-0900 m.	0800-1000 m.	0600-0800 m.
Atmospheric phenomenon				—
Keys to sky condition				

KEYS TO ATMOSPHERIC PHENOMENON

— Absence of adverse weather phenomena
Fog
Mist
Light rain
Moderate rain
Heavy rain
Thunderstorm
Weak snowfall
Moderate snowfall
Heavy snowfall

KEYS TO SKY CONDITION

Clear
Partly cloudy
Cloudy
Mostly cloudy
Overcast

Weather and snow data recorded during field and out of field obsevations on 25/03/2026.

Observation field	District	Elevation (m.a.s.l.)	Snow depth (cm)	Snowfall in previous 24 hours (cm)	Temp. Min (°C)	Temp. Max (°C)	General weather conditions
VALAR	Valdidentro (SO)	1930	68	0	-7	+7	Absence of rain or other precipitation
DOSSO DEL VALLONE	Valfurva (SO)	2582	72	0	-5	+2	Absence of rain or other precipitation
ALPE PALU'	Chiesa in Valmalenco (SO)	2010	70	0	-5	+6	Absence of rain or other precipitation
PREDA	Edolo (BS)	1580	0	0	N.P.	N.P.	Absence of rain or other precipitation
COLONIA VIGILI	Ponte di Legno (BS)	1640	31	0	-5	+10	Absence of rain or other precipitation
SAN COLOMBANO *	Valdisotto (SO)	2387	86	0	N.P.	N.P.	Absence of rain or other precipitation
VEDRETTA DEL PISGANA *	Ponte di Legno (BS)	3030	350	0	N.P.	N.P.	Absence of rain or other precipitation

(*) Out of field survey

INFORMATION MEANS PREVENTION - SCAN QRCODE TO KNOW DAILY AVALANCHE DANGER LEVEL!

IL CAPO DEL CENTRO NAZIONALE METEOMONT
(Ten. Col. RFI Emanuela Gini)
FIRMA AUTOGRAFA OMESSA AI SENSI
DELL'ART.3 DEL D.LGS N.39/1993

According to EAWS standards Meteomont bulletin is a synoptic-scale system (regional scale). It shall be the user's responsibility to correlate the danger level evaluation of the bulletin with a detailed and expertise analysis of the zonal hazards (single slope), that could be markedly different. Meteorological forecast are issued at UTC (for Italy: in winter time UTC+1: in summer time UTC+2).

Bulletin is subjected to check processes through: the record of Observers and Avalanches and snow Experts data in C-Sifa; the validation by forecasters; the certification by Meteomont Section.