MINISTERO DELLA DIFESA

meteomont
Servizio Nazionale di previsione neve e valanghe

EAWS EUROPEAN AVALANCHE WARNING SERVICES

CARABINIERI

# GRAN SASSO EST - LAGA EST

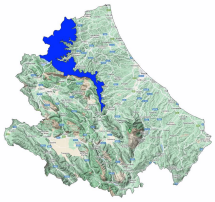

Avalanche Bulletin N. 373/2026 issued at 14:00 on 25/03/2026
48 hours validity. Next issue on 26/03/2026

**By the METEOMONT Service of the ARMA dei CARABINIERI ITALY**
**In collaboration with Air Force Meteorological Service**

## Situation on 25/03/2026

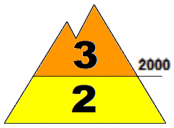


**DANGER PATTERNS: loose snow and wind.**

**DANGER PATTERNS: springtime situation.**

| Snow line (m.a.s.l.) | North | South |
|---|---|---|
| | 1000 - 1100 | 1100 - 1200 |

| Snow depth (cm) | ground snow | new snow | Elevation (m.a.s.l.) |
|---|---|---|---|
| | 030 | 000 | 1380 |
| | 022 | 000 | 1355 |

**REGISTERED AVALANCHES: Some medium avalanches, Full-depth loose snow avalanches.**

## FORECAST 26/03/2026

# Danger level: CONSIDERABLE 3

## DANGER PATTERNS: loose snow and wind.

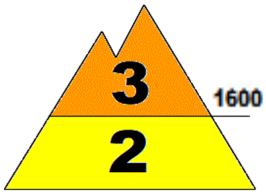


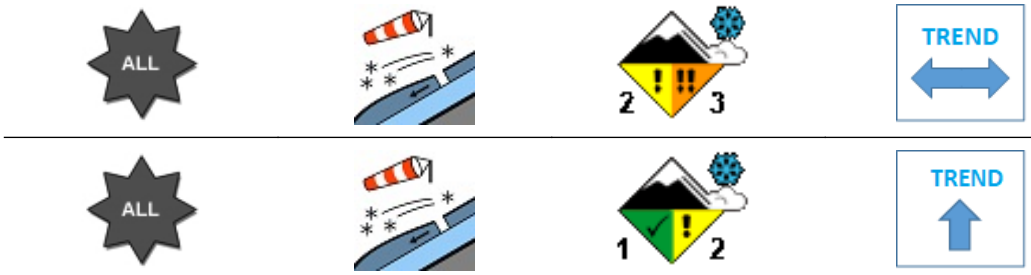


## DANGER PATTERNS: loose snow and wind.

**SNOWPACK: Snowpack stability is poor on some points (areas) above 1600 m.a.s.l. All aspects are critical. large avalanches are possible.**
**Snowpack stability is moderate on some points (areas) below 1600 m.a.s.l. All aspects are critical. Medium avalanches are possible.**

## WARNING

Due to severe weather conditions forecast, outdoor activities beyond the maintained and marked tracks are restricted. If practiced,expertise in the evaluation of local danger points is required.

## EUROPEAN AVALANCHE WARNING SERVICE

## AVALANCHE PROBLEMS

According to EAWS standards Meteomont bulletin is a synoptic-scale system (regional scale). It shall be the user's responsibility to correlate the danger level evaluation of the bulletin with a detailed and expertise analysis of the zonal hazards (single slope), that could be markedly different. Meteorological forecast are issued at UTC (for Italy: in winter time UTC+1: in summer time UTC+2).

Bulletin is subjected to check processes through: the record of Observers and Avalanches and snow Experts data in C-Sifa; the validation by forecasters; the certification by Meteomont Section.

MINISTERO DELLA DIFESA

meteomont
Servizio Nazionale di previsione neve e valanghe

EAWS EUROPEAN AVALANCHE WARNING SERVICES

CARABINIERI

# GRAN SASSO EST - LAGA EST

## WEATHER FORECAST FOR

| Elevation | | 26/03/2026 h6:00 | 26/03/2026 h12:00 | 26/03/2026 h18:00 |
|---|---|---|---|---|
| 1000 | Wind | 07 Knots from West | 07 Knots from West | 08 Knots from North |
| | Temperatures | -04 °C | -03 °C | -03 °C |
| | Wind chill | -9 °C | -8 °C | -8 °C |
| 2000 | Wind | 19 Knots from West | 12 Knots from West | 23 Knots from North |
| | Temperatures | -08 °C | -08 °C | -08 °C |
| | Wind chill | -18 °C | -16 °C | -18 °C |
| 3000 | Wind | 25 Knots from West | 14 Knots from N-West | 21 Knots from North |
| | Temperatures | -14 °C | -14 °C | -14 °C |
| | Wind chill | -27 °C | -24 °C | -26 °C |
| Freezing level | | 0800-1000 m. | 1000-1200 m. | 0900-1100 m. |
| Atmospheric phenomenon | | | | |
| Keys to sky condition | | | | |

## KEYS TO ATMOSPHERIC PHENOMENON

Absence of adverse weather phenomena · Fog · Mist · Light rain · Moderate rain · Heavy rain · Thunderstorm · Weak snowfall · Moderate snowfall · Heavy snowfall

## KEYS TO SKY CONDITION

Clear · Partly cloudy · Cloudy · Mostly cloudy · Overcast

## Weather and snow data recorded during field and out of field obsevations on 25/03/2026.

| Observation field | District | Elevation (m.a.s.l.) | Snow depth (cm) | Snowfall in previous 24 hours (cm) | Temp. Min (°C) | Temp. Max (°C) | General weather conditions |
|---|---|---|---|---|---|---|---|
| FAVACCHIOLE | Crognaleto (TE) | 1016 | 0 | 0 | +1 | +10 | Absence of rain or other precipitation |
| PRATO SELVA | Fano Adriano (TE) | 1355 | 22 | 0 | 0 | +8 | Absence of rain or other precipitation |
| RIGOPIANO | Farindola (PE) | 1135 | 0 | 0 | -1 | +8 | Absence of rain or other precipitation |
| PIANO SAN PIETRO | Isola del Gran Sasso d'Italia (TE) | 950 | 0 | 0 | N.P. | N.P. | Absence of rain or other precipitation |
| PRATI DI TIVO | Pietracamela (TE) | 1380 | 30 | 0 | -2 | +9 | Absence of rain or other precipitation |
| CEPPO | Rocca Santa Maria (TE) | 1349 | 19 | 0 | +1 | +8 | Absence of rain or other precipitation |
| SAN PAOLO | Acquasanta Terme (AP) | 960 | 0 | 0 | 0 | +8 | Absence of rain or other precipitation |
| COLLE SAN GIACOMO | Civitella del Tronto (TE) | 1075 | 0 | 0 | 0 | +8 | Absence of rain or other precipitation |

(*) Out of field survey

**INFORMATION MEANS PREVENTION - SCAN QRCODE TO KNOW DAILY AVALANCHE DANGER LEVEL!**

IL CAPO DEL CENTRO NAZIONALE METEOMONT
(Ten. Col. RFI Emanuela Gini)
FIRMA AUTOGRAFA OMESSA AI SENSI
DELL'ART.3 DEL D.LGS N.39/1993

According to EAWS standards Meteomont bulletin is a synoptic-scale system (regional scale). It shall be the user's responsibility to correlate the danger level evaluation of the bulletin with a detailed and expertise analysis of the zonal hazards (single slope), that could be markedly different. Meteorological forecast are issued at UTC (for Italy: in winter time UTC+1: in summer time UTC+2).

Bulletin is subjected to check processes through: the record of Observers and Avalanches and snow Experts data in C-Sifa; the validation by forecasters; the certification by Meteomont Section.