BUTLLETÍ DEL PERILL D'ALLAUS DEL PRINCIPAT D'ANDORRA

Servei meteorològic nacional
Principat d'Andorra

Prepared on 27/03/2026 13:38
Next update 27/03/2026 at 16 am

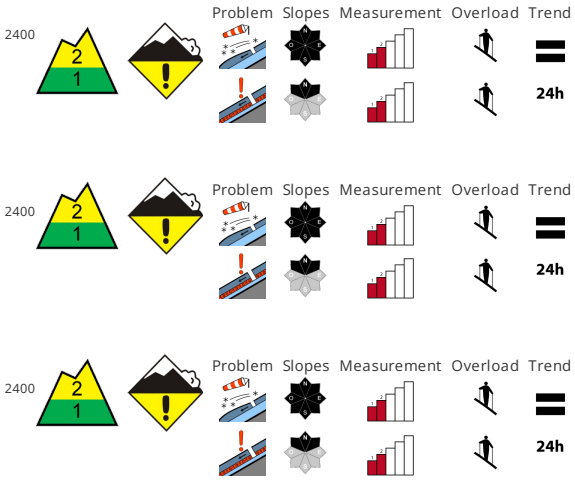

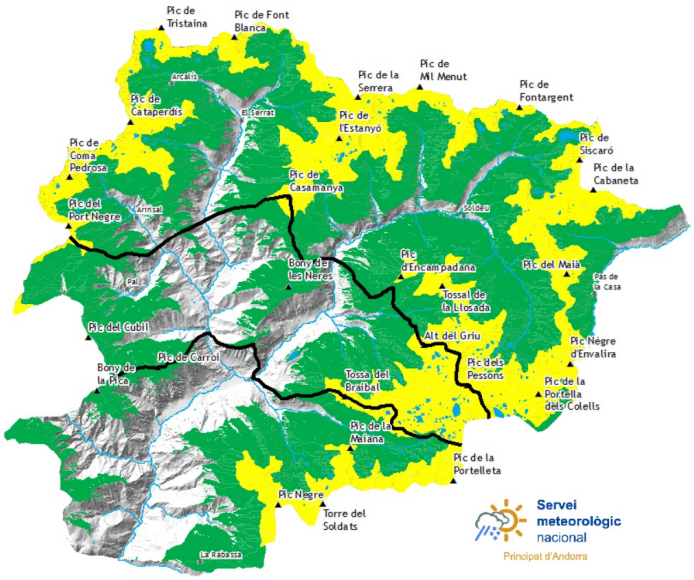

SNOW QUALITY

The northerly wind has transported the new snow and, in some cases, old snow as well. In the course of the day the wind slabs will increase in size additionally. The avalanche prone locations are to be found in all aspects in areas close to the tree line. Wind slabs can be released easily and reach medium size. Distinct weak layers exist in the top section of the snowpack also on steep northwest, north and northeast facing slopes. Apart from the danger of being buried, restraint should be exercised in view of the danger of avalanches sweeping people along and giving rise to falls. Maintaining distances between individuals is recommended.

STABILITY OF THE SNOW MANTLE

The wind will be moderate to strong in some localities. The snowpack will become gradually subject to considerable local variations. In steep terrain there is a danger of falling on the hard crust. Adjacent to ridgelines snow depths vary greatly, depending on the infuence of the wind.

OFF-PISTE SNOW COVER THICKNESSES

North zone		Snow thickness		
Snowpack		1500m	2000m	2500m
N	1600 m	0 cm	150 cm	200 cm
S	1900 m	0 cm	100 cm	150 cm

Center area		Snow thickness		
Snowpack		1500m	2000m	2500m
N	1600 m	0 cm	150 cm	200 cm
S	1900 m	0 cm	100 cm	150 cm

South zone		Snow thickness		
Snowpack		1500m	2000m	2500m
N	1600 m	0 cm	120 cm	150 cm
S	1900 m	0 cm	60 cm	100 cm

Govern d'Andorra

EAWS
EUROPEAN AVALANCHE WARNING SERVICES

Aquest butlletí ha estat elaborat seguint les normes i recomanacions de l'**European Avalanche Warning Services**, del qual el **Servei meteorològic Nacional** n'és membre

BUTLLETÍ DEL PERILL D'ALLAUS DEL PRINCIPAT D'ANDORRA

Servei meteorològic nacional
Principat d'Andorra

Detailed information for protected areas

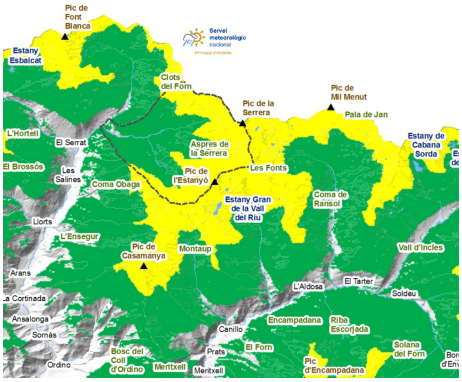

SORTENY

The north wind has changed the danger scenario and the management we have to do. New patches have been created near the forest edge due to the turbulent wind and may continue to grow for the next few hours. In addition, on the northern slopes there are still weak layers that can trigger plates and that must make us maintain caution with the safety distance. From Saturday afternoon we will have a return of fully wintry weather.

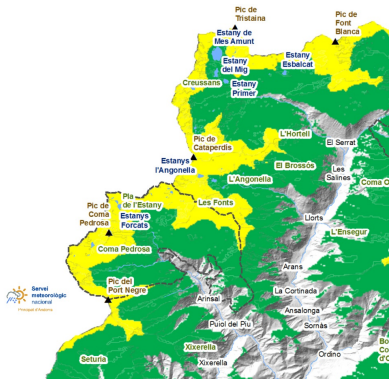

COMAPEDROSA

The wind has affected the whole country and the plates have formed mainly at height and at the edge of the forest due to the turbulent wind. We will be able to distinguish the old snow from the new by the color, and the old snow will be harder and frozen.

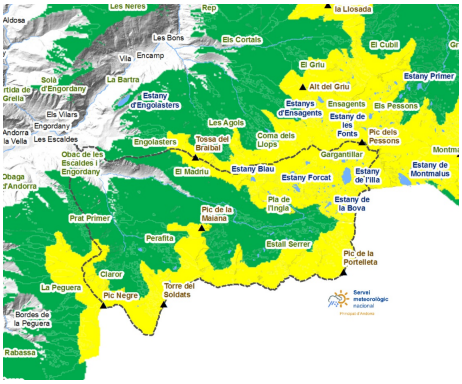

MADRIU-PERAFITA-CLAROR

We will have to avoid accumulations of windblown snow, therefore it will be safer to drive on old snow that is a little darker and colder than on new snow. The cold of the next few days, with a wintry atmosphere from Saturday, will freeze the snow at low and medium altitudes.

Govern d'Andorra

EAWS
EUROPEAN AVALANCHE WARNING SERVICES

Aquest butlletí ha estat elaborat seguint les normes i recomanacions de l'**European Avalanche Warning Services**, del qual el **Servei meteorològic Nacional** n'és membre

BUTLLETÍ DEL PERILL D'ALLAUS DEL PRINCIPAT D'ANDORRA

Servei meteorològic nacional
Principat d'Andorra

Thick snow in recent days (last 24 hours measured at 06:00 UTC)

	23/03/2026	24/03/2026	25/03/2026	26/03/2026
FEDA (Central)	0 cm	0 cm	0 cm	0 cm
Engolasters - FEDA	0 cm	0 cm	0 cm	0 cm
Ransol - FEDA	0 cm	0 cm	0 cm	0 cm
Fontverd	0 cm	0 cm	0 cm	0 cm
Bony de les Neres	0 cm	0 cm	0 cm	0 cm
Grau Roig - FEDA	0 cm	0 cm	0 cm	0 cm
Caborreu	0 cm	0 cm	0 cm	0 cm
Sorteny	0 cm	0 cm	2 cm	0 cm
Coll Pa	0 cm	0 cm	4 cm	0 cm
Perafita	0 cm	0 cm	0 cm	0 cm
Tossa Espiolets	0 cm	0 cm	0 cm	0 cm
La Solana	0 cm	0 cm	2 cm	1 cm
Vall del Riu FEDA	0 cm	0 cm	2 cm	0 cm
Envalira Antenes	0 cm	0 cm	0 cm	0 cm
Les Fonts d'Arinsal	0 cm	0 cm	1 cm	0 cm