MINISTERO DELLA DIFESA

meteomont
Servizio Nazionale di previsione neve e valanghe

EAWS EUROPEAN AVALANCHE WARNING SERVICES

CARABINIERI

ALPI GIULIE

Avalanche Bulletin N. 387/2026 issued at 14:00 on 27/03/2026
48 hours validity. Next issue on 28/03/2026

By the METEOMONT Service of the ARMA dei CARABINIERI ITALY
In collaboration with Air Force Meteorological Service

Situation on 27/03/2026

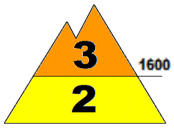

DANGER PATTERNS: loose snow and wind.

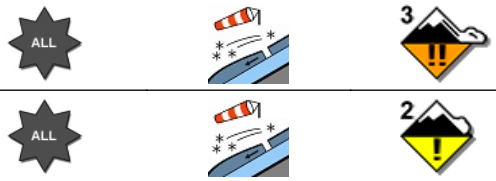

DANGER PATTERNS: loose snow and wind.

Snow line (m.a.s.l.)	North	South
	800 - 1000	1200 - 1500

Snow depth (cm)	ground snow	new snow	Elevation (m.a.s.l.)
	090	00	1550
	55	0	1150

REGISTERED AVALANCHES: Several medium avalanches, Surface loose snow avalanches.

FORECAST 28/03/2026

Danger level: CONSIDERABLE 3

DANGER PATTERNS: loose snow and wind.

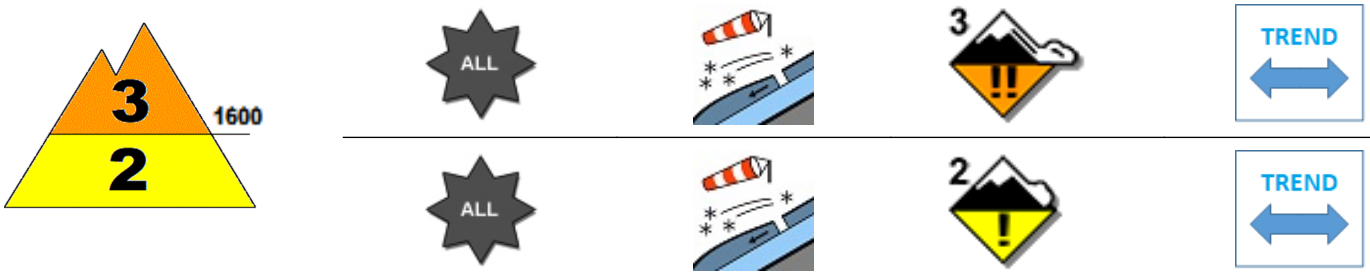

DANGER PATTERNS: loose snow and wind.

SNOWPACK: Snowpack stability is poor on some points (areas) above 1600 m.a.s.l. All aspects are critical. large avalanches are possible.
Snowpack stability is poor on few points (areas) below 1600 m.a.s.l. All aspects are critical. Large avalanches are possible.

WARNING

Take extra care of the wind intensity and the combined wind-chill factor.

EUROPEAN AVALANCHE WARNING SERVICE

AVALANCHE PROBLEMS

According to EAWS standards Meteomont bulletin is a synoptic-scale system (regional scale). It shall be the user's responsibility to correlate the danger level evaluation of the bulletin with a detailed and expertise analysis of the zonal hazards (single slope), that could be markedly different. Meteorological forecast are issued at UTC (for Italy: in winter time UTC+1: in summer time UTC+2).

Bulletin is subjected to check processes through: the record of Observers and Avalanches and snow Experts data in C-Sifa; the validation by forecasters; the certification by Meteomont Section.

ALPI GIULIE

WEATHER FORECAST FOR

Elevation		28/03/2026 h6:00	28/03/2026 h12:00	28/03/2026 h18:00
1000	Wind	02 Knots from North	02 Knots from N-East	01 Knots from N-East
	Temperatures	-02 °C	+04 °C	+02 °C
	Wind chill	-2 °C	4 °C	2 °C
2000	Wind	11 Knots from North	07 Knots from North	05 Knots from N-East
	Temperatures	-05 °C	-02 °C	-02 °C
	Wind chill	-12 °C	-6 °C	-5 °C
3000	Wind	13 Knots from N-East	06 Knots from N-East	06 Knots from N-East
	Temperatures	-09 °C	-07 °C	-08 °C
	Wind chill	-17 °C	-12 °C	-13 °C
Freezing level		1000-1200 m.	1600-1800 m.	1400-1600 m.
Atmospheric phenomenon		—	—	—
Keys to sky condition				

KEYS TO ATMOSPHERIC PHENOMENON

— Absence of adverse weather phenomena
Fog
Mist
Light rain
Moderate rain
Heavy rain
Thunderstorm
Weak snowfall
Moderate snowfall
Heavy snowfall

KEYS TO SKY CONDITION

Clear
Partly cloudy
Cloudy
Mostly cloudy
Overcast

Weather and snow data recorded during field and out of field obsevations on 27/03/2026.

Observation field	District	Elevation (m.a.s.l.)	Snow depth (cm)	Snowfall in previous 24 hours (cm)	Temp. Min (°C)	Temp. Max (°C)	General weather conditions
MALBORGHETTO - VAL SAISERA	Tarvisio (UD)	875	2	N.P.	-3	+6	Absence of rain or other precipitation
PASSO PRAMOLLO	Pontebba (UD)	1530	89	0	-4	+8	Absence of rain or other precipitation
PASSO PREDIL	Tarvisio (UD)	1130	55	0	-2	+1	Absence of rain or other precipitation

(*) Out of field survey

INFORMATION MEANS PREVENTION - SCAN QRCODE TO KNOW DAILY AVALANCHE DANGER LEVEL!

IL CAPO DEL CENTRO NAZIONALE METEOMONT
(Ten. Col. RFI Emanuela Gini)
FIRMA AUTOGRAFA OMESSA AI SENSI
DELL'ART.3 DEL D.LGS N.39/1993

According to EAWS standards Meteomont bulletin is a synoptic-scale system (regional scale). It shall be the user's responsibility to correlate the danger level evaluation of the bulletin with a detailed and expertise analysis of the zonal hazards (single slope), that could be markedly different. Meteorological forecast are issued at UTC (for Italy: in winter time UTC+1: in summer time UTC+2).

Bulletin is subjected to check processes through: the record of Observers and Avalanches and snow Experts data in C-Sifa; the validation by forecasters; the certification by Meteomont Section.