MAJELLA

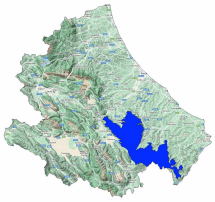

Avalanche Bulletin N. 373/2026 issued at 14:00 on 26/03/2026
48 hours validity. Next issue on 27/03/2026
By the METEOMONT Service of the ARMA dei CARABINIERI ITALY
In collaboration with Air Force Meteorological Service

Situation on 26/03/2026

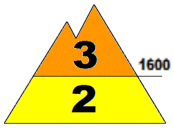

DANGER PATTERNS: loose snow and wind.

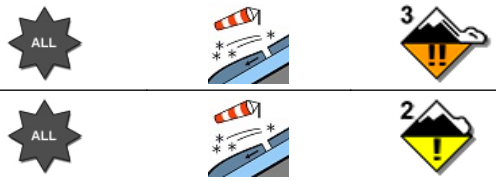

DANGER PATTERNS: loose snow and wind.

Snow line (m.a.s.l.)	North	South
	1200	1200

Snow depth (cm)	ground snow	new snow	Elevation (m.a.s.l.)
	056	000	1650
	007	001	1200

REGISTERED AVALANCHES: No avalanches detected.

FORECAST 27/03/2026

Danger level: CONSIDERABLE 3

DANGER PATTERNS: loose snow and wind.

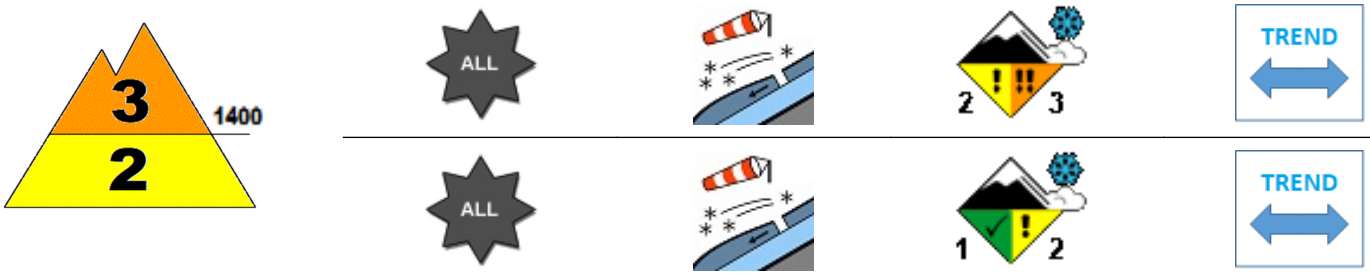

DANGER PATTERNS: loose snow and wind.

SNOWPACK: Snowpack stability is poor on some points (areas) above 1400 m.a.s.l. All aspects are critical. large avalanches are possible.
Snowpack stability is moderate on some points (areas) below 1400 m.a.s.l. All aspects are critical. Medium avalanches are possible.

WARNING

Due to observed wind activity, avoid accumulation zones, bowls, gullies, irregular slopes and leeward slopes in general.

EUROPEAN AVALANCHE WARNING SERVICE

AVALANCHE PROBLEMS

According to EAWS standards Meteomont bulletin is a synoptic-scale system (regional scale). It shall be the user's responsibility to correlate the danger level evaluation of the bulletin with a detailed and expertise analysis of the zonal hazards (single slope), that could be markedly different. Meteorological forecast are issued at UTC (for Italy: in winter time UTC+1: in summer time UTC+2).

Bulletin is subjected to check processes through: the record of Observers and Avalanches and snow Experts data in C-Sifa; the validation by forecasters; the certification by Meteomont Section.

MAJELLA

WEATHER FORECAST FOR

Elevation		27/03/2026 h6:00	27/03/2026 h12:00	27/03/2026 h18:00
1000	Wind	08 Knots from North	06 Knots from North	06 Knots from North
	Temperatures	-07 °C	-06 °C	-05 °C
	Wind chill	-13 °C	-11 °C	-10 °C
2000	Wind	17 Knots from North	14 Knots from North	13 Knots from North
	Temperatures	-09 °C	-08 °C	-06 °C
	Wind chill	-18 °C	-16 °C	-13 °C
3000	Wind	16 Knots from North	13 Knots from North	12 Knots from North
	Temperatures	-16 °C	-14 °C	-13 °C
	Wind chill	-27 °C	-24 °C	-22 °C
Freezing level		0500-0700 m.	0700-0900 m.	0900-1100 m.
Atmospheric phenomenon				
Keys to sky condition				

KEYS TO ATMOSPHERIC PHENOMENON

Absence of adverse weather phenomena · Fog · Mist · Light rain · Moderate rain · Heavy rain · Thunderstorm · Weak snowfall · Moderate snowfall · Heavy snowfall

KEYS TO SKY CONDITION

Clear · Partly cloudy · Cloudy · Mostly cloudy · Overcast

Weather and snow data recorded during field and out of field obsevations on 26/03/2026.

Observation field	District	Elevation (m.a.s.l.)	Snow depth (cm)	Snowfall in previous 24 hours (cm)	Temp. Min (°C)	Temp. Max (°C)	General weather conditions
QUARTARANA	Campo di Giove (AQ)	1200	7	1	0	+13	Moderate snow
PASSOLANCIANO	Lettomanoppello (PE)	1300	32	1	0	+11	Absence of rain or other precipitation
VALICO DELLA FORCHETTA	Palena (CH)	1270	5	0	+1	+5	Intermittent light rain
VALLE DEL SOLE	Pizzoferrato (CH)	1440	5	Snow traces	-1	+8	Intermittent light snow
MAIELETTA MAMMA ROSA	Pretoro (CH)	1650	56	Snow traces	-4	0	Continuous light snow
PASSO SAN LEONARDO	Sant'Eufemia a Maiella (PE)	1145	0	0	+0	+12	Intermittent light snow

(*) Out of field survey

INFORMATION MEANS PREVENTION - SCAN QRCODE TO KNOW DAILY AVALANCHE DANGER LEVEL!

IL CAPO DEL CENTRO NAZIONALE METEOMONT
(Ten. Col. RFI Emanuela Gini)
FIRMA AUTOGRAFA OMESSA AI SENSI
DELL'ART.3 DEL D.LGS N.39/1993

According to EAWS standards Meteomont bulletin is a synoptic-scale system (regional scale). It shall be the user's responsibility to correlate the danger level evaluation of the bulletin with a detailed and expertise analysis of the zonal hazards (single slope), that could be markedly different. Meteorological forecast are issued at UTC (for Italy: in winter time UTC+1: in summer time UTC+2).

Bulletin is subjected to check processes through: the record of Observers and Avalanches and snow Experts data in C-Sifa; the validation by forecasters; the certification by Meteomont Section.