P.N. ABRUZZO

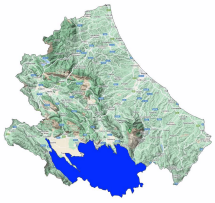

Avalanche Bulletin N. 342/2026 issued at 14:00 on 27/03/2026
48 hours validity. Next issue on 28/03/2026
By the METEOMONT Service of the ARMA dei CARABINIERI ITALY
In collaboration with Air Force Meteorological Service

Situation on 27/03/2026

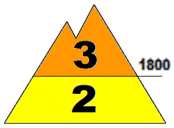

DANGER PATTERNS: loose snow and wind.

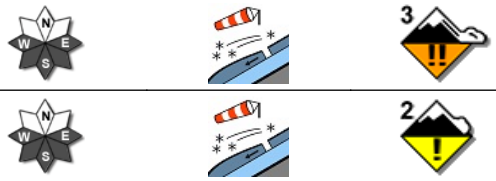

DANGER PATTERNS: loose snow and wind.

Snow line (m.a.s.l.)	North	South
	1000 - 1100	1100 - 1200

Snow depth (cm)	ground snow	new snow	Elevation (m.a.s.l.)
	025	022	1480
	025	025	1495

REGISTERED AVALANCHES: No avalanches detected.

FORECAST 28/03/2026

Danger level: CONSIDERABLE 3

DANGER PATTERNS: loose snow and wind.

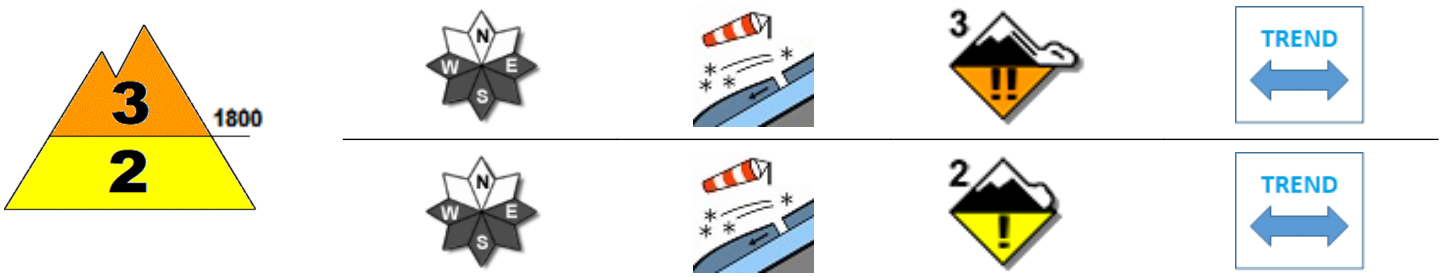

DANGER PATTERNS: loose snow and wind.

SNOWPACK: Snowpack stability is poor on some points (areas) above 1800 m.a.s.l. All From east to west-facing slopes are critical. large avalanches are possible.
Snowpack stability is moderate on some points (areas) below 1800 m.a.s.l. All From east to west-facing slopes are critical. Medium avalanches are possible.

WARNING

Due to current severe weather conditions, outdoor activities beyond the maintained and marked tracks are not advised.

EUROPEAN AVALANCHE WARNING SERVICE

AVALANCHE PROBLEMS

According to EAWS standards Meteomont bulletin is a synoptic-scale system (regional scale). It shall be the user's responsibility to correlate the danger level evaluation of the bulletin with a detailed and expertise analysis of the zonal hazards (single slope), that could be markedly different. Meteorological forecast are issued at UTC (for Italy: in winter time UTC+1: in summer time UTC+2).

Bulletin is subjected to check processes through: the record of Observers and Avalanches and snow Experts data in C-Sifa; the validation by forecasters; the certification by Meteomont Section.

P.N. ABRUZZO

WEATHER FORECAST FOR

Elevation		28/03/2026 h6:00	28/03/2026 h12:00	28/03/2026 h18:00
1000	Wind	08 Knots from N-East	05 Knots from North	04 Knots from North
	Temperatures	-03 °C	+01 °C	+01 °C
	Wind chill	-8 °C	-2 °C	-1 °C
2000	Wind	24 Knots from N-East	12 Knots from North	12 Knots from N-East
	Temperatures	-05 °C	-05 °C	-03 °C
	Wind chill	-14 °C	-12 °C	-9 °C
3000	Wind	20 Knots from N-East	12 Knots from N-East	15 Knots from North
	Temperatures	-07 °C	-06 °C	-04 °C
	Wind chill	-16 °C	-13 °C	-11 °C
Freezing level		1000-1200 m.	1400-1600 m.	1400-1600 m.
Atmospheric phenomenon			—	—
Keys to sky condition				

KEYS TO ATMOSPHERIC PHENOMENON

— Absence of adverse weather phenomena
Fog
Mist
Light rain
Moderate rain
Heavy rain
Thunderstorm
Weak snowfall
Moderate snowfall
Heavy snowfall

KEYS TO SKY CONDITION

Clear
Partly cloudy
Cloudy
Mostly cloudy
Overcast

Weather and snow data recorded during field and out of field obsevations on 27/03/2026.

Observation field	District	Elevation (m.a.s.l.)	Snow depth (cm)	Snowfall in previous 24 hours (cm)	Temp. Min (°C)	Temp. Max (°C)	General weather conditions
FORCA D'ACERO	Pescasseroli (AQ)	1480	25	22	-2	+4	Continuous light snow
VALLE GELATA	Pescocostanzo (AQ)	1466	27	27	-3	+5	Moderate snow
COPPO DELL'ORSO	Villetta Barrea (AQ)	1520	19	11	-4	+7	Moderate snow
PIANO AREMOGNA	Roccaraso (AQ)	1456	9	7	-2	+4	Continuous light snow
MIMOLA	Scanno (AQ)	1495	25	25	-3	+6	Continuous light snow
FONTE DEL TASSO *	Scanno (AQ)	1528	29	11	-4	N.P.	Continuous light snow
CUCCHIAIO AREMOGNA *	Roccaraso (AQ)	1941	220	30	N.P.	N.P.	Continuous light snow

(*) Out of field survey

INFORMATION MEANS PREVENTION - SCAN QRCODE TO KNOW DAILY AVALANCHE DANGER LEVEL!

IL CAPO DEL CENTRO NAZIONALE METEOMONT
(Ten. Col. RFI Emanuela Gini)
FIRMA AUTOGRAFA OMESSA AI SENSI
DELL'ART.3 DEL D.LGS N.39/1993

According to EAWS standards Meteomont bulletin is a synoptic-scale system (regional scale). It shall be the user's responsibility to correlate the danger level evaluation of the bulletin with a detailed and expertise analysis of the zonal hazards (single slope), that could be markedly different. Meteorological forecast are issued at UTC (for Italy: in winter time UTC+1: in summer time UTC+2).

Bulletin is subjected to check processes through: the record of Observers and Avalanches and snow Experts data in C-Sifa; the validation by forecasters; the certification by Meteomont Section.