aineva.it

Monday 30.03.2026

Updated 29 03 2026, 23:42

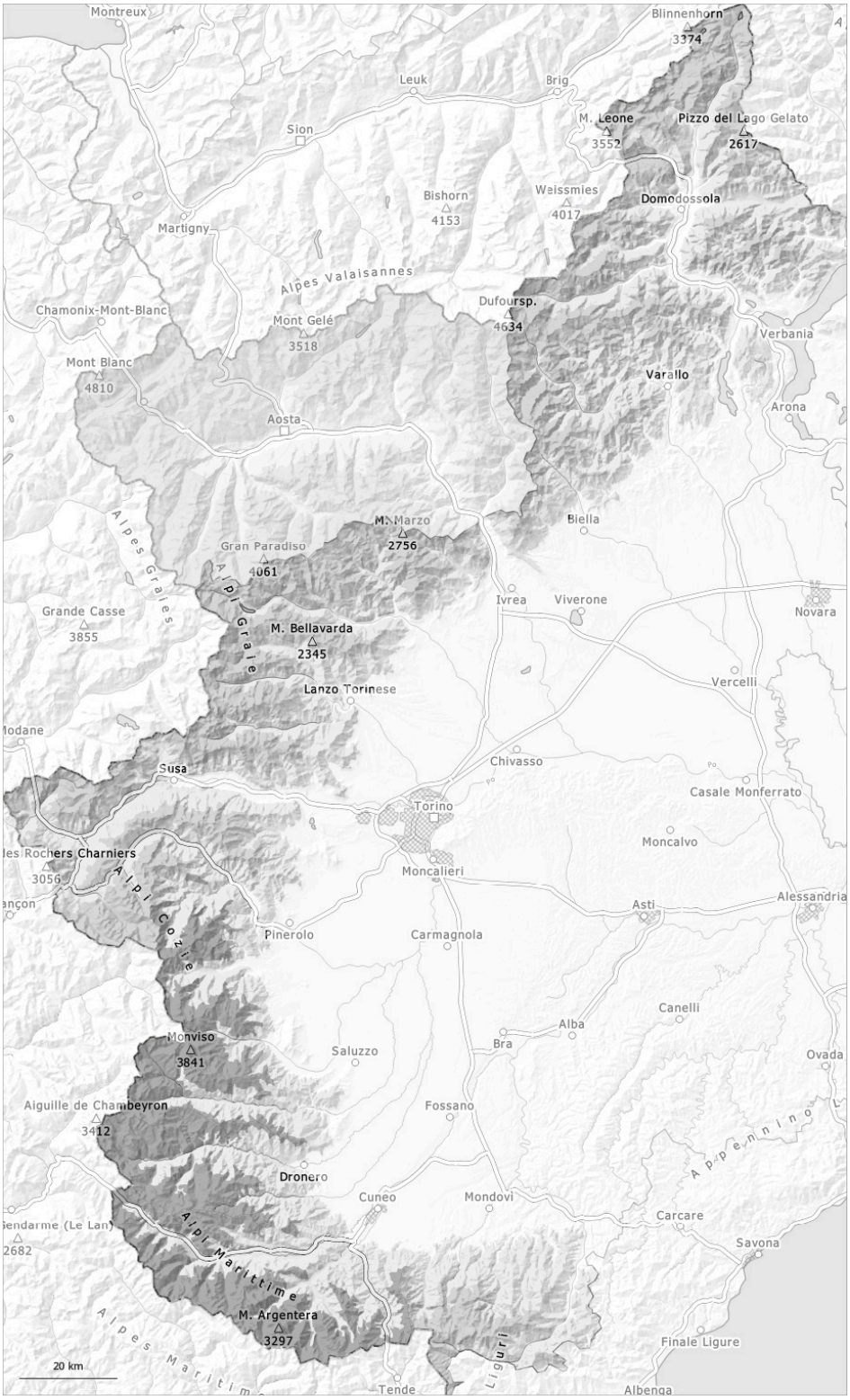

1	2	3	4	5
low	moderate	considerable	high	very high

Danger Level 3 - Considerable

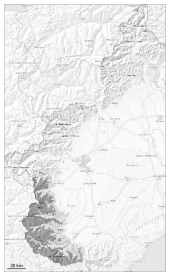

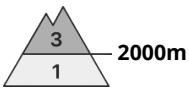

Tendency: Constant avalanche danger
on Tuesday 31 03 2026

Wind slab

2000m

As a consequence of the northeasterly wind the prevalence of the avalanche prone locations will increase as the day progresses.

As a consequence of a freshening wind from northeasterly directions, further wind slabs will form in the course of the day. These can in some places be released, even by a single winter sport participant.

In particular on steep slopes the avalanches can be released in the various wind slab layers and reach large size in isolated cases.

Several mostly small natural dry avalanches are possible on very steep slopes.

High altitudes and the high Alpine regions: Backcountry touring calls for careful route selection.

Snowpack

Danger patterns dp.6: cold, loose snow and wind

In some regions 10 to 15 cm of snow fell yesterday above approximately 1600 m.

As a consequence of new snow and a moderate to strong wind from northeasterly directions, further wind slabs will form. High altitudes and the high Alpine regions: Over a wide area various wind slab layers are lying on a hard crust.

In the vicinity of peaks snow depths vary greatly, depending on the infuence of the wind.

Individual weak layers exist in the old snowpack in particular on shady slopes.

Danger Level 2 - Moderate

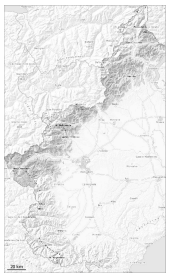

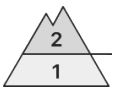

2200m

Tendency: Constant avalanche danger
on Tuesday 31 03 2026

Wind slab

2200m

Persistent
weak layer

2200m

The wind slabs are to be assessed with care and prudence.

The hard wind slabs are lying on a crust in particular on sunny slopes and at high altitude.
These can in isolated cases be released, even by a single winter sport participant and reach medium size.
The avalanche prone locations are to be found in particular in gullies and bowls and on wind-loaded slopes. Along the border with France the likelihood of avalanches is higher.

Snowpack

Danger patterns dp.6: cold, loose snow and wind

Over a wide area wind slabs are lying on a hard crust, especially on sunny slopes in all altitude zones, and adjacent to ridgelines and in pass areas at elevated altitudes.

High altitudes shady slopes: Towards its base, the snowpack is faceted.
Individual weak layers exist in the centre of the snowpack especially on west, north and northeast facing slopes.

On sunnier slopes where temperatures are less cold, the hard surface of the snowpack will gradually soften over the course of the day.

In particular adjacent to ridgelines at high altitude snow depths vary greatly, depending on the infuence of the wind.

Danger Level 2 - Moderate

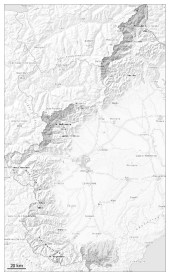

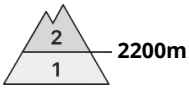

Tendency: Constant avalanche danger
on Tuesday 31 03 2026

Wind slab

Individual avalanche prone locations are to be found on wind-loaded slopes at elevated altitudes.

In some localities 5 to 10 cm of snow fell yesterday above approximately 1700 m. As a consequence of new snow and wind from northeasterly directions, rather small wind slabs formed. These can in some places be released, in particular by large loads. In particular on wind-loaded slopes the avalanches can be released in the various wind slab layers and reach medium size.

Snowpack

Danger patterns dp.6: cold, loose snow and wind

In some regions 5 to 10 cm of snow fell yesterday above approximately 1700 m.
High altitudes and the high Alpine regions: Over a wide area various wind slab layers are lying on a hard crust.

In the vicinity of peaks snow depths vary greatly, depending on the infuence of the wind.