BUTLLETÍ DEL PERILL D'ALLAUS DEL PRINCIPAT D'ANDORRA

Servei meteorològic nacional
Principat d'Andorra

Prepared on 29/03/2026 16:00
Next update 30/03/2026 at 16 am

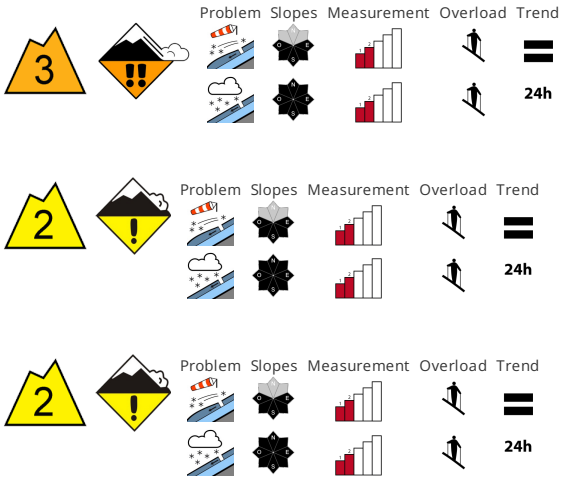

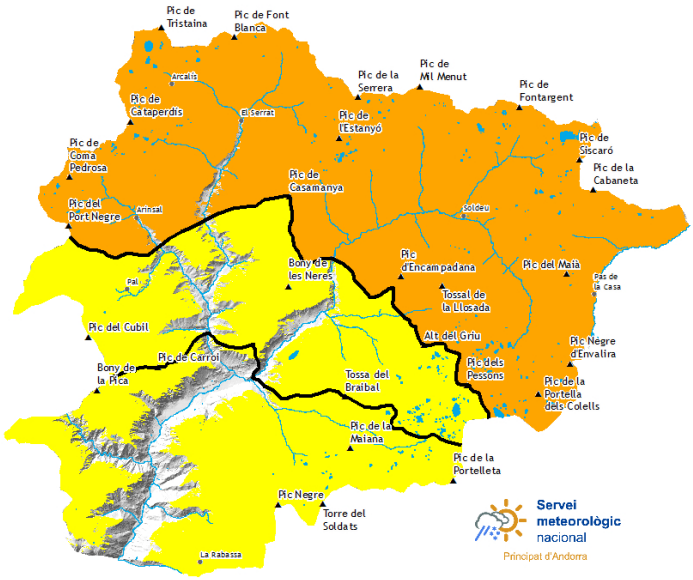

SNOW QUALITY

The starting zones have been replenished as a consequence of snowfall and wind. The sometimes storm force wind will transport the fresh and old snow significantly. The backcountry touring conditions are to some extent unfavourable. The avalanche prone locations are to be found in all aspects in areas close to the tree line and at transitions into gullies and bowls. The fresh snow and the wind slabs represent the main danger. Wind slabs can be released easily and reach medium size.

STABILITY OF THE SNOW MANTLE

The avalanche prone locations are quite prevalent and are difficult to recognise. The snowpack remains subject to considerable local variations. Adjacent to ridgelines snow depths vary greatly, depending on the infuence of the wind.

OFF-PISTE SNOW COVER THICKNESSES

North zone		Snow thickness		
Snowpack		1500m	2000m	2500m
N	1300 m	10 cm	150 cm	200 cm
S	1500 m	5 cm	100 cm	150 cm

Center area		Snow thickness		
Snowpack		1500m	2000m	2500m
N	1300 m	10 cm	150 cm	200 cm
S	1500 m	5 cm	100 cm	150 cm

South zone		Snow thickness		
Snowpack		1500m	2000m	2500m
N	1300 m	10 cm	120 cm	150 cm
S	1500 m	5 cm	60 cm	100 cm

Govern d'Andorra

EAWS EUROPEAN AVALANCHE WARNING SERVICES

Aquest butlletí ha estat elaborat seguint les normes i recomanacions de l'**European Avalanche Warning Services**, del qual el **Servei meteorològic Nacional** n'és membre

Detailed information for protected areas

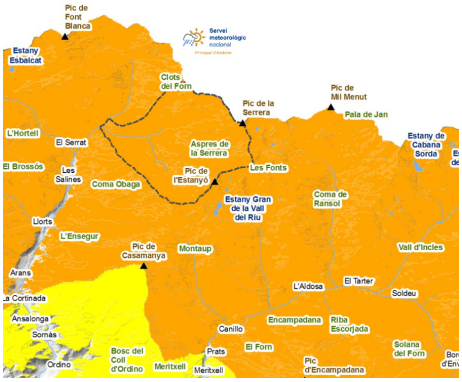

SORTENY

The wind has shaped the recent snow and will continue to do so for the next few days, so the wind patches will be constantly evolving. Due to the wind that will still blow strongly at altitude during this first half of Holy Week and the successive snowfalls that will mainly affect the north of Andorra, it is not recommended to leave the plain terrain.

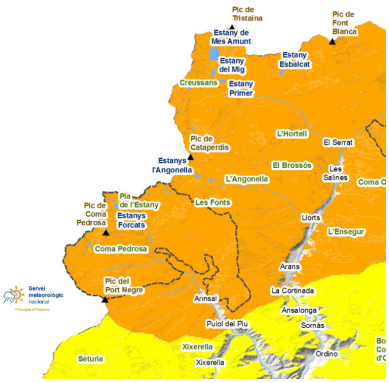

COMAPEDROSA

It is expected that the wind will still be strong at altitude during the next few days and wind plates will continue to form.

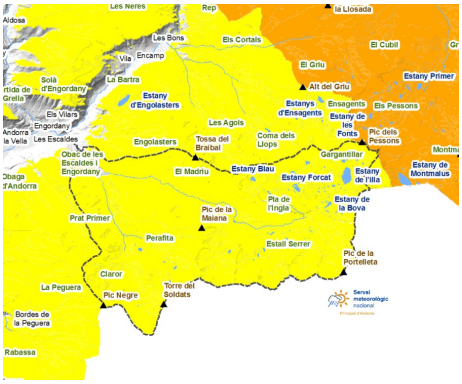

MADRIU-PERAFITA-CLAROR

The snow has returned to all elevations in the valley, but until the wind subsides it is not advisable to go hiking in the mountains.

BUTLLETÍ DEL PERILL D'ALLAUS DEL PRINCIPAT D'ANDORRA

Servei meteorològic nacional
Principat d'Andorra

Thick snow in recent days (last 24 hours measured at 06:00 UTC)

	25/03/2026	26/03/2026	27/03/2026	28/03/2026
FEDA (Central)	0 cm	0 cm	0 cm	0 cm
Engolasters - FEDA	0 cm	0 cm	0 cm	7 cm
Bony de les Neres	0 cm	0 cm	0 cm	20 cm
Les Fonts d'Arinsal	1 cm	0 cm	0 cm	4 cm
Perafita	0 cm	0 cm	0 cm	0 cm
Tossa Espiolets	0 cm	0 cm	0 cm	34 cm
Grau Roig - FEDA	0 cm	0 cm	0 cm	16 cm
Fontverd	0 cm	0 cm	0 cm	17 cm
Coll Ordino	0 cm	0 cm	0 cm	25 cm
Ransol - FEDA	0 cm	0 cm	0 cm	18 cm
Setúria	0 cm	0 cm	0 cm	21 cm
Caborreu	0 cm	0 cm	0 cm	23 cm
La Solana	2 cm	1 cm	1 cm	30 cm
Coll Pa	4 cm	0 cm	6 cm	21 cm
Envalira Antenes	0 cm	0 cm	0 cm	27 cm
Vall del Riu FEDA	2 cm	0 cm	0 cm	10 cm