MINISTERO DELLA DIFESA

meteomont Servizio Nazionale di previsione neve e valanghe

EAWS EUROPEAN AVALANCHE WARNING SERVICES

CARABINIERI

In collaborazione con: MARCHE

## APPENNINO UMBRO-MARCHIG. MERID. - MONTI SIBILLINI

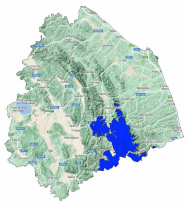

Avalanche Bulletin N. 342/2026 issued at 14:00 on 29/03/2026
48 hours validity. Next issue on 30/03/2026

**By the METEOMONT Service of the ARMA dei CARABINIERI ITALY**
**In collaboration with Air Force Meteorological Service**

## Situation on 29/03/2026

**DANGER PATTERNS: loose snow and wind.**

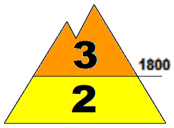

**DANGER PATTERNS: springtime situation.**

| Snow line (m.a.s.l.) | North | South |
|---|---|---|
| | 700 | 900 - 1000 |

| Snow depth (cm) | ground snow | new snow | Elevation (m.a.s.l.) |
|---|---|---|---|
| | 080 - 200 | 000 | 2000 |
| | 040 - 060 | 000 | 1600 |

**REGISTERED AVALANCHES: No avalanches detected.**

## FORECAST 30/03/2026

## Danger level: MODERATE 2

## DANGER PATTERNS: loose snow and wind.

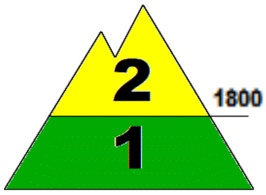


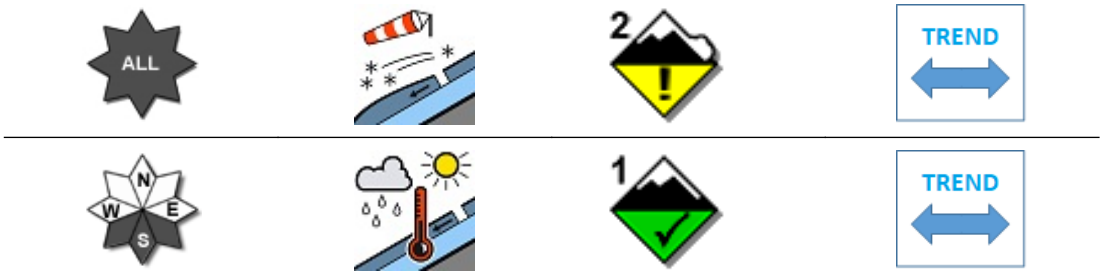


## DANGER PATTERNS: springtime situation.

**SNOWPACK: Snowpack stability is moderate on some points (areas) above 1800 m.a.s.l. All aspects are critical. medium avalanches are possible.**
**Snowpack stability is moderate on few points (areas) below 1800 m.a.s.l. All South-facing slopes are critical. Medium avalanches are possible.**

## WARNING

Due to the snow cover conditions,outdoor activities beyond the maintained and marked tracks require an excellent evaluation of local danger points.

## EUROPEAN AVALANCHE WARNING SERVICE

## AVALANCHE PROBLEMS

According to EAWS standards Meteomont bulletin is a synoptic-scale system (regional scale). It shall be the user's responsibility to correlate the danger level evaluation of the bulletin with a detailed and expertise analysis of the zonal hazards (single slope), that could be markedly different. Meteorological forecast are issued at UTC (for Italy: in winter time UTC+1: in summer time UTC+2).

Bulletin is subjected to check processes through: the record of Observers and Avalanches and snow Experts data in C-Sifa; the validation by forecasters; the certification by Meteomont Section.

MINISTERO DELLA DIFESA

meteomont
Servizio Nazionale di previsione neve e valanghe

EAWS EUROPEAN AVALANCHE WARNING SERVICES

CARABINIERI

In collaborazione con: MARCHE

# APPENNINO UMBRO-MARCHIG. MERID. - MONTI SIBILLINI

## WEATHER FORECAST FOR

| Elevation | | 30/03/2026 h6:00 | 30/03/2026 h12:00 | 30/03/2026 h18:00 |
|---|---|---|---|---|
| 1000 | Wind | 01 Knots from N-East | 01 Knots from S-East | 02 Knots from West |
| | Temperatures | -02 °C | +00 °C | +01 °C |
| | Wind chill | -2 °C | 0 °C | 1 °C |
| 2000 | Wind | 06 Knots from N-East | 02 Knots from N-East | 04 Knots from N-West |
| | Temperatures | -03 °C | -02 °C | -03 °C |
| | Wind chill | -7 °C | -2 °C | -6 °C |
| 3000 | Wind | 08 Knots from N-East | 05 Knots from N-West | 10 Knots from N-West |
| | Temperatures | -08 °C | -09 °C | -10 °C |
| | Wind chill | -14 °C | -14 °C | -18 °C |
| Freezing level | | 1100-1300 m. | 1500-1700 m. | 1600-1800 m. |
| Atmospheric phenomenon | | — | — | |
| Keys to sky condition | | | | |

## KEYS TO ATMOSPHERIC PHENOMENON

— Absence of adverse weather phenomena
Fog
Mist
Light rain
Moderate rain
Heavy rain
Thunderstorm
Weak snowfall
Moderate snowfall
Heavy snowfall

## KEYS TO SKY CONDITION

Clear
Partly cloudy
Cloudy
Mostly cloudy
Overcast

## Weather and snow data recorded during field and out of field obsevations on 29/03/2026.

| Observation field | District | Elevation (m.a.s.l.) | Snow depth (cm) | Snowfall in previous 24 hours (cm) | Temp. Min (°C) | Temp. Max (°C) | General weather conditions |
|---|---|---|---|---|---|---|---|
| FORCA DI GUALDO | Castelsantangelo sul Nera (MC) | 1496 | 46 | 0 | N.P. | N.P. | Absence of rain or other precipitation |
| COLLE | Montegallo (AP) | 1036 | 28 | 0 | -2 | +8 | Absence of rain or other precipitation |
| PARCO GUARNIERI | Montemonaco (AP) | 980 | 15 | 0 | +0 | +7 | Absence of rain or other precipitation |
| FRONTIGNANO * | Ussita (MC) | 1410 | 35 | 0 | N.P. | N.P. | Absence of rain or other precipitation |

(*) Out of field survey

**INFORMATION MEANS PREVENTION - SCAN QRCODE TO KNOW DAILY AVALANCHE DANGER LEVEL!**

**IL CAPO DEL CENTRO NAZIONALE METEOMONT**
**(Ten. Col. RFI Emanuela Gini)**
**FIRMA AUTOGRAFA OMESSA AI SENSI**
**DELL'ART.3 DEL D.LGS N.39/1993**

According to EAWS standards Meteomont bulletin is a synoptic-scale system (regional scale). It shall be the user's responsibility to correlate the danger level evaluation of the bulletin with a detailed and expertise analysis of the zonal hazards (single slope), that could be markedly different. Meteorological forecast are issued at UTC (for Italy: in winter time UTC+1: in summer time UTC+2).

Bulletin is subjected to check processes through: the record of Observers and Avalanches and snow Experts data in C-Sifa; the validation by forecasters; the certification by Meteomont Section.