aineva.it

Tuesday 31.03.2026

Updated 30 03 2026, 20:03

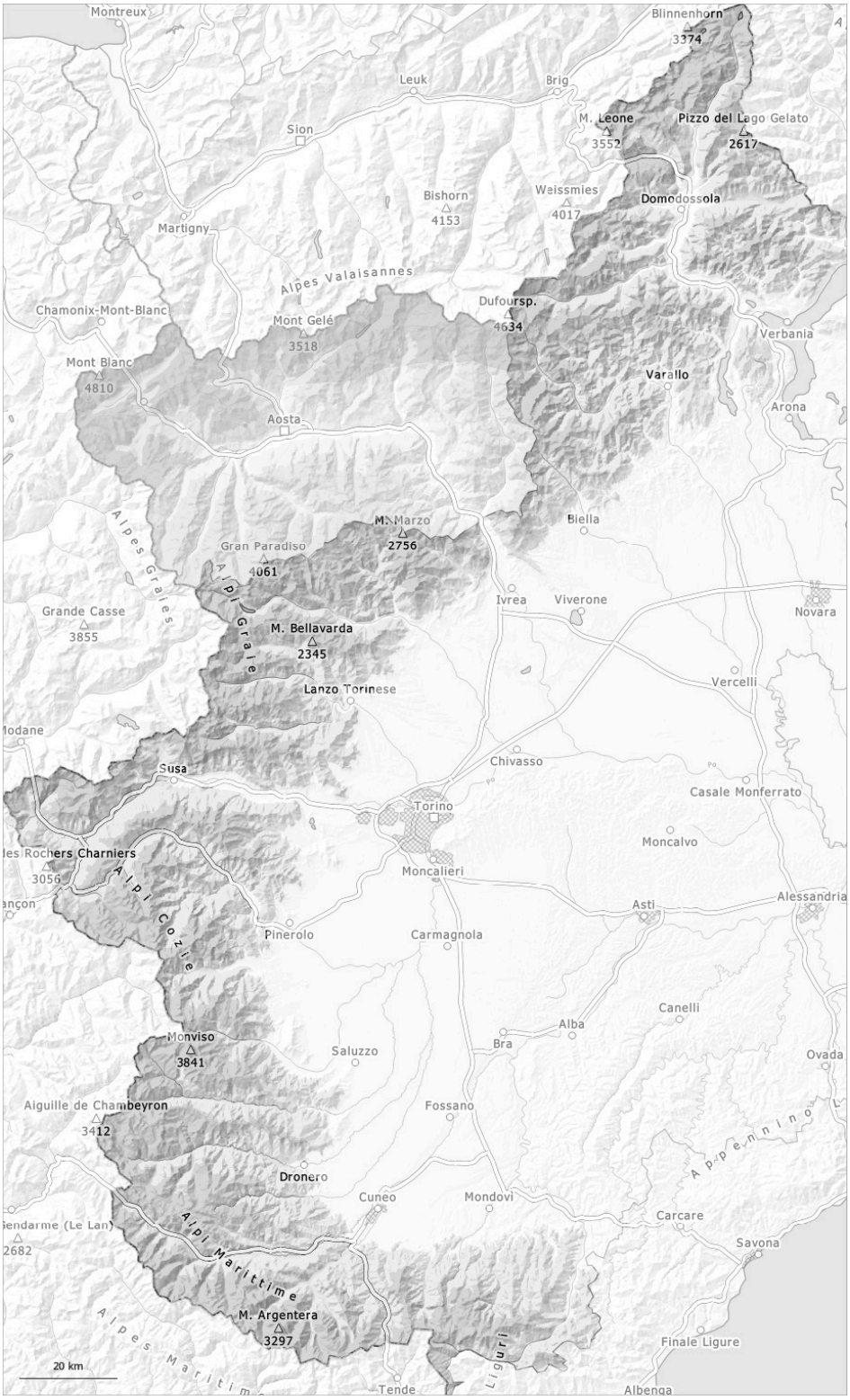

1	2	3	4	5
low	moderate	considerable	high	very high

Danger Level 2 - Moderate

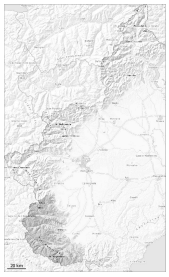

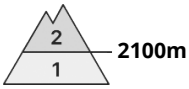

Tendency: Constant avalanche danger
on Wednesday 01 04 2026

Wind slab

2100m

The wind slabs are easy to recognise and can be released by large loads in particular.

The snowpack will be well bonded at low and intermediate altitudes.

As a consequence of new snow and a moderate to strong wind from easterly directions, clearly visible wind slabs formed in the last two days in particular in gullies and bowls and behind abrupt changes in the terrain. These can in isolated cases be released by a single winter sport participant.
In some cases the avalanches can be released in the various wind slab layers and reach medium size.

Snowpack

Danger patterns dp.6: cold, loose snow and wind

In some regions 10 cm of snow fell on Sunday above approximately 1800 m.
As a consequence of a moderate to strong wind, clearly visible wind slabs formed in the last few days in particular in areas not adjacent to ridgelines.

Especially slopes high altitudes and the high Alpine regions: Individual weak layers exist in the centre of the snowpack.

In particular sunny slopes low and intermediate altitudes: The surface of the snowpack will freeze to form a strong crust and will soften later than the day before.

Danger Level 2 - Moderate

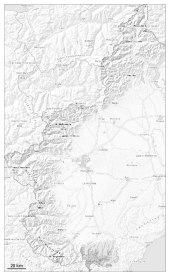

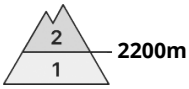

Tendency: Constant avalanche danger
on Wednesday 01 04 2026

Wind slab

2200m

The avalanche prone locations are to be found in particular on steep shady slopes at high altitudes and in high Alpine regions.

The fresh and somewhat older wind slabs can be released by a single winter sport participant in some cases at high altitudes and in high Alpine regions, especially at their margins.
The avalanche prone locations are to be found in particular at transitions into gullies and bowls and on steep shady slopes above approximately 2200 m.
Avalanches can in isolated cases penetrate deep layers and reach medium size.

Snowpack

Danger patterns dp.6: cold, loose snow and wind

Over a wide area wind slabs are lying on a hard crust.
In particular adjacent to ridgelines at high altitude snow depths vary greatly, depending on the infuence of the wind.

On sunnier slopes where temperatures are less cold, the hard surface of the snowpack will gradually soften over the course of the day.

Danger Level 2 - Moderate

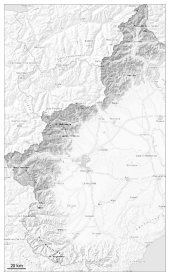

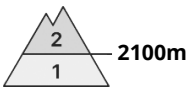

Tendency: Constant avalanche danger
on Wednesday 01 04 2026

Wind slab

2100m

The avalanche prone locations are to be found on wind-loaded slopes at elevated altitudes.

Some snow has fallen since Sunday in some regions. As a consequence of a moderate to strong bise wind, clearly visible wind slabs formed in the last few days.

Today the wind will be strong at times. As a consequence of a strengthening northwesterly wind, mostly shallow wind slabs will form in the course of the day in particular in areas not adjacent to ridgelines. Adjacent to ridgelines at high altitude snow depths vary greatly, depending on the infuence of the wind.

Wind slabs can in some places be released by small loads and reach medium size. This applies especially in areas where the snow cover is rather shallow, and in gullies and bowls, and behind abrupt changes in the terrain at intermediate and high altitudes.

Snowpack

Danger patterns dp.6: cold, loose snow and wind

In some regions 5 to 10 cm of snow has fallen since Sunday above approximately 1700 m.
High altitudes and the high Alpine regions: In the vicinity of peaks hardly any snow is lying.
Below the wind-eroded peaks, above around 1600 m, more snow is lying for the time of year.

Over a wide area various wind slab layers are lying on a hard crust.
Especially west, north and east facing slopes high altitudes and the high Alpine regions: Individual weak layers exist in the snowpack.

In particular sunny slopes low and intermediate altitudes: The surface of the snowpack will soften later than the day before.