PREALPI

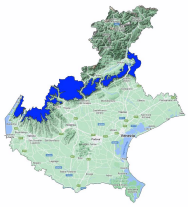

Avalanche Bulletin N. 386/2026 issued at 14:00 on 30/03/2026
48 hours validity. Next issue on 31/03/2026

By the METEOMONT Service of the ARMA dei CARABINIERI ITALY
In collaboration with Air Force Meteorological Service

Situation on 30/03/2026

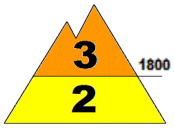

DANGER PATTERNS: loose snow and wind.

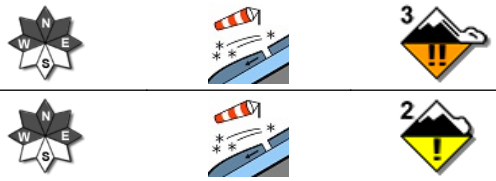

DANGER PATTERNS: loose snow and wind.

Snow line (m.a.s.l.)	North	South
	1200 - 1500	1700 - 1900

Snow depth (cm)	ground snow	new snow	Elevation (m.a.s.l.)
	90	000	2000
	45	000	1450

REGISTERED AVALANCHES: No avalanches detected.

FORECAST 31/03/2026

Danger level: MODERATE 2

DANGER PATTERNS: loose snow and wind.

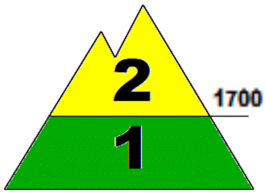

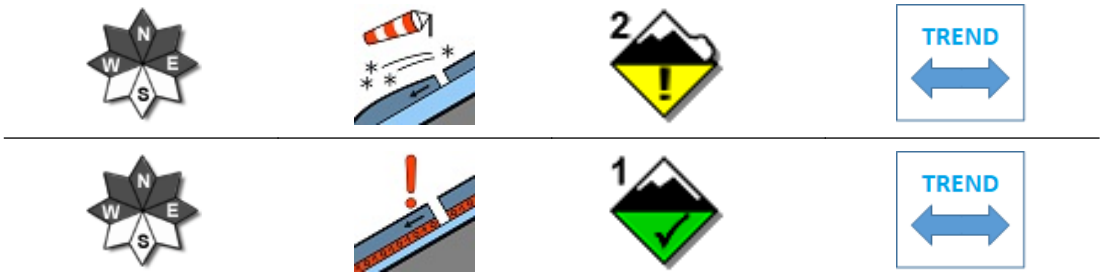

DANGER PATTERNS: shallow snow next to deep snow.

SNOWPACK: Snowpack stability is moderate on some points (areas) above 1700 m.a.s.l. All From west to east-facing slopes are critical. large avalanches are possible.
Snowpack stability is moderate on few points (areas) below 1700 m.a.s.l. All From west to east-facing slopes are critical. Medium avalanches are possible.

WARNING

Due to major snow drift accumulations in bowls,gullies, changes of slope and in general all leeward slopes, route choice and a detailed evaluation of snowpack stability is required.

EUROPEAN AVALANCHE WARNING SERVICE

AVALANCHE PROBLEMS

According to EAWS standards Meteomont bulletin is a synoptic-scale system (regional scale). It shall be the user's responsibility to correlate the danger level evaluation of the bulletin with a detailed and expertise analysis of the zonal hazards (single slope), that could be markedly different. Meteorological forecast are issued at UTC (for Italy: in winter time UTC+1: in summer time UTC+2).

Bulletin is subjected to check processes through: the record of Observers and Avalanches and snow Experts data in C-Sifa; the validation by forecasters; the certification by Meteomont Section.

MINISTERO DELLA DIFESA

meteomont
Servizio Nazionale di previsione neve e valanghe

EAWS EUROPEAN AVALANCHE WARNING SERVICES

CARABINIERI

In collaborazione con: arpav

PREALPI

WEATHER FORECAST FOR

Elevation		31/03/2026 h6:00	31/03/2026 h12:00	31/03/2026 h18:00
1000	Wind	05 Knots from N-East	06 Knots from N-East	06 Knots from N-East
	Temperatures	-01 °C	+05 °C	+02 °C
	Wind chill	-4 °C	2 °C	-1 °C
2000	Wind	24 Knots from N-East	22 Knots from N-East	27 Knots from N-East
	Temperatures	-06 °C	-06 °C	-05 °C
	Wind chill	-16 °C	-15 °C	-15 °C
3000	Wind	20 Knots from N-East	20 Knots from N-East	21 Knots from N-East
	Temperatures	-13 °C	-14 °C	-13 °C
	Wind chill	-24 °C	-26 °C	-25 °C
Freezing level		0800-1000 m.	1300-1500 m.	1200-1400 m.
Atmospheric phenomenon		—	—	—
Keys to sky condition				

KEYS TO ATMOSPHERIC PHENOMENON

— Absence of adverse weather phenomena
Fog
Mist
Light rain
Moderate rain
Heavy rain
Thunderstorm
Weak snowfall
Moderate snowfall
Heavy snowfall

KEYS TO SKY CONDITION

Clear
Partly cloudy
Cloudy
Mostly cloudy
Overcast

Weather and snow data recorded during field and out of field obsevations on 30/03/2026.

Observation field	District	Elevation (m.a.s.l.)	Snow depth (cm)	Snowfall in previous 24 hours (cm)	Temp. Min (°C)	Temp. Max (°C)	General weather conditions
MONTE PIZZOC *	Fregona (TV)	1543	39	0	N.P.	N.P.	Absence of rain or other precipitation
PIAN CANSIGLIO	Tambre (BL)	1025	0	0	-5	+13	Absence of rain or other precipitation
GALLIO - BUSA FONDA	Gallio (VI)	1460	42	0	-5	+13	Absence of rain or other precipitation
TRATTO SPINO DI SOTTO *	Malcesine (VR)	1489	65	0	N.P.	N.P.	Absence of rain or other precipitation

(*) Out of field survey

INFORMATION MEANS PREVENTION - SCAN QRCODE TO KNOW DAILY AVALANCHE DANGER LEVEL!

IL CAPO DEL CENTRO NAZIONALE METEOMONT
(Ten. Col. RFI Emanuela Gini)
FIRMA AUTOGRAFA OMESSA AI SENSI
DELL'ART.3 DEL D.LGS N.39/1993

According to EAWS standards Meteomont bulletin is a synoptic-scale system (regional scale). It shall be the user's responsibility to correlate the danger level evaluation of the bulletin with a detailed and expertise analysis of the zonal hazards (single slope), that could be markedly different. Meteorological forecast are issued at UTC (for Italy: in winter time UTC+1: in summer time UTC+2).

Bulletin is subjected to check processes through: the record of Observers and Avalanches and snow Experts data in C-Sifa; the validation by forecasters; the certification by Meteomont Section.