BUTLLETÍ DEL PERILL D'ALLAUS DEL PRINCIPAT D'ANDORRA

Servei meteorològic nacional
Principat d'Andorra

Prepared on 31/03/2026 16:00
Next update 01/04/2026 at 16 am

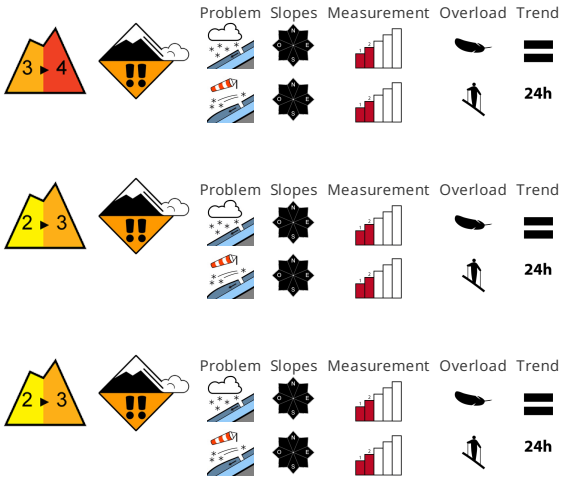

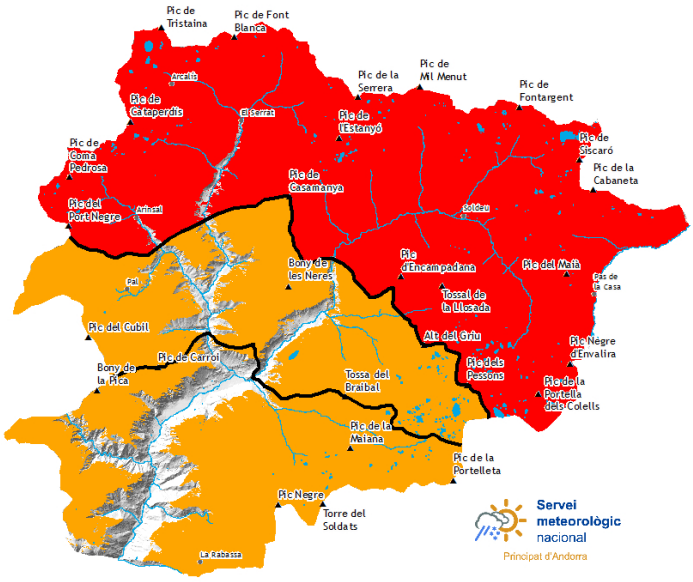

SNOW QUALITY

The starting zones will be replenished as a consequence of snowfall and wind. The sometimes strong wind will transport the fresh and old snow significantly. A very large quantity of fresh snow and the wind slabs can be released naturally in all aspects. Mostly Explanation: these may only stand for these avalanches are medium-sized. The avalanche prone locations are to be found in all aspects in areas close to the tree line and at transitions into gullies and bowls. The backcountry touring conditions are unfavourable. The avalanche prone locations are quite prevalent and are barely recognisable because of the poor visibility. It is inadvisable to engage in winter sport activities outside marked and open pistes.

STABILITY OF THE SNOW MANTLE

A lot of snow will fall until Thursday in particular in the north. The wind will be strong adjacent to ridgelines. The snowpack remains subject to considerable local variations. Adjacent to ridgelines snow depths vary greatly, depending on the infuence of the wind.

OFF-PISTE SNOW COVER THICKNESSES

North zone		Snow thickness		
Snowpack		1500m	2000m	2500m
N	1300 m	10 cm	150 cm	200 cm
S	1500 m	5 cm	100 cm	150 cm

Center area		Snow thickness		
Snowpack		1500m	2000m	2500m
N	1300 m	10 cm	150 cm	200 cm
S	1500 m	5 cm	100 cm	150 cm

South zone		Snow thickness		
Snowpack		1500m	2000m	2500m
N	1300 m	10 cm	120 cm	150 cm
S	1500 m	5 cm	60 cm	100 cm

Govern d'Andorra

EAWS EUROPEAN AVALANCHE WARNING SERVICES

Aquest butlletí ha estat elaborat seguint les normes i recomanacions de l'**European Avalanche Warning Services**, del qual el **Servei meteorològic Nacional** n'és membre

Detailed information for protected areas

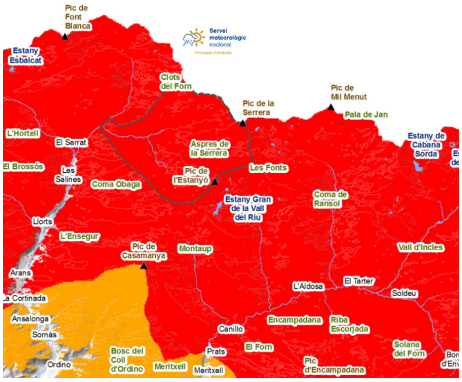

SORTENY

The wind has shaped the recent snow and will continue to do so for the next few hours. Due to the successive snowfalls that will mainly affect the north of Andorra and the wind that will still blow strongly at altitude, it is advised not to leave the forest boundary. In addition, windy and snowy conditions will create turbidity and poor visibility.

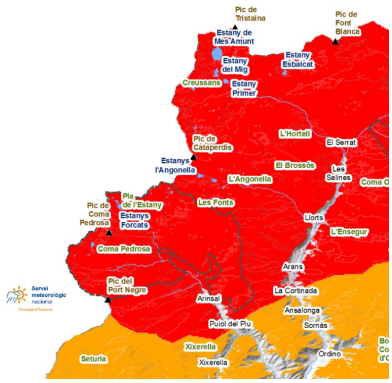

COMAPEDROSA

Winds are expected to remain strong aloft for the next few days and wind patches will continue to form, hidden under Wednesday's recent snow and difficult to identify. The situation is unfavorable for excursions.

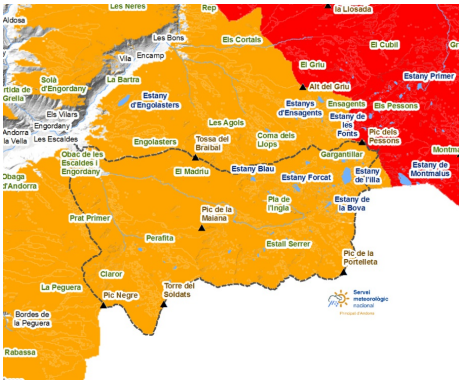

MADRIU-PERAFITA-CLAROR

The recent snow recedes quickly from the lower elevations of the valley, but at higher elevations the atmosphere is still wintry. The wind and poor visibility will make us give up on reaching the highest hills. We will have to drive very carefully, keeping a safe distance.

BUTLLETÍ DEL PERILL D'ALLAUS DEL PRINCIPAT D'ANDORRA

Servei meteorològic nacional
Principat d'Andorra

Thick snow in recent days (last 24 hours measured at 06:00 UTC)

	27/03/2026	28/03/2026	29/03/2026	30/03/2026
FEDA (Central)	0 cm	0 cm	0 cm	0 cm
Engolasters - FEDA	0 cm	7 cm	0 cm	0 cm
Ransol - FEDA	0 cm	18 cm	0 cm	3 cm
Fontverd	0 cm	17 cm	0 cm	0 cm
Setúria	0 cm	21 cm	0 cm	2 cm
Coll Ordino	0 cm	25 cm	0 cm	0 cm
Bony de les Neres	0 cm	20 cm	0 cm	0 cm
Grau Roig - FEDA	0 cm	16 cm	0 cm	1 cm
Caborreu	0 cm	23 cm	0 cm	5 cm
Sorteny	0 cm	16 cm	15 cm	7 cm
Coll Pa	6 cm	21 cm	0 cm	3 cm
Perafita	0 cm	0 cm	0 cm	0 cm
Tossa Espiolets	0 cm	34 cm	0 cm	4 cm
La Solana	1 cm	30 cm	9 cm	6 cm
Vall del Riu FEDA	0 cm	10 cm	0 cm	1 cm
Envalira Antenes	0 cm	27 cm	11 cm	2 cm
Les Fonts d'Arinsal	0 cm	4 cm	0 cm	7 cm