MINISTERO DELLA DIFESA

meteomont
Servizio Nazionale di previsione neve e valanghe

EAWS EUROPEAN AVALANCHE WARNING SERVICES

CARABINIERI

# GRAN SASSO OVEST

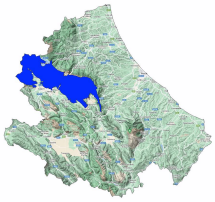

Avalanche Bulletin N. 379/2026 issued at 14:00 on 30/03/2026
48 hours validity. Next issue on 31/03/2026

**By the METEOMONT Service of the ARMA dei CARABINIERI ITALY**
**In collaboration with Air Force Meteorological Service**

## Situation on 30/03/2026

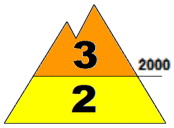


**DANGER PATTERNS: loose snow and wind.**




**DANGER PATTERNS: springtime situation.**

| Snow line (m.a.s.l.) | North | South |
|---|---|---|
| | 1000 - 1200 | 1200 - 1400 |

| Snow depth (cm) | ground snow | new snow | Elevation (m.a.s.l.) |
|---|---|---|---|
| | 013 | 000 | 1384 |
| | 000 | 000 | 1400 |

**REGISTERED AVALANCHES: No avalanches detected.**

## FORECAST 31/03/2026

# Danger level: CONSIDERABLE 3

## DANGER PATTERNS: loose snow and wind.

**SNOWPACK: Snowpack stability is poor on some points (areas) for All aspects, large avalanches are possible.**

## WARNING

Due to severe weather conditions forecast, do not attempt to practice outdoor activities beyond the maintained and marked tracks are not advised.

## EUROPEAN AVALANCHE WARNING SERVICE

## AVALANCHE PROBLEMS

According to EAWS standards Meteomont bulletin is a synoptic-scale system (regional scale). It shall be the user's responsibility to correlate the danger level evaluation of the bulletin with a detailed and expertise analysis of the zonal hazards (single slope), that could be markedly different. Meteorological forecast are issued at UTC (for Italy: in winter time UTC+1: in summer time UTC+2).

Bulletin is subjected to check processes through: the record of Observers and Avalanches and snow Experts data in C-Sifa; the validation by forecasters; the certification by Meteomont Section.

MINISTERO DELLA DIFESA

meteomont
Servizio Nazionale di previsione neve e valanghe

EAWS EUROPEAN AVALANCHE WARNING SERVICES

CARABINIERI

# GRAN SASSO OVEST

## WEATHER FORECAST FOR

| Elevation | | 31/03/2026 h6:00 | 31/03/2026 h12:00 | 31/03/2026 h18:00 |
|---|---|---|---|---|
| 1000 | Wind | 05 Knots from N-East | 07 Knots from N-East | 11 Knots from N-East |
| | Temperatures | -02 °C | -01 °C | -02 °C |
| | Wind chill | -5 °C | -5 °C | -8 °C |
| 2000 | Wind | 17 Knots from N-East | 23 Knots from N-East | 32 Knots from N-East |
| | Temperatures | -05 °C | -05 °C | -06 °C |
| | Wind chill | -13 °C | -14 °C | -17 °C |
| 3000 | Wind | 15 Knots from N-East | 20 Knots from N-East | 27 Knots from N-East |
| | Temperatures | -10 °C | -09 °C | -08 °C |
| | Wind chill | -19 °C | -19 °C | -19 °C |
| Freezing level | | 1200-1400 m. | 1300-1500 m. | 1100-1300 m. |
| Atmospheric phenomenon | | | | |
| Keys to sky condition | | | | |

## KEYS TO ATMOSPHERIC PHENOMENON

Absence of adverse weather phenomena · Fog · Mist · Light rain · Moderate rain · Heavy rain · Thunderstorm · Weak snowfall · Moderate snowfall · Heavy snowfall

## KEYS TO SKY CONDITION

Clear · Partly cloudy · Cloudy · Mostly cloudy · Overcast

## Weather and snow data recorded during field and out of field obsevations on 30/03/2026.

| Observation field | District | Elevation (m.a.s.l.) | Snow depth (cm) | Snowfall in previous 24 hours (cm) | Temp. Min (°C) | Temp. Max (°C) | General weather conditions |
|---|---|---|---|---|---|---|---|
| COLLE RUTO | Campotosto (AQ) | 1384 | 13 | 0 | -3 | +8 | Absence of rain or other precipitation |
| S. DONATO | Castel del Monte (AQ) | 1400 | 0 | 0 | -2 | +9 | Absence of rain or other precipitation |
| FOSSETTA DI PAGANICA * | L'Aquila (AQ) | 1640 | 6 | 0 | N.P. | N.P. | Absence of rain or other precipitation |
| VALLE FREDDA * | L'Aquila (AQ) | 1969 | 116 | 0 | N.P. | N.P. | Absence of rain or other precipitation |

(*) Out of field survey

**INFORMATION MEANS PREVENTION - SCAN QRCODE TO KNOW DAILY AVALANCHE DANGER LEVEL!**

IL CAPO DEL CENTRO NAZIONALE METEOMONT
(Ten. Col. RFI Emanuela Gini)
FIRMA AUTOGRAFA OMESSA AI SENSI
DELL'ART.3 DEL D.LGS N.39/1993

According to EAWS standards Meteomont bulletin is a synoptic-scale system (regional scale). It shall be the user's responsibility to correlate the danger level evaluation of the bulletin with a detailed and expertise analysis of the zonal hazards (single slope), that could be markedly different. Meteorological forecast are issued at UTC (for Italy: in winter time UTC+1: in summer time UTC+2).

Bulletin is subjected to check processes through: the record of Observers and Avalanches and snow Experts data in C-Sifa; the validation by forecasters; the certification by Meteomont Section.