MINISTERO DELLA DIFESA

meteomont
Servizio Nazionale di previsione neve e valanghe

EAWS EUROPEAN AVALANCHE WARNING SERVICES

CARABINIERI

## P.N. ABRUZZO

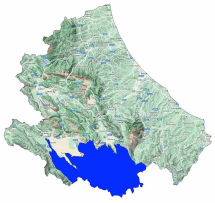

Avalanche Bulletin N. 346/2026 issued at 14:00 on 31/03/2026
48 hours validity. Next issue on 01/04/2026
**By the METEOMONT Service of the ARMA dei CARABINIERI ITALY**
**In collaboration with Air Force Meteorological Service**

## Situation on 31/03/2026

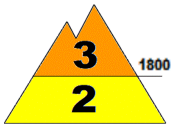


**DANGER PATTERNS: loose snow and wind.**

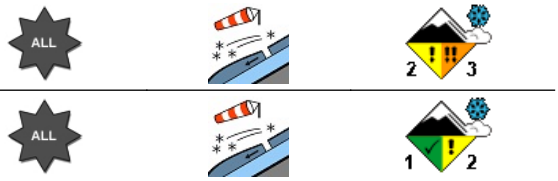


**DANGER PATTERNS: loose snow and wind.**

| Snow line (m.a.s.l.) | North | South |
|---|---|---|
| | 1000 - 1100 | 1100 - 1400 |

| Snow depth (cm) | ground snow | new snow | Elevation (m.a.s.l.) |
|---|---|---|---|
| | 024 | 013 | 1520 |
| | 024 | 024 | 1456 |

**REGISTERED AVALANCHES: No avalanches detected.**

## FORECAST 01/04/2026

# Danger level: CONSIDERABLE 3

## DANGER PATTERNS: loose snow and wind.

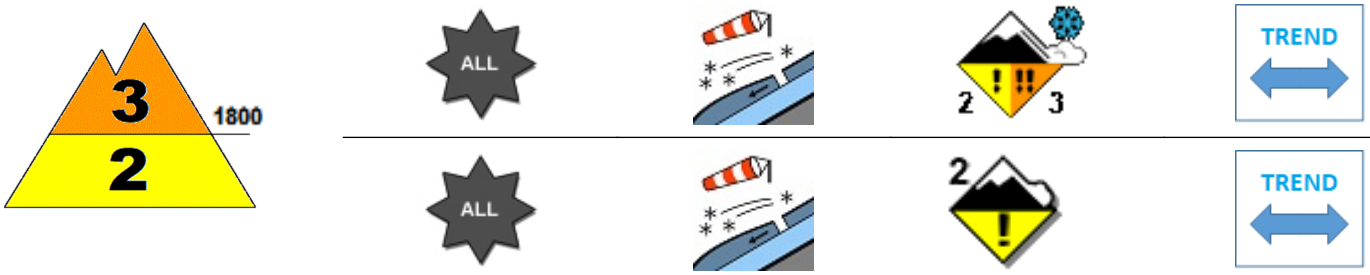


## DANGER PATTERNS: loose snow and wind.

**SNOWPACK: Snowpack stability is poor on some points (areas) above 1800 m.a.s.l. All aspects are critical. large avalanches are possible.**
**Snowpack stability is moderate on some points (areas) below 1800 m.a.s.l. All aspects are critical. Medium avalanches are possible.**

## WARNING

Due to severe weather conditions forecast, do not attempt to practice outdoor activities beyond the maintained and marked tracks are not advised.

## EUROPEAN AVALANCHE WARNING SERVICE

## AVALANCHE PROBLEMS

According to EAWS standards Meteomont bulletin is a synoptic-scale system (regional scale). It shall be the user's responsibility to correlate the danger level evaluation of the bulletin with a detailed and expertise analysis of the zonal hazards (single slope), that could be markedly different. Meteorological forecast are issued at UTC (for Italy: in winter time UTC+1: in summer time UTC+2).

Bulletin is subjected to check processes through: the record of Observers and Avalanches and snow Experts data in C-Sifa; the validation by forecasters; the certification by Meteomont Section.

# P.N. ABRUZZO

## WEATHER FORECAST FOR

| Elevation | | 01/04/2026 h6:00 | 01/04/2026 h12:00 | 01/04/2026 h18:00 |
|---|---|---|---|---|
| 1000 | Wind | 10 Knots from N-East | 09 Knots from N-East | 05 Knots from N-East |
| | Temperatures | -01 °C | +03 °C | +01 °C |
| | Wind chill | -6 °C | -1 °C | -2 °C |
| 2000 | Wind | 31 Knots from N-East | 25 Knots from N-East | 21 Knots from East |
| | Temperatures | -02 °C | -01 °C | -01 °C |
| | Wind chill | -11 °C | -9 °C | -9 °C |
| 3000 | Wind | 27 Knots from East | 22 Knots from N-East | 20 Knots from East |
| | Temperatures | -05 °C | -06 °C | -07 °C |
| | Wind chill | -15 °C | -15 °C | -16 °C |
| Freezing level | | 1300-1500 m. | 1600-1800 m. | 1700-1900 m. |
| Atmospheric phenomenon | | | | |
| Keys to sky condition | | | | |

## KEYS TO ATMOSPHERIC PHENOMENON

Absence of adverse weather phenomena · Fog · Mist · Light rain · Moderate rain · Heavy rain · Thunderstorm · Weak snowfall · Moderate snowfall · Heavy snowfall

## KEYS TO SKY CONDITION

Clear · Partly cloudy · Cloudy · Mostly cloudy · Overcast

## Weather and snow data recorded during field and out of field obsevations on 31/03/2026.

| Observation field | District | Elevation (m.a.s.l.) | Snow depth (cm) | Snowfall in previous 24 hours (cm) | Temp. Min (°C) | Temp. Max (°C) | General weather conditions |
|---|---|---|---|---|---|---|---|
| FORCA D'ACERO | Pescasseroli (AQ) | 1480 | 19 | 13 | -2 | +12 | Continuous light snow |
| VALLE GELATA | Pescocostanzo (AQ) | 1466 | 45 | 20 | -3 | +11 | Moderate snow |
| COPPO DELL'ORSO | Villetta Barrea (AQ) | 1520 | 24 | 13 | -4 | +6 | Moderate snow |
| PIANO AREMOGNA | Roccaraso (AQ) | 1456 | 24 | 24 | -2 | +7 | Moderate snow |
| MIMOLA | Scanno (AQ) | 1495 | 44 | 23 | -2 | +14 | Continuous light snow |

(*) Out of field survey

**INFORMATION MEANS PREVENTION - SCAN QRCODE TO KNOW DAILY AVALANCHE DANGER LEVEL!**

**IL CAPO DEL CENTRO NAZIONALE METEOMONT**
**(Ten. Col. RFI Emanuela Gini)**
**FIRMA AUTOGRAFA OMESSA AI SENSI**
**DELL'ART.3 DEL D.LGS N.39/1993**

According to EAWS standards Meteomont bulletin is a synoptic-scale system (regional scale). It shall be the user's responsibility to correlate the danger level evaluation of the bulletin with a detailed and expertise analysis of the zonal hazards (single slope), that could be markedly different. Meteorological forecast are issued at UTC (for Italy: in winter time UTC+1: in summer time UTC+2).

Bulletin is subjected to check processes through: the record of Observers and Avalanches and snow Experts data in C-Sifa; the validation by forecasters; the certification by Meteomont Section.