aineva.it

Thursday 02.04.2026

Published 01 04 2026, 17:00

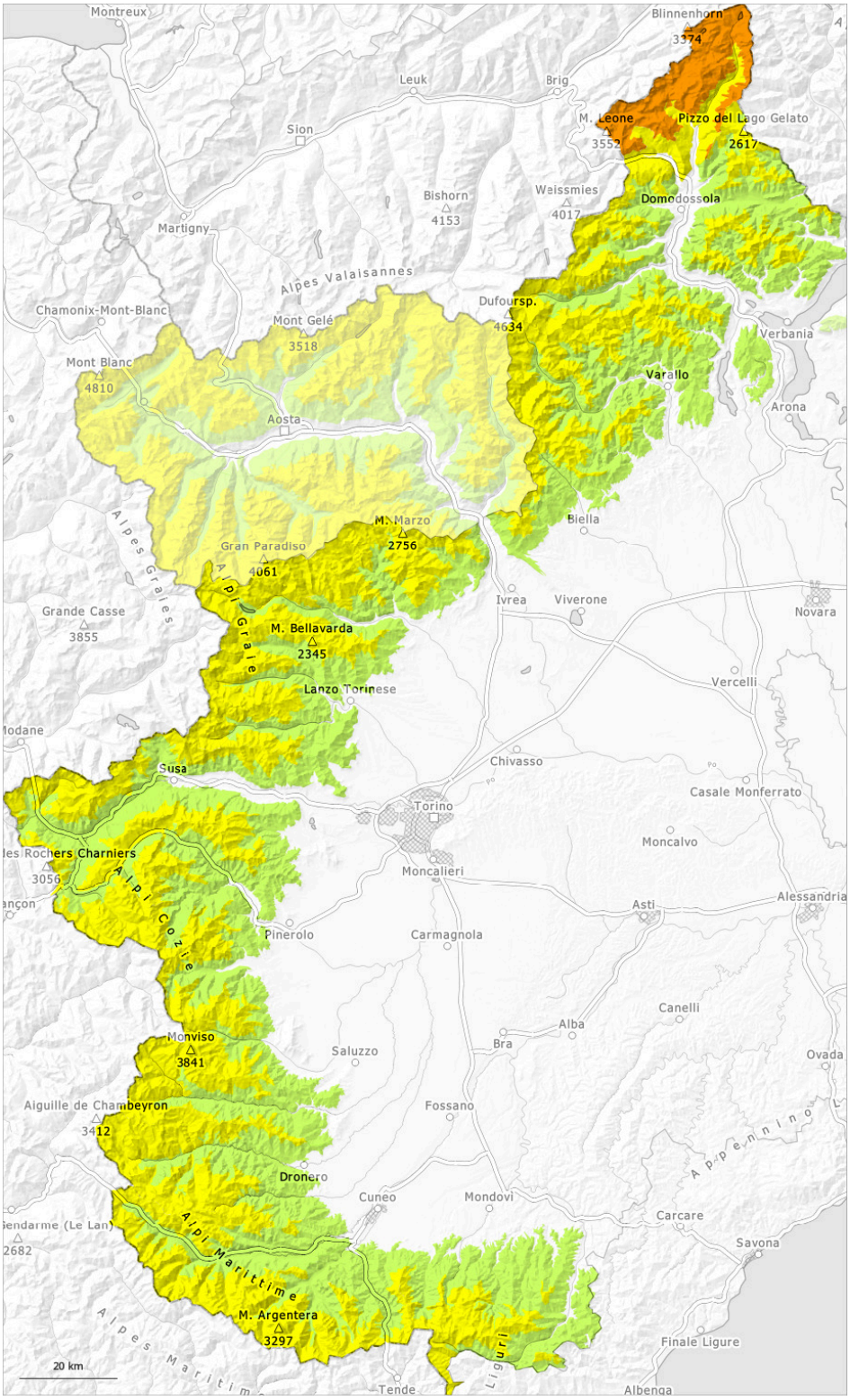

1	2	3	4	5
low	moderate	considerable	high	very high

Danger Level 3 - Considerable

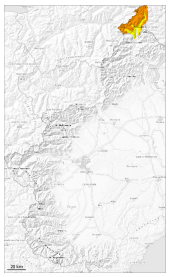

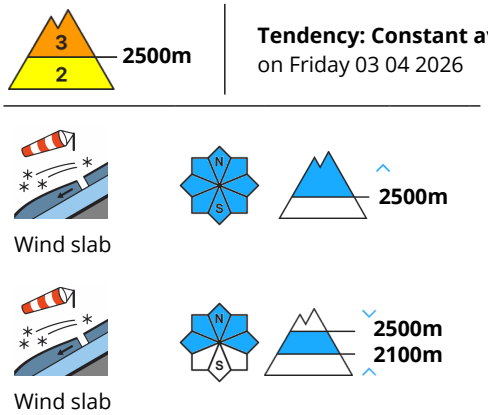

Wind slabs represent the main danger.

20 to 40 cm of snow has fallen since Sunday above approximately 1600 m. Since Monday the wind has been strong.

The clearly visible wind slabs of the last few days can be released by a single winter sport participant in particular on west to north to east facing aspects above the tree line. On wind-loaded slopes the avalanches can be triggered in the various wind slab layers and reach large size. In particular places where weaknesses exist in the old snowpack are unfavourable.

Caution is to be exercised in particular in gullies and bowls, and behind abrupt changes in the terrain at intermediate and high altitudes.

Snowpack

Danger patterns dp.6: cold, loose snow and wind

As a consequence of a strong northeasterly wind, sometimes deep wind slabs formed since Monday in particular in areas not adjacent to ridgelines.
In addition soft wind slabs formed in places that are protected from the wind.

Outgoing longwave radiation during the night was good. Low and intermediate altitudes sunny slopes: The surface of the snowpack has frozen to form a strong crust.

Adjacent to ridgelines in high Alpine regions snow depths vary greatly, depending on the infuence of the wind.

Danger Level 2 - Moderate

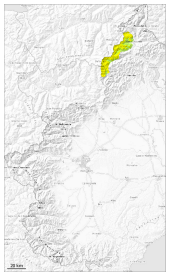

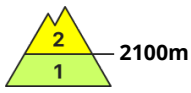

Tendency: Constant avalanche danger
on Friday 03 04 2026

Wind slab

2100m

Wind slabs represent the main danger.

10 to 20 cm of snow, and even more in some localities, has fallen since Sunday above approximately 1600 m. Since Monday the wind has been strong.

The clearly visible wind slabs of the last few days can be released by a single winter sport participant in some cases in particular on west to north to east facing aspects at high altitudes and in high Alpine regions. On wind-loaded slopes the avalanches can be triggered in the various wind slab layers and reach medium size. In particular places where weaknesses exist in the old snowpack are unfavourable.

Caution is to be exercised in particular in gullies and bowls, and behind abrupt changes in the terrain at intermediate and high altitudes.

Snowpack

Danger patterns dp.6: cold, loose snow and wind

As a consequence of a strong northeasterly wind, clearly visible wind slabs formed since Monday in all aspects.

Outgoing longwave radiation during the night was good. In particular low and intermediate altitudes sunny slopes: The surface of the snowpack has frozen to form a strong crust.

Adjacent to ridgelines in high Alpine regions snow depths vary greatly, depending on the infuence of the wind.

Danger Level 2 - Moderate

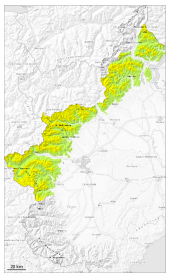

2100m

Tendency: Constant avalanche danger
on Friday 03 04 2026

Wind slab

2100m

Persistent weak layer

2200m

Wind slabs and weakly bonded old snow represent the main danger.

Some snow has fallen since Sunday in some regions. Since Monday the wind has been strong. The clearly visible wind slabs of the last few days can be released by a single winter sport participant in some cases at intermediate and high altitudes, especially at their margins.

Places where persistent weak layers exist in the old snowpack, sometimes consisting of buried surface hoar, are unfavourable. Especially on steep west, north and east facing slopes the avalanches can be triggered in the weakly bonded old snow and reach medium size. This applies in particular in case of a large load.

Snowpack

Danger patterns dp.6: cold, loose snow and wind

In some regions 5 to 20 cm of snow has fallen since Sunday above approximately 1700 m.

As a consequence of a strong northwesterly wind, hard wind slabs formed since Monday in particular in areas not adjacent to ridgelines.
Individual weak layers exist in the centre of the snowpack at intermediate and high altitudes.

Outgoing longwave radiation during the night was good. The surface of the snowpack has frozen to form a strong crust and will soften during the day, in particular on sunny slopes at low and intermediate altitudes.

Adjacent to ridgelines at high altitude snow depths vary greatly, depending on the infuence of the wind. Below the wind-eroded peaks, above around 1600 m, more snow is lying for the time of year.

Danger Level 2 - Moderate

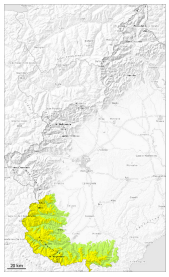

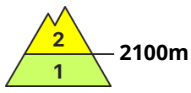

Tendency: Constant avalanche danger
on Friday 03 04 2026

Wind slab

2100m

The wind slabs are easy to recognise and can be released by large loads in particular.

The snowpack will be well bonded at low and intermediate altitudes.

Intermediate and high altitudes: As a consequence of new snow and a moderate to strong wind from northeasterly directions, clearly visible wind slabs formed in the last few days in gullies and bowls and behind abrupt changes in the terrain. These can be released, in particular by large loads and reach medium size.

In steep terrain there is a danger of falling on the icy crust.

Snowpack

Danger patterns dp.6: cold, loose snow and wind

Since Monday the wind has been strong over a wide area. In the vicinity of peaks snow depths vary greatly, depending on the infuence of the wind.

In particular sunny slopes low and intermediate altitudes: The surface of the snowpack has frozen to form a strong crust and will soften during the day.

In shady places that are protected from the wind high altitudes and the high Alpine regions: The upper section of the snowpack is dry and its surface has a crust that is not capable of bearing a load. In very isolated cases weak layers exist in the top section of the snowpack in particular on steep shady slopes.

Tendency

As a consequence of warming during the day and the solar radiation, the likelihood of natural moist avalanches being released will increase a little on very steep sunny slopes at low and intermediate altitudes.