MINISTERO DELLA DIFESA

meteomont
Servizio Nazionale di previsione neve e valanghe

EAWS EUROPEAN AVALANCHE WARNING SERVICES

CARABINIERI

P.N. ABRUZZO

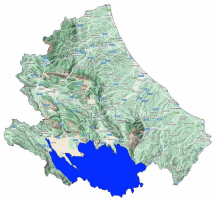

Avalanche Bulletin N. 346/2026 issued at 14:00 on 31/03/2026
48 hours validity. Next issue on 01/04/2026
By the METEOMONT Service of the ARMA dei CARABINIERI ITALY
In collaboration with Air Force Meteorological Service

Situation on 31/03/2026

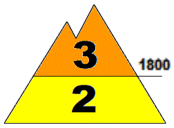

DANGER PATTERNS: loose snow and wind.

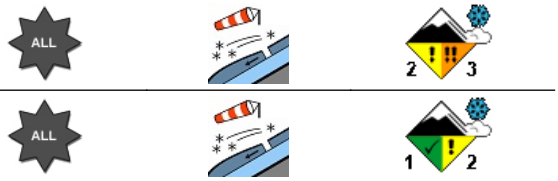

DANGER PATTERNS: loose snow and wind.

Snow line (m.a.s.l.)	North	South
	1000 - 1100	1100 - 1400

Snow depth (cm)	ground snow	new snow	Elevation (m.a.s.l.)
	024	013	1520
	024	024	1456

REGISTERED AVALANCHES: No avalanches detected.

FORECAST 01/04/2026

Danger level: CONSIDERABLE 3

DANGER PATTERNS: loose snow and wind.

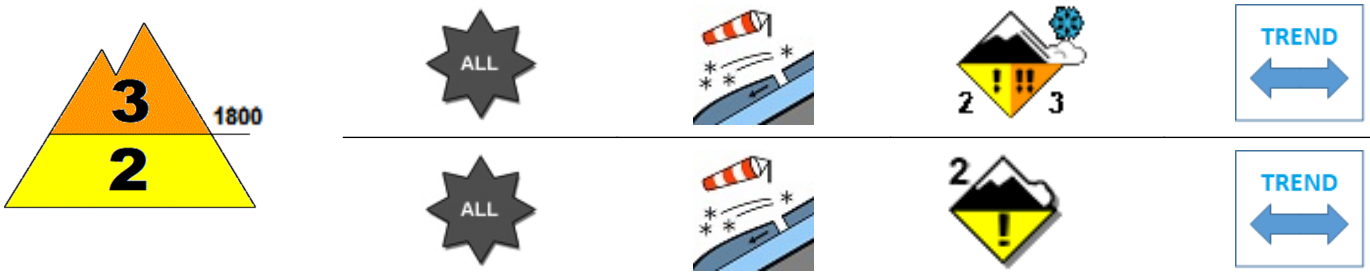

DANGER PATTERNS: loose snow and wind.

SNOWPACK: Snowpack stability is poor on some points (areas) above 1800 m.a.s.l. All aspects are critical. large avalanches are possible.
Snowpack stability is moderate on some points (areas) below 1800 m.a.s.l. All aspects are critical. Medium avalanches are possible.

WARNING

Due to severe weather conditions forecast, do not attempt to practice outdoor activities beyond the maintained and marked tracks are not advised.

EUROPEAN AVALANCHE WARNING SERVICE

AVALANCHE PROBLEMS

According to EAWS standards Meteomont bulletin is a synoptic-scale system (regional scale). It shall be the user's responsibility to correlate the danger level evaluation of the bulletin with a detailed and expertise analysis of the zonal hazards (single slope), that could be markedly different. Meteorological forecast are issued at UTC (for Italy: in winter time UTC+1: in summer time UTC+2).

Bulletin is subjected to check processes through: the record of Observers and Avalanches and snow Experts data in C-Sifa; the validation by forecasters; the certification by Meteomont Section.

P.N. ABRUZZO

WEATHER FORECAST FOR

Elevation		01/04/2026 h6:00	01/04/2026 h12:00	01/04/2026 h18:00
1000	Wind	10 Knots from N-East	09 Knots from N-East	05 Knots from N-East
	Temperatures	-01 °C	+03 °C	+01 °C
	Wind chill	-6 °C	-1 °C	-2 °C
2000	Wind	31 Knots from N-East	25 Knots from N-East	21 Knots from East
	Temperatures	-02 °C	-01 °C	-01 °C
	Wind chill	-11 °C	-9 °C	-9 °C
3000	Wind	27 Knots from East	22 Knots from N-East	20 Knots from East
	Temperatures	-05 °C	-06 °C	-07 °C
	Wind chill	-15 °C	-15 °C	-16 °C
Freezing level		1300-1500 m.	1600-1800 m.	1700-1900 m.
Atmospheric phenomenon				
Keys to sky condition				

KEYS TO ATMOSPHERIC PHENOMENON

Absence of adverse weather phenomena · Fog · Mist · Light rain · Moderate rain · Heavy rain · Thunderstorm · Weak snowfall · Moderate snowfall · Heavy snowfall

KEYS TO SKY CONDITION

Clear · Partly cloudy · Cloudy · Mostly cloudy · Overcast

Weather and snow data recorded during field and out of field obsevations on 31/03/2026.

Observation field	District	Elevation (m.a.s.l.)	Snow depth (cm)	Snowfall in previous 24 hours (cm)	Temp. Min (°C)	Temp. Max (°C)	General weather conditions
FORCA D'ACERO	Pescasseroli (AQ)	1480	19	13	-2	+12	Continuous light snow
VALLE GELATA	Pescocostanzo (AQ)	1466	45	20	-3	+11	Moderate snow
COPPO DELL'ORSO	Villetta Barrea (AQ)	1520	24	13	-4	+6	Moderate snow
PIANO AREMOGNA	Roccaraso (AQ)	1456	24	24	-2	+7	Moderate snow
MIMOLA	Scanno (AQ)	1495	44	23	-2	+14	Continuous light snow

(*) Out of field survey

INFORMATION MEANS PREVENTION - SCAN QRCODE TO KNOW DAILY AVALANCHE DANGER LEVEL!

IL CAPO DEL CENTRO NAZIONALE METEOMONT
(Ten. Col. RFI Emanuela Gini)
FIRMA AUTOGRAFA OMESSA AI SENSI
DELL'ART.3 DEL D.LGS N.39/1993

According to EAWS standards Meteomont bulletin is a synoptic-scale system (regional scale). It shall be the user's responsibility to correlate the danger level evaluation of the bulletin with a detailed and expertise analysis of the zonal hazards (single slope), that could be markedly different. Meteorological forecast are issued at UTC (for Italy: in winter time UTC+1: in summer time UTC+2).

Bulletin is subjected to check processes through: the record of Observers and Avalanches and snow Experts data in C-Sifa; the validation by forecasters; the certification by Meteomont Section.