MINISTERO DELLA DIFESA

meteomont
Servizio Nazionale di previsione neve e valanghe

EAWS EUROPEAN AVALANCHE WARNING SERVICES

CARABINIERI

P.N. ABRUZZO

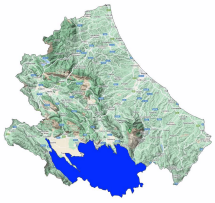

Avalanche Bulletin N. 347/2026 issued at 14:00 on 01/04/2026
48 hours validity. Next issue on 02/04/2026

By the METEOMONT Service of the ARMA dei CARABINIERI ITALY
In collaboration with Air Force Meteorological Service

Situation on 01/04/2026

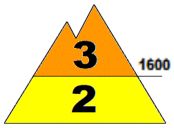

DANGER PATTERNS: loose snow and wind.

DANGER PATTERNS: loose snow and wind.

Snow line (m.a.s.l.)	North	South
	800 - 900	900 - 1100

Snow depth (cm)	ground snow	new snow	Elevation (m.a.s.l.)
	040	013	1495
	033	024	1456

REGISTERED AVALANCHES: No avalanches detected.

FORECAST 02/04/2026

Danger level: CONSIDERABLE 3

DANGER PATTERNS: loose snow and wind.



DANGER PATTERNS: rain on snow.

SNOWPACK: Snowpack stability is poor on some points (areas) above 1400 m.a.s.l. All aspects are critical. large avalanches are possible.
Snowpack stability is moderate on some points (areas) below 1400 m.a.s.l. All aspects are critical. Medium avalanches are possible.

WARNING

It is absolutely forbidden to practice outdoor activities beyond the maintained and marked tracks.

EUROPEAN AVALANCHE WARNING SERVICE

AVALANCHE PROBLEMS

According to EAWS standards Meteomont bulletin is a synoptic-scale system (regional scale). It shall be the user's responsibility to correlate the danger level evaluation of the bulletin with a detailed and expertise analysis of the zonal hazards (single slope), that could be markedly different. Meteorological forecast are issued at UTC (for Italy: in winter time UTC+1: in summer time UTC+2).

Bulletin is subjected to check processes through: the record of Observers and Avalanches and snow Experts data in C-Sifa; the validation by forecasters; the certification by Meteomont Section.

MINISTERO DELLA DIFESA

meteomont
Servizio Nazionale di previsione neve e valanghe

EAWS EUROPEAN AVALANCHE WARNING SERVICES

CARABINIERI

P.N. ABRUZZO

WEATHER FORECAST FOR

Elevation		02/04/2026 h6:00	02/04/2026 h12:00	02/04/2026 h18:00
1000	Wind	04 Knots from N-East	05 Knots from North	06 Knots from N-East
	Temperatures	+01 °C	+02 °C	+01 °C
	Wind chill	-1 °C	-1 °C	-2 °C
2000	Wind	16 Knots from N-East	16 Knots from N-East	17 Knots from N-East
	Temperatures	-03 °C	-02 °C	-03 °C
	Wind chill	-10 °C	-9 °C	-11 °C
3000	Wind	24 Knots from N-East	25 Knots from N-East	19 Knots from N-East
	Temperatures	-04 °C	-04 °C	-03 °C
	Wind chill	-13 °C	-13 °C	-11 °C
Freezing level		1500-1700 m.	1500-1700 m.	1500-1700 m.
Atmospheric phenomenon				—
Keys to sky condition				

KEYS TO ATMOSPHERIC PHENOMENON

— Absence of adverse weather phenomena
Fog
Mist
Light rain
Moderate rain
Heavy rain
Thunderstorm
Weak snowfall
Moderate snowfall
Heavy snowfall

KEYS TO SKY CONDITION

Clear
Partly cloudy
Cloudy
Mostly cloudy
Overcast

Weather and snow data recorded during field and out of field obsevations on 01/04/2026.

Observation field	District	Elevation (m.a.s.l.)	Snow depth (cm)	Snowfall in previous 24 hours (cm)	Temp. Min (°C)	Temp. Max (°C)	General weather conditions
FORCA D'ACERO	Pescasseroli (AQ)	1480	17	Snow traces	-1	+5	Moderate snow
VALLE GELATA	Pescocostanzo (AQ)	1466	64	32	-3	+2	Heavy snow
COPPO DELL'ORSO	Villetta Barrea (AQ)	1520	30	10	-4	-2	Heavy snow
PIANO AREMOGNA	Roccaraso (AQ)	1456	33	11	-1	0	Heavy snow
MIMOLA	Scanno (AQ)	1495	40	13	-3	+2	Heavy snow

(*) Out of field survey

INFORMATION MEANS PREVENTION - SCAN QRCODE TO KNOW DAILY AVALANCHE DANGER LEVEL!

IL CAPO DEL CENTRO NAZIONALE METEOMONT
(Ten. Col. RFI Emanuela Gini)
FIRMA AUTOGRAFA OMESSA AI SENSI
DELL'ART.3 DEL D.LGS N.39/1993

According to EAWS standards Meteomont bulletin is a synoptic-scale system (regional scale). It shall be the user's responsibility to correlate the danger level evaluation of the bulletin with a detailed and expertise analysis of the zonal hazards (single slope), that could be markedly different. Meteorological forecast are issued at UTC (for Italy: in winter time UTC+1: in summer time UTC+2).

Bulletin is subjected to check processes through: the record of Observers and Avalanches and snow Experts data in C-Sifa; the validation by forecasters; the certification by Meteomont Section.