MINISTERO DELLA DIFESA

meteomont
Servizio Nazionale di previsione neve e valanghe

EAWS EUROPEAN AVALANCHE WARNING SERVICES

CARABINIERI

## MONTI SIMBRUINI E META

Avalanche Bulletin N. 325/2026 issued at 14:00 on 31/03/2026
48 hours validity. Next issue on 01/04/2026

**By the METEOMONT Service of the ARMA dei CARABINIERI ITALY**
**In collaboration with Air Force Meteorological Service**

## Situation on 31/03/2026

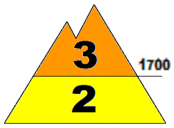


**DANGER PATTERNS: loose snow and wind.**

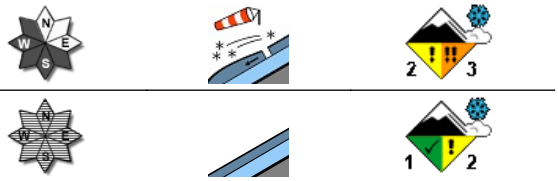


**DANGER PATTERNS: no distinct danger pattern.**

| Snow line (m.a.s.l.) | North | South |
|---|---|---|
| | 1500 | 1700 |

| Snow depth (cm) | ground snow | new snow | Elevation (m.a.s.l.) |
|---|---|---|---|
| | 094 | 000 | 1790 |
| | 006 | 001 | 1430 |

**REGISTERED AVALANCHES: No avalanches detected.**

## FORECAST 01/04/2026

# Danger level: CONSIDERABLE 3

## DANGER PATTERNS: loose snow and wind.




## DANGER PATTERNS: rain on snow.

**SNOWPACK: Snowpack stability is poor on some points (areas) above 1700 m.a.s.l. All are critical. large avalanches are possible.**
**Snowpack stability is moderate on some points (areas) below 1700 m.a.s.l. All aspects are critical. Medium avalanches are possible.**

## WARNING

Due to observed wind activity, avoid accumulation zones, bowls, gullies, irregular slopes and leeward slopes in general.

## EUROPEAN AVALANCHE WARNING SERVICE

5 - VERY HIGH | 4 - HIGH | 3 - CONSIDERABLE | 2 - MODERATE | 1 - LOW | NO SNOW | NO INFO

## AVALANCHE PROBLEMS

NEW SNOW | WIND - DRIFTED SNOW | PERSISTENT WEAK LAYERS | WET SNOW | GLIDING SNOW | SNOW CORNICES | NO EVIDENT AVALANCHE PROBLEM. | NO INFO

According to EAWS standards Meteomont bulletin is a synoptic-scale system (regional scale). It shall be the user's responsibility to correlate the danger level evaluation of the bulletin with a detailed and expertise analysis of the zonal hazards (single slope), that could be markedly different. Meteorological forecast are issued at UTC (for Italy: in winter time UTC+1: in summer time UTC+2).

Bulletin is subjected to check processes through: the record of Observers and Avalanches and snow Experts data in C-Sifa; the validation by forecasters; the certification by Meteomont Section.

# MONTI SIMBRUINI E META

## WEATHER FORECAST FOR

| Elevation | | 01/04/2026 h6:00 | 01/04/2026 h12:00 | 01/04/2026 h18:00 |
|---|---|---|---|---|
| 1000 | Wind | 12 Knots from N-East | 09 Knots from N-East | 06 Knots from N-East |
| | Temperatures | -01 °C | +01 °C | +02 °C |
| | Wind chill | -7 °C | -3 °C | -1 °C |
| 2000 | Wind | 31 Knots from N-East | 25 Knots from N-East | 17 Knots from N-East |
| | Temperatures | -05 °C | -03 °C | -02 °C |
| | Wind chill | -15 °C | -12 °C | -9 °C |
| 3000 | Wind | 23 Knots from East | 24 Knots from East | 21 Knots from East |
| | Temperatures | -04 °C | -05 °C | -06 °C |
| | Wind chill | -13 °C | -14 °C | -15 °C |
| Freezing level | | 1200-1400 m. | 1300-1500 m. | 1500-1700 m. |
| Atmospheric phenomenon | | | | |
| Keys to sky condition | | | | |

## KEYS TO ATMOSPHERIC PHENOMENON

Absence of adverse weather phenomena · Fog · Mist · Light rain · Moderate rain · Heavy rain · Thunderstorm · Weak snowfall · Moderate snowfall · Heavy snowfall

## KEYS TO SKY CONDITION

Clear · Partly cloudy · Cloudy · Mostly cloudy · Overcast

## Weather and snow data recorded during field and out of field obsevations on 31/03/2026.

| Observation field | District | Elevation (m.a.s.l.) | Snow depth (cm) | Snowfall in previous 24 hours (cm) | Temp. Min (°C) | Temp. Max (°C) | General weather conditions |
|---|---|---|---|---|---|---|---|
| PRATI DI MEZZO | Picinisco (FR) | 1430 | 6 | 1 | -2 | +0 | Intermittent light snow |
| CAMPO DELL'OSSO | Subiaco (RM) | 1550 | 0 | 0 | -2 | +6 | Absence of rain or other precipitation |
| C.STAFFI | Filettino (FR) | 1780 | 77 | 2 | -5 | +5 | Drifting snow (storm) on the station |
| CAMPO CATINO | Guarcino (FR) | 1790 | 94 | 0 | -5 | +5 | Drifting snow (storm) on the station |

(*) Out of field survey

**INFORMATION MEANS PREVENTION - SCAN QRCODE TO KNOW DAILY AVALANCHE DANGER LEVEL!**

**IL CAPO DEL CENTRO NAZIONALE METEOMONT**
**(Ten. Col. RFI Emanuela Gini)**
**FIRMA AUTOGRAFA OMESSA AI SENSI**
**DELL'ART.3 DEL D.LGS N.39/1993**

According to EAWS standards Meteomont bulletin is a synoptic-scale system (regional scale). It shall be the user's responsibility to correlate the danger level evaluation of the bulletin with a detailed and expertise analysis of the zonal hazards (single slope), that could be markedly different. Meteorological forecast are issued at UTC (for Italy: in winter time UTC+1: in summer time UTC+2).

Bulletin is subjected to check processes through: the record of Observers and Avalanches and snow Experts data in C-Sifa; the validation by forecasters; the certification by Meteomont Section.