MINISTERO DELLA DIFESA

meteomont
Servizio Nazionale di previsione neve e valanghe

EAWS EUROPEAN AVALANCHE WARNING SERVICES

CARABINIERI

# APPENNINO CAMPANO

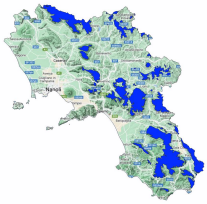

Avalanche Bulletin N. 280/2026 issued at 14:00 on 01/04/2026
48 hours validity. Next issue on 02/04/2026

**By the METEOMONT Service of the ARMA dei CARABINIERI ITALY**
**In collaboration with Air Force Meteorological Service**

## Situation on 01/04/2026

**DANGER PATTERNS: loose snow and wind.**

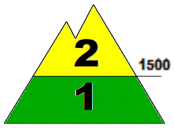





**DANGER PATTERNS: rain on snow.**

| Snow line (m.a.s.l.) | North | South |
|---|---|---|
| | 800 - 1000 | 1200 - 1400 |

| Snow depth (cm) | ground snow | new snow | Elevation (m.a.s.l.) |
|---|---|---|---|
| | 026 | 026 | 1000 |
| | 011 | 000 | 1460 |

**REGISTERED AVALANCHES: No avalanches detected.**

## FORECAST 02/04/2026

## Danger level: MODERATE 2

## DANGER PATTERNS: loose snow and wind.




## DANGER PATTERNS: rain on snow.

**SNOWPACK: Snowpack stability is moderate on some points (areas) above 1600 m.a.s.l. All North-facing slopes are critical. medium avalanches are possible.**
**Snowpack stability is moderate on some points (areas) below 1600 m.a.s.l. All aspects are critical. Small avalanches are possible.**

## WARNING

Due to snow cover conditions ,outdoor activities beyond the maintained and marked tracks require a good evaluation of local danger points.

## EUROPEAN AVALANCHE WARNING SERVICE

5 - VERY HIGH | 4 - HIGH | 3 - CONSIDERABLE | 2 - MODERATE | 1 - LOW | NO SNOW | NO INFO

## AVALANCHE PROBLEMS

NEW SNOW | WIND - DRIFTED SNOW | PERSISTENT WEAK LAYERS | WET SNOW | GLIDING SNOW | SNOW CORNICES | NO EVIDENT AVALANCHE PROBLEM. | NO INFO

According to EAWS standards Meteomont bulletin is a synoptic-scale system (regional scale). It shall be the user's responsibility to correlate the danger level evaluation of the bulletin with a detailed and expertise analysis of the zonal hazards (single slope), that could be markedly different. Meteorological forecast are issued at UTC (for Italy: in winter time UTC+1: in summer time UTC+2).

Bulletin is subjected to check processes through: the record of Observers and Avalanches and snow Experts data in C-Sifa; the validation by forecasters; the certification by Meteomont Section.

# APPENNINO CAMPANO

## WEATHER FORECAST FOR

| Elevation | | 02/04/2026 h6:00 | 02/04/2026 h12:00 | 02/04/2026 h18:00 |
|---|---|---|---|---|
| 1000 | Wind | 12 Knots from N-East | 12 Knots from N-East | 14 Knots from N-East |
| | Temperatures | +03 °C | +03 °C | +02 °C |
| | Wind chill | -2 °C | -2 °C | -3 °C |
| 2000 | Wind | 24 Knots from N-East | 24 Knots from N-East | 25 Knots from N-East |
| | Temperatures | -02 °C | -02 °C | +00 °C |
| | Wind chill | -10 °C | -10 °C | -8 °C |
| 3000 | Wind | 25 Knots from N-East | 22 Knots from N-East | 22 Knots from N-East |
| | Temperatures | -05 °C | -05 °C | -03 °C |
| | Wind chill | -15 °C | -14 °C | -11 °C |
| Freezing level | | 1600-1800 m. | 1600-1800 m. | 1500-1700 m. |
| Atmospheric phenomenon | | | | — |
| Keys to sky condition | | | | |

## KEYS TO ATMOSPHERIC PHENOMENON

— Absence of adverse weather phenomena
Fog
Mist
Light rain
Moderate rain
Heavy rain
Thunderstorm
Weak snowfall
Moderate snowfall
Heavy snowfall

## KEYS TO SKY CONDITION

Clear
Partly cloudy
Cloudy
Mostly cloudy
Overcast

## Weather and snow data recorded during field and out of field obsevations on 01/04/2026.

| Observation field | District | Elevation (m.a.s.l.) | Snow depth (cm) | Snowfall in previous 24 hours (cm) | Temp. Min (°C) | Temp. Max (°C) | General weather conditions |
|---|---|---|---|---|---|---|---|
| DIFESA SAN MATTEO | San Marco in Lamis (FG) | 880 | 0 | 0 | +5 | +8 | Heavy rain |
| LACENO | Bagnoli Irpino (AV) | 1460 | 11 | 0 | -2 | +4 | Absence of rain or other precipitation |
| LAGO PESCARA | Biccari (FG) | 920 | 0 | 0 | +2 | +8 | Heavy rain |
| SELLA CESSUTA | Montesano sulla Marcellana (SA) | 1042 | 0 | 0 | +3 | +8 | Absence of rain or other precipitation |
| LOC. MIRALAGO * | San Gregorio Matese (CE) | 1000 | 26 | 26 | N.P. | N.P. | Heavy snow |

(*) Out of field survey

**INFORMATION MEANS PREVENTION - SCAN QRCODE TO KNOW DAILY AVALANCHE DANGER LEVEL!**

**IL CAPO DEL CENTRO NAZIONALE METEOMONT**
**(Ten. Col. RFI Emanuela Gini)**
**FIRMA AUTOGRAFA OMESSA AI SENSI**
**DELL'ART.3 DEL D.LGS N.39/1993**

According to EAWS standards Meteomont bulletin is a synoptic-scale system (regional scale). It shall be the user's responsibility to correlate the danger level evaluation of the bulletin with a detailed and expertise analysis of the zonal hazards (single slope), that could be markedly different. Meteorological forecast are issued at UTC (for Italy: in winter time UTC+1: in summer time UTC+2).

Bulletin is subjected to check processes through: the record of Observers and Avalanches and snow Experts data in C-Sifa; the validation by forecasters; the certification by Meteomont Section.