BUTLLETÍ DEL PERILL D'ALLAUS DEL PRINCIPAT D'ANDORRA

Servei meteorològic nacional
Principat d'Andorra

Prepared on 02/04/2026 16:00
Next update 03/04/2026 at 16 am

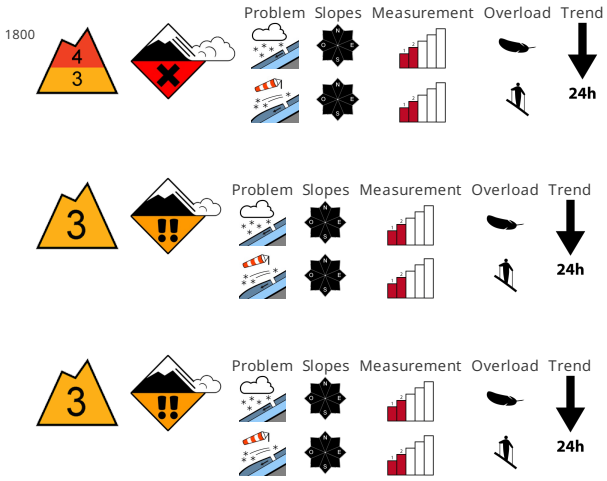

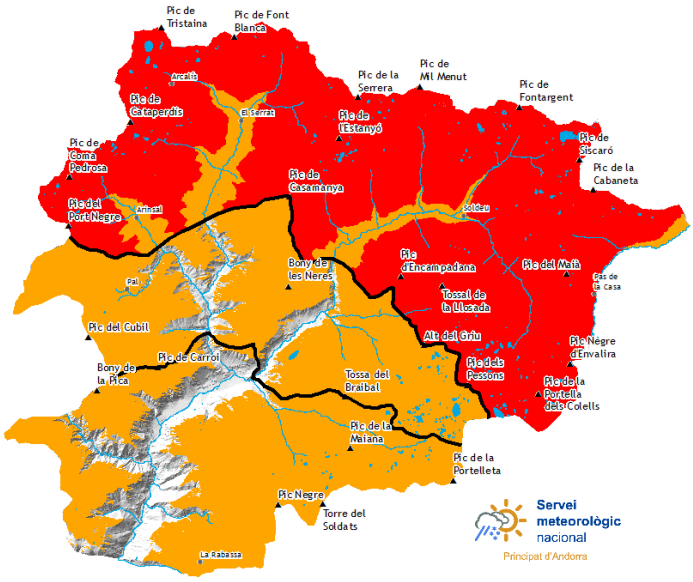

SNOW QUALITY

Gradual decrease in danger of dry avalanches as a consequence of the ceasing of precipitation. The sometimes strong wind has transported the fresh and old snow significantly. The starting zones have been replenished. A very large quantity of fresh snow and the wind slabs can be released easily or naturally. Mostly the avalanches are medium-sized. The avalanche prone locations are quite prevalent and are difficult to recognise. The backcountry touring conditions are unfavourable. It is inadvisable to engage in winter sport activities outside marked and open pistes. Restraint is advisable on this first sunny day after a long period of poor weather.

STABILITY OF THE SNOW MANTLE

A lot of snow has fallen since Tuesday in particular in the north. The fresh wind slabs are lying on soft layers. The snowpack remains subject to considerable local variations. Adjacent to ridgelines snow depths vary greatly, depending on the infuence of the wind. As a consequence of rising temperatures solar radiation the snowpack will settle during the next few days.

OFF-PISTE SNOW COVER THICKNESSES

North zone		Snow thickness		
Snowpack		1500m	2000m	2500m
N	1300 m	20 cm	180 cm	250 cm
S	1300 m	10 cm	150 cm	200 cm

Center area		Snow thickness		
Snowpack		1500m	2000m	2500m
N	1300 m	10 cm	150 cm	200 cm
S	1500 m	5 cm	100 cm	150 cm

South zone		Snow thickness		
Snowpack		1500m	2000m	2500m
N	1300 m	10 cm	120 cm	160 cm
S	1500 m	5 cm	60 cm	120 cm

Govern d'Andorra

EAWS
EUROPEAN AVALANCHE WARNING SERVICES

Aquest butlletí ha estat elaborat seguint les normes i recomanacions de l'**European Avalanche Warning Services**, del qual el **Servei meteorològic Nacional** n'és membre

BUTLLETÍ DEL PERILL D'ALLAUS DEL PRINCIPAT D'ANDORRA

Servei meteorològic nacional
Principat d'Andorra

Detailed information for protected areas

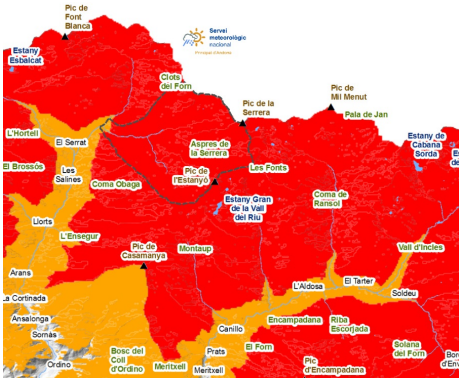

SORTENY

The wind has shaped the recent snow and will continue to do so for the next few hours. Due to the successive snowfalls that have mainly affected the north of Andorra, we are experiencing wintry conditions. In the interior of the forest, the possibility of triggering avalanches is low, but on the vertical walls of the cirques, plate avalanches can be triggered.

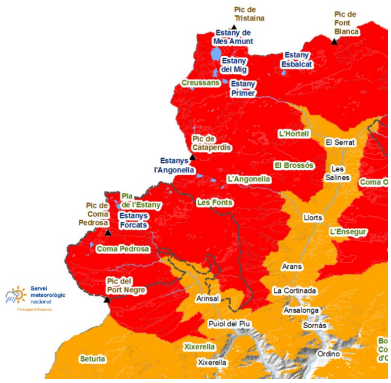

COMAPEDROSA

Winds are expected to remain strong aloft for the next few hours and wind patches will continue to form, hidden under the recent snow of Wednesday and Thursday and difficult to identify. The situation is unfavorable for excursions.

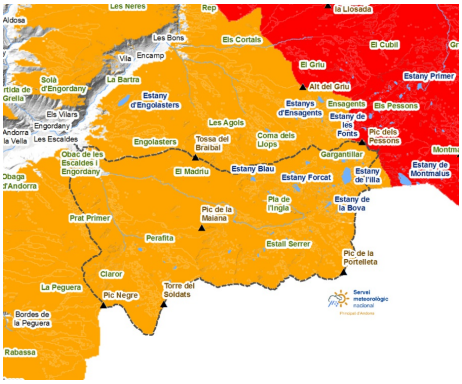

MADRIU-PERAFITA-CLAROR

The recent snow recedes quickly from the lower elevations of the valley, but at higher elevations the atmosphere is still wintry. We will have to drive very carefully, keeping a safe distance.

Govern d'Andorra

EAWS
EUROPEAN AVALANCHE WARNING SERVICES

Aquest butlletí ha estat elaborat seguint les normes i recomanacions de l'**European Avalanche Warning Services**, del qual el **Servei meteorològic Nacional** n'és membre

BUTLLETÍ DEL PERILL D'ALLAUS DEL PRINCIPAT D'ANDORRA

Servei meteorològic nacional
Principat d'Andorra

Thick snow in recent days (last 24 hours measured at 06:00 UTC)

	29/03/2026	30/03/2026	31/03/2026	01/04/2026
FEDA (Central)	0 cm	0 cm	0 cm	0 cm
Engolasters - FEDA	0 cm	0 cm	0 cm	7 cm
Bony de les Neres	0 cm	0 cm	3 cm	22 cm
Les Fonts d'Arinsal	0 cm	7 cm	1 cm	22 cm
Perafita	0 cm	0 cm	6 cm	17 cm
Tossa Espiolets	0 cm	4 cm	0 cm	12 cm
Grau Roig - FEDA	0 cm	1 cm	7 cm	34 cm
Fontverd	0 cm	0 cm	0 cm	27 cm
Coll Ordino	0 cm	0 cm	4 cm	18 cm
Ransol - FEDA	0 cm	3 cm	6 cm	20 cm
Setúria	0 cm	2 cm	0 cm	12 cm
Caborreu	0 cm	5 cm	1 cm	21 cm
La Solana	9 cm	6 cm	11 cm	44 cm
Coll Pa	0 cm	3 cm	7 cm	8 cm
Vall del Riu FEDA	0 cm	1 cm	5 cm	48 cm