MINISTERO DELLA DIFESA

meteomont Servizio Nazionale di previsione neve e valanghe

EAWS EUROPEAN AVALANCHE WARNING SERVICES

CARABINIERI

In collaborazione con: arpav

# DOLOMITI SETTENTRIONALI

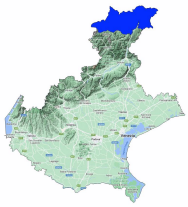

Avalanche Bulletin N. 392/2026 issued at 14:00 on 02/04/2026
48 hours validity. Next issue on 03/04/2026

**By the METEOMONT Service of the ARMA dei CARABINIERI ITALY**
**In collaboration with Air Force Meteorological Service**

## Situation on 02/04/2026

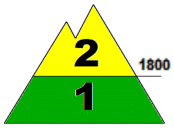


**DANGER PATTERNS: loose snow and wind.**




**DANGER PATTERNS: shallow snow next to deep snow.**

| Snow line (m.a.s.l.) | North | South |
|---|---|---|
| | 1200 - 1600 | 1600 - 2000 |

| Snow depth (cm) | ground snow | new snow | Elevation (m.a.s.l.) |
|---|---|---|---|
| | 95 | 000 | 2100 |
| | 44 | 000 | 1759 |

**REGISTERED AVALANCHES: No avalanches detected.**

## FORECAST 03/04/2026

# Danger level: MODERATE 2

## DANGER PATTERNS: loose snow and wind.

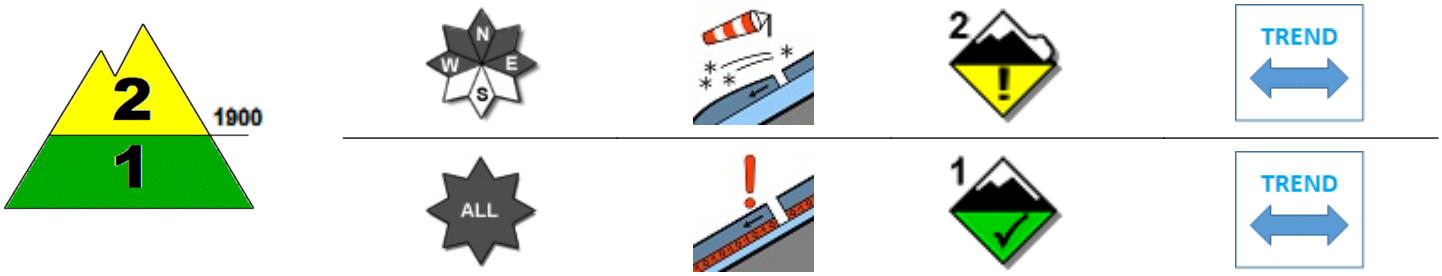


## DANGER PATTERNS: shallow snow next to deep snow.

**SNOWPACK: Snowpack stability is poor on few points (areas) above 1900 m.a.s.l. All From west to east-facing slopes are critical. medium avalanches are possible.**
**Snowpack stability is moderate on few points (areas) below 1900 m.a.s.l. All aspects are critical. Medium avalanches are possible.**

## WARNING

Due to major snow drift accumulations in bowls,gullies, changes of slope and in general all leeward slopes, route choice and a detailed evaluation of snowpack stability is required.

## EUROPEAN AVALANCHE WARNING SERVICE

## AVALANCHE PROBLEMS

According to EAWS standards Meteomont bulletin is a synoptic-scale system (regional scale). It shall be the user's responsibility to correlate the danger level evaluation of the bulletin with a detailed and expertise analysis of the zonal hazards (single slope), that could be markedly different. Meteorological forecast are issued at UTC (for Italy: in winter time UTC+1: in summer time UTC+2).

Bulletin is subjected to check processes through: the record of Observers and Avalanches and snow Experts data in C-Sifa; the validation by forecasters; the certification by Meteomont Section.

MINISTERO DELLA DIFESA

meteomont
Servizio Nazionale di previsione neve e valanghe

EAWS EUROPEAN AVALANCHE WARNING SERVICES

CARABINIERI

In collaborazione con: arpav

# DOLOMITI SETTENTRIONALI

## WEATHER FORECAST FOR

| Elevation | | 03/04/2026 h6:00 | 03/04/2026 h12:00 | 03/04/2026 h18:00 |
|---|---|---|---|---|
| 1000 | Wind | 03 Knots from North | 02 Knots from North | 02 Knots from North |
| | Temperatures | -03 °C | +01 °C | -01 °C |
| | Wind chill | -5 °C | 1 °C | -1 °C |
| 2000 | Wind | 05 Knots from North | 04 Knots from North | 04 Knots from North |
| | Temperatures | -03 °C | +00 °C | -01 °C |
| | Wind chill | -7 °C | -3 °C | -4 °C |
| 3000 | Wind | 03 Knots from N-East | 03 Knots from North | 08 Knots from North |
| | Temperatures | -08 °C | -07 °C | -07 °C |
| | Wind chill | -11 °C | -10 °C | -13 °C |
| Freezing level | | 1200-1400 m. | 1900-2100 m. | 1500-1700 m. |
| Atmospheric phenomenon | | — | — | — |
| Keys to sky condition | | | | |

## KEYS TO ATMOSPHERIC PHENOMENON

— Absence of adverse weather phenomena
Fog
Mist
Light rain
Moderate rain
Heavy rain
Thunderstorm
Weak snowfall
Moderate snowfall
Heavy snowfall

## KEYS TO SKY CONDITION

Clear
Partly cloudy
Cloudy
Mostly cloudy
Overcast

## Weather and snow data recorded during field and out of field obsevations on 02/04/2026.

| Observation field | District | Elevation (m.a.s.l.) | Snow depth (cm) | Snowfall in previous 24 hours (cm) | Temp. Min (°C) | Temp. Max (°C) | General weather conditions |
|---|---|---|---|---|---|---|---|
| MISURINA | Auronzo di Cadore (BL) | 1759 | 44 | 0 | -8 | +12 | Absence of rain or other precipitation |
| MONTE PELMO * | Selva di Cadore (BL) | 3161 | 90 | 0 | N.P. | N.P. | Absence of rain or other precipitation |

(*) Out of field survey

**INFORMATION MEANS PREVENTION - SCAN QRCODE TO KNOW DAILY AVALANCHE DANGER LEVEL!**

**IL CAPO DEL CENTRO NAZIONALE METEOMONT**
**(Ten. Col. RFI Emanuela Gini)**
**FIRMA AUTOGRAFA OMESSA AI SENSI**
**DELL'ART.3 DEL D.LGS N.39/1993**

According to EAWS standards Meteomont bulletin is a synoptic-scale system (regional scale). It shall be the user's responsibility to correlate the danger level evaluation of the bulletin with a detailed and expertise analysis of the zonal hazards (single slope), that could be markedly different. Meteorological forecast are issued at UTC (for Italy: in winter time UTC+1: in summer time UTC+2).

Bulletin is subjected to check processes through: the record of Observers and Avalanches and snow Experts data in C-Sifa; the validation by forecasters; the certification by Meteomont Section.