ALPI RETICHE

Avalanche Bulletin N. 394/2026 issued at 14:00 on 02/04/2026
48 hours validity. Next issue on 03/04/2026

By the METEOMONT Service of the ARMA dei CARABINIERI ITALY
In collaboration with Air Force Meteorological Service

Situation on 02/04/2026

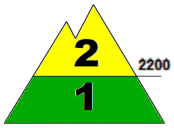

DANGER PATTERNS: loose snow and wind.



DANGER PATTERNS: shallow snow next to deep snow.

Snow line (m.a.s.l.)	North	South
	1400 - 1700	2100 - 2500

Snow depth (cm)	ground snow	new snow	Elevation (m.a.s.l.)
	65	0	2582
	48	0	2050

REGISTERED AVALANCHES: No avalanches detected.

FORECAST 03/04/2026

Danger level: MODERATE 2

DANGER PATTERNS: shallow snow next to deep snow.

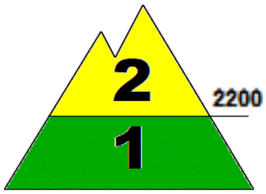

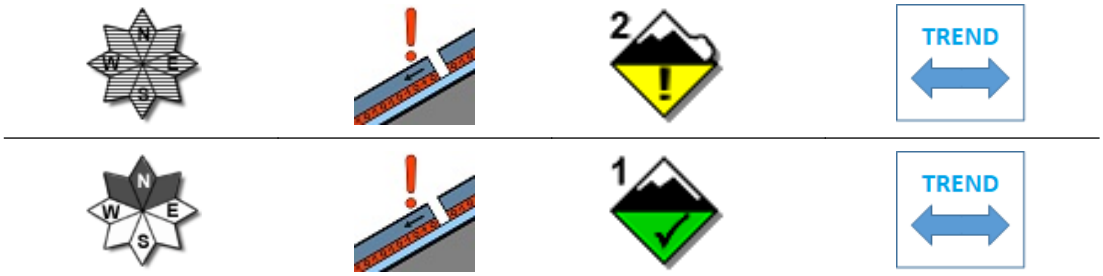

DANGER PATTERNS: shallow snow next to deep snow.

SNOWPACK: Snowpack stability is poor on some points (areas) above 2200 m.a.s.l. All Isolated slopes are critical. medium avalanches are possible.
Snowpack stability is good on some points (areas) below 2200 m.a.s.l. All North-facing slopes are critical. Small avalanches are possible.

WARNING

Due to observed wind activity, avoid accumulation zones, bowls, gullies, irregular slopes and leeward slopes in general.

EUROPEAN AVALANCHE WARNING SERVICE

AVALANCHE PROBLEMS

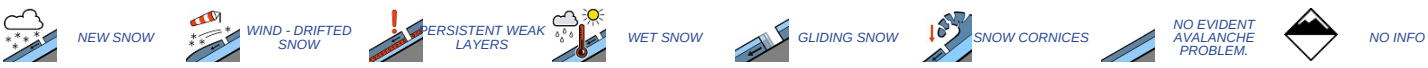

According to EAWS standards Meteomont bulletin is a synoptic-scale system (regional scale). It shall be the user's responsibility to correlate the danger level evaluation of the bulletin with a detailed and expertise analysis of the zonal hazards (single slope), that could be markedly different. Meteorological forecast are issued at UTC (for Italy: in winter time UTC+1: in summer time UTC+2).

Bulletin is subjected to check processes through: the record of Observers and Avalanches and snow Experts data in C-Sifa; the validation by forecasters; the certification by Meteomont Section.

ALPI RETICHE

WEATHER FORECAST FOR

Elevation		03/04/2026 h6:00	03/04/2026 h12:00	03/04/2026 h18:00
1000	Wind	02 Knots from North	02 Knots from N-West	03 Knots from North
	Temperatures	-03 °C	+00 °C	+00 °C
	Wind chill	-3 °C	0 °C	-2 °C
2000	Wind	02 Knots from North	02 Knots from N-West	03 Knots from North
	Temperatures	-03 °C	+00 °C	+00 °C
	Wind chill	-3 °C	0 °C	-2 °C
3000	Wind	05 Knots from North	04 Knots from North	05 Knots from North
	Temperatures	-07 °C	-05 °C	-05 °C
	Wind chill	-11 °C	-8 °C	-9 °C
Freezing level		1400-1600 m.	2000-2200 m.	2000-2200 m.
Atmospheric phenomenon		—	—	—
Keys to sky condition				

KEYS TO ATMOSPHERIC PHENOMENON

— Absence of adverse weather phenomena
Fog
Mist
Light rain
Moderate rain
Heavy rain
Thunderstorm
Weak snowfall
Moderate snowfall
Heavy snowfall

KEYS TO SKY CONDITION

Clear
Partly cloudy
Cloudy
Mostly cloudy
Overcast

Weather and snow data recorded during field and out of field obsevations on 02/04/2026.

Observation field	District	Elevation (m.a.s.l.)	Snow depth (cm)	Snowfall in previous 24 hours (cm)	Temp. Min (°C)	Temp. Max (°C)	General weather conditions
BORMIO2000-LECCIONA	Valdisotto (SO)	2050	48	0	N.P.	N.P.	Absence of rain or other precipitation
VALAR	Valdidentro (SO)	1930	66	0	-6	+1	Absence of rain or other precipitation
DOSSO DEL VALLONE	Valfurva (SO)	2582	65	0	-15	-3	Absence of rain or other precipitation
ANGELO *	Ponte di Legno (BS)	2120	85	0	N.P.	N.P.	Absence of rain or other precipitation

(*) Out of field survey

INFORMATION MEANS PREVENTION - SCAN QRCODE TO KNOW DAILY AVALANCHE DANGER LEVEL!

IL CAPO DEL CENTRO NAZIONALE METEOMONT
(Ten. Col. RFI Emanuela Gini)
FIRMA AUTOGRAFA OMESSA AI SENSI
DELL'ART.3 DEL D.LGS N.39/1993

According to EAWS standards Meteomont bulletin is a synoptic-scale system (regional scale). It shall be the user's responsibility to correlate the danger level evaluation of the bulletin with a detailed and expertise analysis of the zonal hazards (single slope), that could be markedly different. Meteorological forecast are issued at UTC (for Italy: in winter time UTC+1: in summer time UTC+2).

Bulletin is subjected to check processes through: the record of Observers and Avalanches and snow Experts data in C-Sifa; the validation by forecasters; the certification by Meteomont Section.