MINISTERO DELLA DIFESA

meteomont
Servizio Nazionale di previsione neve e valanghe

EAWS EUROPEAN AVALANCHE WARNING SERVICES

CARABINIERI

## P.N. ABRUZZO

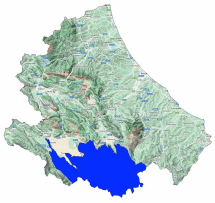

Avalanche Bulletin N. 347/2026 issued at 14:00 on 01/04/2026
48 hours validity. Next issue on 02/04/2026

**By the METEOMONT Service of the ARMA dei CARABINIERI ITALY**
**In collaboration with Air Force Meteorological Service**

## Situation on 01/04/2026

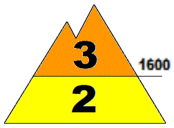


**DANGER PATTERNS: loose snow and wind.**

**DANGER PATTERNS: loose snow and wind.**

| Snow line (m.a.s.l.) | North | South |
|---|---|---|
| | 800 - 900 | 900 - 1100 |

| Snow depth (cm) | ground snow | new snow | Elevation (m.a.s.l.) |
|---|---|---|---|
| | 040 | 013 | 1495 |
| | 033 | 024 | 1456 |

**REGISTERED AVALANCHES: No avalanches detected.**

## FORECAST 02/04/2026

# Danger level: CONSIDERABLE 3

## DANGER PATTERNS: loose snow and wind.




## DANGER PATTERNS: rain on snow.

**SNOWPACK: Snowpack stability is poor on some points (areas) above 1400 m.a.s.l. All aspects are critical. large avalanches are possible.**
**Snowpack stability is moderate on some points (areas) below 1400 m.a.s.l. All aspects are critical. Medium avalanches are possible.**

## WARNING

It is absolutely forbidden to practice outdoor activities beyond the maintained and marked tracks.

## EUROPEAN AVALANCHE WARNING SERVICE

## AVALANCHE PROBLEMS

According to EAWS standards Meteomont bulletin is a synoptic-scale system (regional scale). It shall be the user's responsibility to correlate the danger level evaluation of the bulletin with a detailed and expertise analysis of the zonal hazards (single slope), that could be markedly different. Meteorological forecast are issued at UTC (for Italy: in winter time UTC+1: in summer time UTC+2).

Bulletin is subjected to check processes through: the record of Observers and Avalanches and snow Experts data in C-Sifa; the validation by forecasters; the certification by Meteomont Section.

MINISTERO DELLA DIFESA

meteomont
Servizio Nazionale di previsione neve e valanghe

EAWS EUROPEAN AVALANCHE WARNING SERVICES

CARABINIERI

# P.N. ABRUZZO

## WEATHER FORECAST FOR

| Elevation | | 02/04/2026 h6:00 | 02/04/2026 h12:00 | 02/04/2026 h18:00 |
|---|---|---|---|---|
| 1000 | Wind | 04 Knots from N-East | 05 Knots from North | 06 Knots from N-East |
| | Temperatures | +01 °C | +02 °C | +01 °C |
| | Wind chill | -1 °C | -1 °C | -2 °C |
| 2000 | Wind | 16 Knots from N-East | 16 Knots from N-East | 17 Knots from N-East |
| | Temperatures | -03 °C | -02 °C | -03 °C |
| | Wind chill | -10 °C | -9 °C | -11 °C |
| 3000 | Wind | 24 Knots from N-East | 25 Knots from N-East | 19 Knots from N-East |
| | Temperatures | -04 °C | -04 °C | -03 °C |
| | Wind chill | -13 °C | -13 °C | -11 °C |
| Freezing level | | 1500-1700 m. | 1500-1700 m. | 1500-1700 m. |
| Atmospheric phenomenon | | | | — |
| Keys to sky condition | | | | |

## KEYS TO ATMOSPHERIC PHENOMENON

— Absence of adverse weather phenomena
Fog
Mist
Light rain
Moderate rain
Heavy rain
Thunderstorm
Weak snowfall
Moderate snowfall
Heavy snowfall

## KEYS TO SKY CONDITION

Clear
Partly cloudy
Cloudy
Mostly cloudy
Overcast

## Weather and snow data recorded during field and out of field obsevations on 01/04/2026.

| Observation field | District | Elevation (m.a.s.l.) | Snow depth (cm) | Snowfall in previous 24 hours (cm) | Temp. Min (°C) | Temp. Max (°C) | General weather conditions |
|---|---|---|---|---|---|---|---|
| FORCA D'ACERO | Pescasseroli (AQ) | 1480 | 17 | Snow traces | -1 | +5 | Moderate snow |
| VALLE GELATA | Pescocostanzo (AQ) | 1466 | 64 | 32 | -3 | +2 | Heavy snow |
| COPPO DELL'ORSO | Villetta Barrea (AQ) | 1520 | 30 | 10 | -4 | -2 | Heavy snow |
| PIANO AREMOGNA | Roccaraso (AQ) | 1456 | 33 | 11 | -1 | 0 | Heavy snow |
| MIMOLA | Scanno (AQ) | 1495 | 40 | 13 | -3 | +2 | Heavy snow |

(*) Out of field survey

**INFORMATION MEANS PREVENTION - SCAN QRCODE TO KNOW DAILY AVALANCHE DANGER LEVEL!**

**IL CAPO DEL CENTRO NAZIONALE METEOMONT**
**(Ten. Col. RFI Emanuela Gini)**
**FIRMA AUTOGRAFA OMESSA AI SENSI**
**DELL'ART.3 DEL D.LGS N.39/1993**

According to EAWS standards Meteomont bulletin is a synoptic-scale system (regional scale). It shall be the user's responsibility to correlate the danger level evaluation of the bulletin with a detailed and expertise analysis of the zonal hazards (single slope), that could be markedly different. Meteorological forecast are issued at UTC (for Italy: in winter time UTC+1: in summer time UTC+2).

Bulletin is subjected to check processes through: the record of Observers and Avalanches and snow Experts data in C-Sifa; the validation by forecasters; the certification by Meteomont Section.