MINISTERO DELLA DIFESA

meteomont
Servizio Nazionale di previsione neve e valanghe

EAWS EUROPEAN AVALANCHE WARNING SERVICES

CARABINIERI

## MAINARDE-ALTO MOLISE

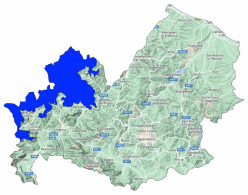

Avalanche Bulletin N. 341/2026 issued at 14:00 on 01/04/2026
48 hours validity. Next issue on 02/04/2026
**By the METEOMONT Service of the ARMA dei CARABINIERI ITALY**
**In collaboration with Air Force Meteorological Service**

## Situation on 01/04/2026

**DANGER PATTERNS: loose snow and wind.**

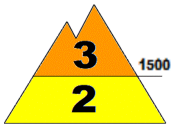

**DANGER PATTERNS: loose snow and wind.**

| Snow line (m.a.s.l.) | North | South |
|---|---|---|
| | 900 - 1000 | 1000 - 1200 |

| Snow depth (cm) | ground snow | new snow | Elevation (m.a.s.l.) |
|---|---|---|---|
| | 086 | 062 | 1220 |
| | 019 | 003 | 1406 |

**REGISTERED AVALANCHES: -.**

## FORECAST 02/04/2026

# Danger level: CONSIDERABLE 3

## DANGER PATTERNS: loose snow and wind.




## DANGER PATTERNS: rain on snow.

**SNOWPACK: Snowpack stability is poor on some points (areas) above 1400 m.a.s.l. All aspects are critical. large avalanches are possible.**
**Snowpack stability is poor on some points (areas) below 1400 m.a.s.l. All aspects are critical. Medium avalanches are possible.**

## WARNING

Due to current severe weather conditions, outdoor activities beyond the maintained and marked tracks are not advised.

## EUROPEAN AVALANCHE WARNING SERVICE

## AVALANCHE PROBLEMS

According to EAWS standards Meteomont bulletin is a synoptic-scale system (regional scale). It shall be the user's responsibility to correlate the danger level evaluation of the bulletin with a detailed and expertise analysis of the zonal hazards (single slope), that could be markedly different. Meteorological forecast are issued at UTC (for Italy: in winter time UTC+1: in summer time UTC+2).

Bulletin is subjected to check processes through: the record of Observers and Avalanches and snow Experts data in C-Sifa; the validation by forecasters; the certification by Meteomont Section.

MINISTERO DELLA DIFESA

meteomont
Servizio Nazionale di previsione neve e valanghe

EAWS EUROPEAN AVALANCHE WARNING SERVICES

CARABINIERI

# MAINARDE-ALTO MOLISE

## WEATHER FORECAST FOR

| Elevation | | 02/04/2026 h6:00 | 02/04/2026 h12:00 | 02/04/2026 h18:00 |
|---|---|---|---|---|
| 1000 | Wind | 07 Knots from N-East | 07 Knots from N-East | 06 Knots from North |
| | Temperatures | +01 °C | +02 °C | +02 °C |
| | Wind chill | -3 °C | -2 °C | -1 °C |
| 2000 | Wind | 23 Knots from N-East | 22 Knots from N-East | 20 Knots from N-East |
| | Temperatures | -02 °C | -02 °C | -01 °C |
| | Wind chill | -10 °C | -10 °C | -8 °C |
| 3000 | Wind | 22 Knots from N-East | 23 Knots from N-East | 19 Knots from N-East |
| | Temperatures | -05 °C | -05 °C | -05 °C |
| | Wind chill | -14 °C | -14 °C | -14 °C |
| Freezing level | | 1500-1700 m. | 1500-1700 m. | 1700-1900 m. |
| Atmospheric phenomenon | | | | — |
| Keys to sky condition | | | | |

## KEYS TO ATMOSPHERIC PHENOMENON

— Absence of adverse weather phenomena
Fog
Mist
Light rain
Moderate rain
Heavy rain
Thunderstorm
Weak snowfall
Moderate snowfall
Heavy snowfall

## KEYS TO SKY CONDITION

Clear
Partly cloudy
Cloudy
Mostly cloudy
Overcast

## Weather and snow data recorded during field and out of field obsevations on 01/04/2026.

| Observation field | District | Elevation (m.a.s.l.) | Snow depth (cm) | Snowfall in previous 24 hours (cm) | Temp. Min (°C) | Temp. Max (°C) | General weather conditions |
|---|---|---|---|---|---|---|---|
| VALLE FIORITA | Pizzone (IS) | 1406 | 19 | 3 | -2 | +2 | Intermittent light snow |
| PESCOPENNATARO | Pescopennataro (IS) | 1220 | 86 | 62 | N.P. | N.P. | Intermittent light snow |

(*) Out of field survey

**INFORMATION MEANS PREVENTION - SCAN QRCODE TO KNOW DAILY AVALANCHE DANGER LEVEL!**

**IL CAPO DEL CENTRO NAZIONALE METEOMONT**
**(Ten. Col. RFI Emanuela Gini)**
**FIRMA AUTOGRAFA OMESSA AI SENSI**
**DELL'ART.3 DEL D.LGS N.39/1993**

According to EAWS standards Meteomont bulletin is a synoptic-scale system (regional scale). It shall be the user's responsibility to correlate the danger level evaluation of the bulletin with a detailed and expertise analysis of the zonal hazards (single slope), that could be markedly different. Meteorological forecast are issued at UTC (for Italy: in winter time UTC+1: in summer time UTC+2).

Bulletin is subjected to check processes through: the record of Observers and Avalanches and snow Experts data in C-Sifa; the validation by forecasters; the certification by Meteomont Section.