Saturday 04.04.2026

Updated 03 04 2026, 17:16

AM

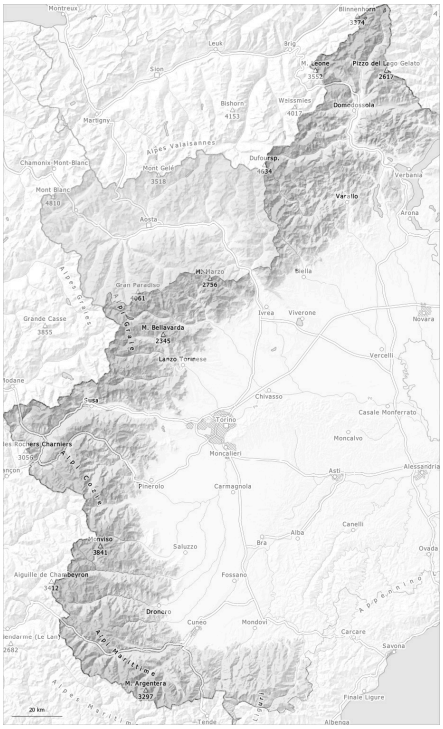

PM

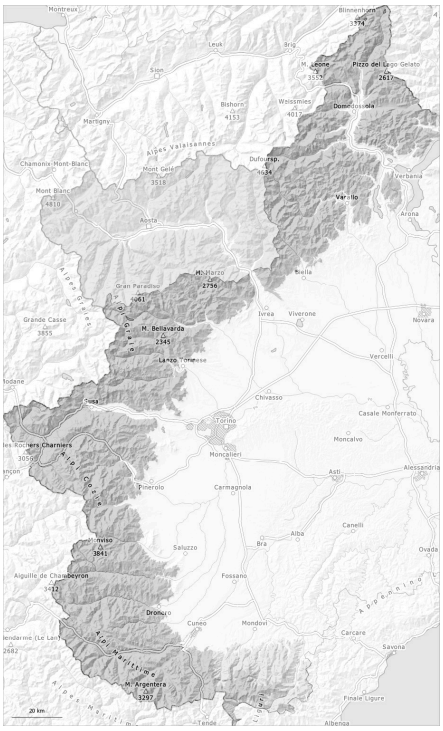

1	2	3	4	5
low	moderate	considerable	high	very high

Danger Level 2 - Moderate

AM:

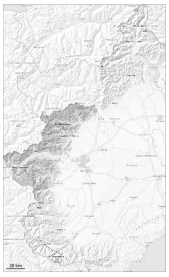

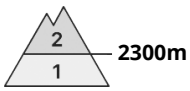

Tendency: Constant avalanche danger
on Sunday 05 04 2026

Wind slab

PM:

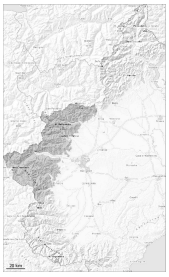

Tendency: Constant avalanche danger
on Sunday 05 04 2026

Wind slab

Wet snow

Wind slabs and weakly bonded old snow represent the main danger.

Since Monday the wind has been strong. The clearly visible wind slabs of the last few days can be released in some cases at intermediate and high altitudes, especially at their margins.

Places where persistent weak layers exist in the old snowpack, sometimes consisting of buried surface hoar, are unfavourable. Especially on steep west, north and east facing slopes the avalanches can be triggered in the weakly bonded old snow and reach medium size. This applies in particular in case of a large load.

The danger of moist and wet avalanches will increase from midday.

Snowpack

Danger patterns dp.6: cold, loose snow and wind

Some snow fell on Monday in some regions. As a consequence of a strong northwesterly wind, hard wind slabs formed since Monday in particular in areas not adjacent to ridgelines.
Individual weak layers exist in the centre of the snowpack at intermediate and high altitudes.

Outgoing longwave radiation during the night will be good. The surface of the snowpack has frozen to form a strong crust and will soften during the day.

At higher altitudes, snow cover becomes thinner and patchy; it is better at mid-altitudes, which are less

exposed to the wind.

Tendency

As a consequence of warming during the day and the solar radiation, the likelihood of dry and wet avalanches being released will increase a little on very steep slopes at elevated altitudes.

Danger Level 2 - Moderate

AM:

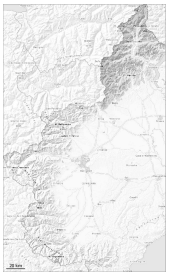

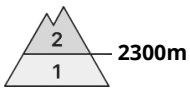

Tendency: Constant avalanche danger
on Sunday 05 04 2026

Wind slab

PM:

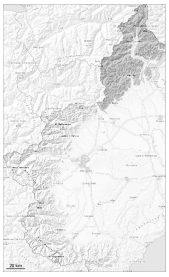

Tendency: Constant avalanche danger
on Sunday 05 04 2026

Wet snow

Wind slab

Wind slabs represent the main danger.

The clearly visible wind slabs of the last few days can be released, especially by large additional loads, in particular on west to north to east facing aspects at high altitudes and in high Alpine regions. On wind-loaded slopes the avalanches can be triggered in the various wind slab layers and reach medium size. In particular places where weaknesses exist in the old snowpack are unfavourable. Caution is to be exercised in particular in gullies and bowls, and behind abrupt changes in the terrain at intermediate and high altitudes. As a consequence of warming during the day and solar radiation the prevalence of the avalanche prone locations will increase from midday.

In particular very steep sunny slopes, intermediate and high altitudes: In steep terrain there is a danger of falling on the hard snow surface.

The danger of moist and wet avalanches will increase from midday.

Snowpack

Danger patterns dp.6: cold, loose snow and wind

As a consequence of a strong northeasterly wind, clearly visible wind slabs formed since Monday in all aspects.

In particular low and intermediate altitudes sunny slopes: The surface of the snowpack has frozen to form a strong crust.

Adjacent to ridgelines in high Alpine regions snow depths vary greatly, depending on the infuence of the wind. At higher altitudes, snow cover becomes thinner and patchy; it is better at mid-altitudes, which are less exposed to the wind.
The surface snowpack changes rapidly depending on the aspect and gradient: crusts of various types and thicknesses alternate.

In steep terrain there is a danger of falling on the hard crust, especially adjacent to ridgelines and in pass areas.
Sunshine and high temperatures will give rise to increasing consolidation of the snowpack.

Tendency

As a consequence of warming during the day and the solar radiation, the likelihood of dry and wet avalanches being released will increase a little on very steep sunny slopes.

Danger Level 2 - Moderate

AM:

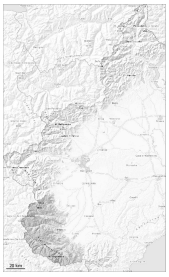

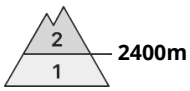

Tendency: Constant avalanche danger
on Sunday 05 04 2026

Wind slab

PM:

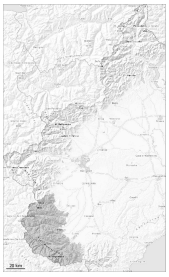

Tendency: Constant avalanche danger
on Sunday 05 04 2026

Wind slab

Wet snow

The wind slabs are easy to recognise and can be released by large loads in particular.

The snowpack will be well bonded at low and intermediate altitudes.

Intermediate and high altitudes: As a consequence of new snow and a moderate to strong wind from northeasterly directions, clearly visible wind slabs formed in the last few days especially adjacent to ridgelines and in pass areas as well as at elevated altitudes. These can be released, in particular by large loads and reach medium size.

In steep terrain there is a danger of falling on the icy crust.

The danger of moist and wet avalanches will increase from midday.

Snowpack

Danger patterns dp.6: cold, loose snow and wind

Since Monday the wind has been strong over a wide area. In the vicinity of peaks snow depths vary greatly, depending on the infuence of the wind.

In particular sunny slopes low and intermediate altitudes: The surface of the snowpack has frozen to form a strong crust and will soften during the day.

Especially in shady places that are protected from the wind high altitudes and the high Alpine regions: The upper section of the snowpack is dry and its surface has a crust that is not capable of bearing a load. In very isolated cases weak layers exist in the top section of the snowpack in particular on extremely steep shady slopes.

Tendency

As a consequence of warming during the day and the solar radiation, the likelihood of dry and wet avalanches being released will increase a little on very steep slopes at elevated altitudes.

Danger Level 2 - Moderate

AM:

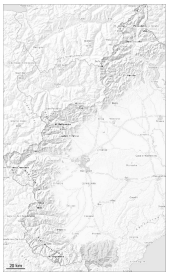

Tendency: Constant avalanche danger
on Sunday 05 04 2026

PM:

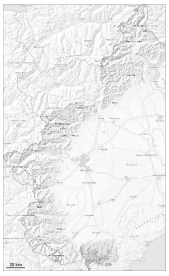

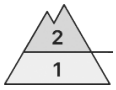

2200m

Tendency: Constant avalanche danger
on Sunday 05 04 2026

Wet snow

2200m

The snowpack will be stable over a wide area.

The snowpack will be well bonded at low and intermediate altitudes.

Intermediate and high altitudes: As a consequence of a moderate to strong wind from northeasterly directions, small wind slabs formed in the last few days in gullies and bowls and behind abrupt changes in the terrain. These can in some cases be released, mostly by large loads in isolated cases.

In steep terrain there is a danger of falling on the icy crust.

The danger of moist and wet avalanches will increase from midday.

Snowpack

Danger patterns dp.6: cold, loose snow and wind

Since Monday the wind has been strong over a wide area. The surface snowpack changes rapidly depending on the aspect and gradient: crusts of various types and thicknesses alternate.

In particular sunny slopes low and intermediate altitudes: The surface of the snowpack has frozen to form a strong crust and will soften during the day.

In shady places that are protected from the wind high altitudes and the high Alpine regions: The upper section of the snowpack is dry and its surface has a crust that is not capable of bearing a load.

In steep terrain there is a danger of falling on the hard crust, especially adjacent to ridgelines and in pass areas.
Sunshine and high temperatures will give rise to increasing consolidation of the snowpack.

Tendency

As a consequence of warming during the day and the solar radiation, the likelihood of dry and wet avalanches being released will increase a little on very steep slopes at elevated altitudes.