# PREALPI

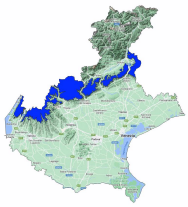

Avalanche Bulletin N. 390/2026 issued at 14:00 on 03/04/2026
48 hours validity. Next issue on 04/04/2026

**By the METEOMONT Service of the ARMA dei CARABINIERI ITALY**
**In collaboration with Air Force Meteorological Service**

## Situation on 03/04/2026

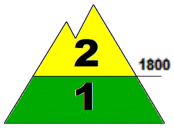


**DANGER PATTERNS: loose snow and wind.**




**DANGER PATTERNS: shallow snow next to deep snow.**

| Snow line (m.a.s.l.) | North | South |
|---|---|---|
| | 1200 - 1500 | 1700 - 1900 |

| Snow depth (cm) | ground snow | new snow | Elevation (m.a.s.l.) |
|---|---|---|---|
| | 90 | 000 | 2000 |
| | 40 | 000 | 1500 |

**REGISTERED AVALANCHES: No avalanches detected.**

## FORECAST 04/04/2026

# Danger level: MODERATE 2

## DANGER PATTERNS: loose snow and wind.

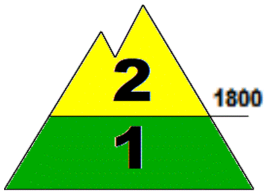


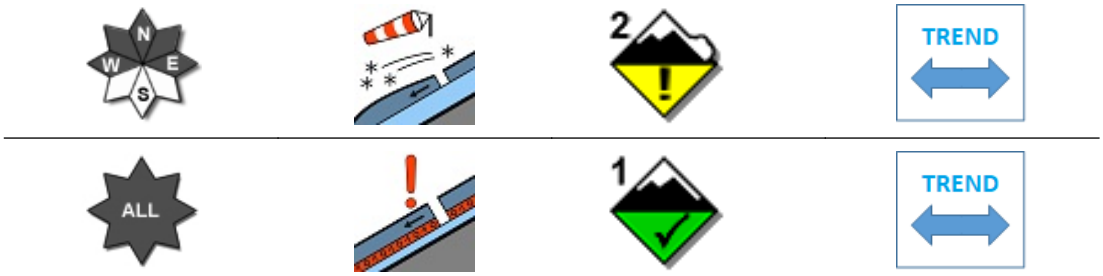


## DANGER PATTERNS: shallow snow next to deep snow.

**SNOWPACK: Snowpack stability is poor on few points (areas) above 1800 m.a.s.l. All From west to east-facing slopes are critical. large avalanches are possible.**
**Snowpack stability is moderate on few points (areas) below 1800 m.a.s.l. All aspects are critical. Medium avalanches are possible.**

## WARNING

Due to major snow drift accumulations in bowls,gullies, changes of slope and in general all leeward slopes, route choice and a detailed evaluation of snowpack stability is required.

## EUROPEAN AVALANCHE WARNING SERVICE

## AVALANCHE PROBLEMS

According to EAWS standards Meteomont bulletin is a synoptic-scale system (regional scale). It shall be the user's responsibility to correlate the danger level evaluation of the bulletin with a detailed and expertise analysis of the zonal hazards (single slope), that could be markedly different. Meteorological forecast are issued at UTC (for Italy: in winter time UTC+1: in summer time UTC+2).

Bulletin is subjected to check processes through: the record of Observers and Avalanches and snow Experts data in C-Sifa; the validation by forecasters; the certification by Meteomont Section.

MINISTERO DELLA DIFESA

meteomont
Servizio Nazionale di previsione neve e valanghe

EAWS EUROPEAN AVALANCHE WARNING SERVICES

CARABINIERI

In collaborazione con: arpav

# PREALPI

## WEATHER FORECAST FOR

| Elevation | | 04/04/2026 h6:00 | 04/04/2026 h12:00 | 04/04/2026 h18:00 |
|---|---|---|---|---|
| 1000 | Wind | 02 Knots from N-East | 01 Knots from West | 01 Knots from South |
| | Temperatures | +05 °C | +11 °C | +10 °C |
| | Wind chill | 5 °C | 11 °C | 10 °C |
| 2000 | Wind | 02 Knots from N-West | 00 Calm | 02 Knots from N-East |
| | Temperatures | +02 °C | +04 °C | +06 °C |
| | Wind chill | 2 °C | 4 °C | 6 °C |
| 3000 | Wind | 06 Knots from North | 02 Knots from N-West | 02 Knots from West |
| | Temperatures | -03 °C | -02 °C | -01 °C |
| | Wind chill | -7 °C | -2 °C | -1 °C |
| Freezing level | | 2400-2600 m. | 2700-2900 m. | 2800-3000 m. |
| Atmospheric phenomenon | | — | — | — |
| Keys to sky condition | | | | |

## KEYS TO ATMOSPHERIC PHENOMENON

— Absence of adverse weather phenomena
Fog
Mist
Light rain
Moderate rain
Heavy rain
Thunderstorm
Weak snowfall
Moderate snowfall
Heavy snowfall

## KEYS TO SKY CONDITION

Clear
Partly cloudy
Cloudy
Mostly cloudy
Overcast

## Weather and snow data recorded during field and out of field obsevations on 03/04/2026.

| Observation field | District | Elevation (m.a.s.l.) | Snow depth (cm) | Snowfall in previous 24 hours (cm) | Temp. Min (°C) | Temp. Max (°C) | General weather conditions |
|---|---|---|---|---|---|---|---|
| MONTE PIZZOC * | Tambre (BL) | 1560 | 19 | 0 | N.P. | N.P. | Absence of rain or other precipitation |
| GALLIO - BUSA FONDA | Gallio (VI) | 1460 | 36 | 0 | -4 | +10 | Absence of rain or other precipitation |
| MONTE BALDO | Malcesine (VR) | 1828 | 94 | 0 | -6 | +6 | Absence of rain or other precipitation |
| BOCCHETTA FONDI - M.TE CAREGA * | Vallarsa (TN) | 2010 | 137 | 0 | N.P. | N.P. | Absence of rain or other precipitation |

(*) Out of field survey

**INFORMATION MEANS PREVENTION - SCAN QRCODE TO KNOW DAILY AVALANCHE DANGER LEVEL!**

IL CAPO DEL CENTRO NAZIONALE METEOMONT
(Ten. Col. RFI Emanuela Gini)
FIRMA AUTOGRAFA OMESSA AI SENSI
DELL'ART.3 DEL D.LGS N.39/1993

According to EAWS standards Meteomont bulletin is a synoptic-scale system (regional scale). It shall be the user's responsibility to correlate the danger level evaluation of the bulletin with a detailed and expertise analysis of the zonal hazards (single slope), that could be markedly different. Meteorological forecast are issued at UTC (for Italy: in winter time UTC+1: in summer time UTC+2).

Bulletin is subjected to check processes through: the record of Observers and Avalanches and snow Experts data in C-Sifa; the validation by forecasters; the certification by Meteomont Section.