MINISTERO DELLA DIFESA

meteomont
Servizio Nazionale di previsione neve e valanghe

EAWS EUROPEAN AVALANCHE WARNING SERVICES

CARABINIERI

GRAN SASSO EST - LAGA EST

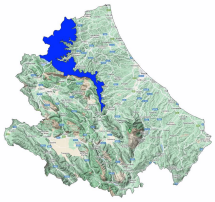

Avalanche Bulletin N. 381/2026 issued at 14:00 on 02/04/2026
48 hours validity. Next issue on 03/04/2026

By the METEOMONT Service of the ARMA dei CARABINIERI ITALY
In collaboration with Air Force Meteorological Service

Situation on 02/04/2026

DANGER PATTERNS: loose snow and wind.

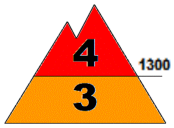



DANGER PATTERNS: rain on snow.

Snow line (m.a.s.l.)	North	South
	800 - 900	900 - 1000

Snow depth (cm)	ground snow	new snow	Elevation (m.a.s.l.)
	048	010	975
	030	002	960

REGISTERED AVALANCHES: -.

FORECAST 03/04/2026

Danger level: HIGH 4

DANGER PATTERNS: loose snow and wind.

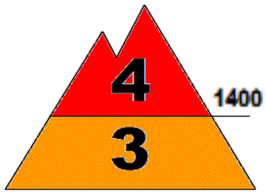



DANGER PATTERNS: rain on snow.

SNOWPACK: Snowpack stability is poor on many points (areas) above 1400 m.a.s.l. All aspects are critical. large avalanches are possible.
Snowpack stability is poor on some points (areas) below 1400 m.a.s.l. All aspects are critical. Large avalanches are possible.

WARNING

It is absolutely forbidden to practice outdoor activities beyond the maintained and marked tracks.

EUROPEAN AVALANCHE WARNING SERVICE

AVALANCHE PROBLEMS

According to EAWS standards Meteomont bulletin is a synoptic-scale system (regional scale). It shall be the user's responsibility to correlate the danger level evaluation of the bulletin with a detailed and expertise analysis of the zonal hazards (single slope), that could be markedly different. Meteorological forecast are issued at UTC (for Italy: in winter time UTC+1: in summer time UTC+2).

Bulletin is subjected to check processes through: the record of Observers and Avalanches and snow Experts data in C-Sifa; the validation by forecasters; the certification by Meteomont Section.

MINISTERO DELLA DIFESA

meteomont
Servizio Nazionale di previsione neve e valanghe

EAWS EUROPEAN AVALANCHE WARNING SERVICES

CARABINIERI

GRAN SASSO EST - LAGA EST

WEATHER FORECAST FOR

Elevation		03/04/2026 h6:00	03/04/2026 h12:00	03/04/2026 h18:00
1000	Wind	05 Knots from N-East	05 Knots from N-East	05 Knots from N-East
	Temperatures	-01 °C	+01 °C	+01 °C
	Wind chill	-4 °C	-2 °C	-2 °C
2000	Wind	15 Knots from N-East	12 Knots from East	12 Knots from N-East
	Temperatures	-03 °C	-03 °C	-01 °C
	Wind chill	-10 °C	-9 °C	-7 °C
3000	Wind	18 Knots from N-East	05 Knots from North	11 Knots from N-East
	Temperatures	-08 °C	-04 °C	-06 °C
	Wind chill	-17 °C	-8 °C	-13 °C
Freezing level		1300-1500 m.	1500-1700 m.	1600-1800 m.
Atmospheric phenomenon			—	—
Keys to sky condition				

KEYS TO ATMOSPHERIC PHENOMENON

— Absence of adverse weather phenomena
Fog
Mist
Light rain
Moderate rain
Heavy rain
Thunderstorm
Weak snowfall
Moderate snowfall
Heavy snowfall

KEYS TO SKY CONDITION

Clear
Partly cloudy
Cloudy
Mostly cloudy
Overcast

Weather and snow data recorded during field and out of field obsevations on 02/04/2026.

Observation field	District	Elevation (m.a.s.l.)	Snow depth (cm)	Snowfall in previous 24 hours (cm)	Temp. Min (°C)	Temp. Max (°C)	General weather conditions
FAVACCHIOLE	Crognaleto (TE)	1016	75	N.P.	N.P.	N.P.	Moderate rain
CASTAGNOLA *	Fano Adriano (TE)	975	48	10	N.P.	N.P.	Moderate rain
PIANO SAN PIETRO	Isola del Gran Sasso d'Italia (TE)	950	66	18	N.P.	N.P.	Heavy or moderate rain and snow or drizzle
PRATI DI TIVO	Pietracamela (TE)	1380	175	70	-1	+1	Moderate snow
SAN PAOLO	Acquasanta Terme (AP)	960	30	2	-1	+2	Moderate rain
COLLE SAN GIACOMO	Civitella del Tronto (TE)	1075	48	0	0	+2	Fog with no visible sky

(*) Out of field survey

INFORMATION MEANS PREVENTION - SCAN QRCODE TO KNOW DAILY AVALANCHE DANGER LEVEL!

IL CAPO DEL CENTRO NAZIONALE METEOMONT
(Ten. Col. RFI Emanuela Gini)
FIRMA AUTOGRAFA OMESSA AI SENSI
DELL'ART.3 DEL D.LGS N.39/1993

According to EAWS standards Meteomont bulletin is a synoptic-scale system (regional scale). It shall be the user's responsibility to correlate the danger level evaluation of the bulletin with a detailed and expertise analysis of the zonal hazards (single slope), that could be markedly different. Meteorological forecast are issued at UTC (for Italy: in winter time UTC+1: in summer time UTC+2).

Bulletin is subjected to check processes through: the record of Observers and Avalanches and snow Experts data in C-Sifa; the validation by forecasters; the certification by Meteomont Section.